# Property Tax Assessment Analysis

714 Albion St
Denver County · March 6, 2026



## 714 Albion St

Denver, CO 80220 · Parcel: 06063-14-090-000

| | | | |
|---|---|---|---|
| Living Area | **1,462 sqft** | Lot Size | **1,165 sqft** |
| Bedrooms | **2** | Bathrooms | **3** |
| Year Built | **2005** | Property Type | **Residential** |

## Assessment Analysis

| | |
|---|---|
| County Appraised Value | **$630,300** |
| Assessment Ratio (CO) | **6.7%** |
| Taxable Assessed Value | **$42,230** |
| Market Value (Comps) | **$795,356** |
| Underassessment | **-$165,056** |

*Note: The most recent assessment data available for this property is from 2024. Current assessment values may differ. We recommend verifying your assessment with your county assessor before filing.*

# Factors Considered in Our Analysis

The following factors were considered in our analysis of your property's value:

🏭 **Commercial/Industrial Zone**

6 commercial, 1 industrial, 6 retail zone(s) within 1 mile (incl. Cherry Creek Shopping Center, Denver Water, Former Denver Veterans Affairs Medical Center)

⚡ **Power Lines**

7 high-voltage transmission line(s) within 1 mile

*Source: Census TIGERweb, FEMA National Flood Hazard Layer, OpenStreetMap*

## Valuation Analysis

The subject property at 714 Albion St, Denver, CO 80220 is a 1,462 sq ft Residential constructed in 2005, situated on a 1,165 sq ft lot.

A search of recent residential sales within 0.7 miles identified 3 comparable properties sold within the past 12 months. These properties range from 1,268 to 1,725 sq ft. The median sale price per square foot among these comparables is $611. Note: An expanded search radius was used due to limited comparable sales in the immediate area.

**Applying the 25th percentile sale price of $544 per square foot to the subject property's 1,462 sq ft yields a market value estimate of approximately $795,356.**

The comparable sales used in this analysis are detailed in the table below. All properties are residential, sold within 12 months, and located within 0.7 miles of the subject property.

*Additionally, environmental or locational factors affecting this property may further impact its market value.*

# Comparable Sales Analysis

| # | ADDRESS | DISTANCE | SQFT | YEAR | SALE DATE | SALE PRICE | $/SQFT |
|---|---|---|---|---|---|---|---|
| **S** | **714 Albion St (Subject)** | **—** | **1,462** | **2005** | **—** | **—** | **—** |
| 1 | 567 Harrison St | 0.2 mi | 1,468 | 1923 | 2/17/2026 | $700,000 | $477 |
| 2 | 660 Clermont St | 0.3 mi | 1,268 | 1932 | 2/10/2026 | $775,000 | $611 |

| # | ADDRESS | DISTANCE | SQFT | YEAR | SALE DATE | SALE PRICE | $/SQFT |
|---|---|---|---|---|---|---|---|
| 3 | 715 Glencoe St | 0.7 mi | 1,725 | 1942 | 2/4/2026 | $1,825,000 | $1058 |

| MEDIAN SALE PRICE | 25TH PCTL $/SQFT | SUBJECT SQFT | MARKET VALUE |
|---|---|---|---|
| **$775,000** | **$544** | **1,462** | **$795,356** |

*Comparable sales within 0.7 miles, sold within the past 12 months. All transactions are arm's-length sales from public county records.*

# Comparable Properties Map

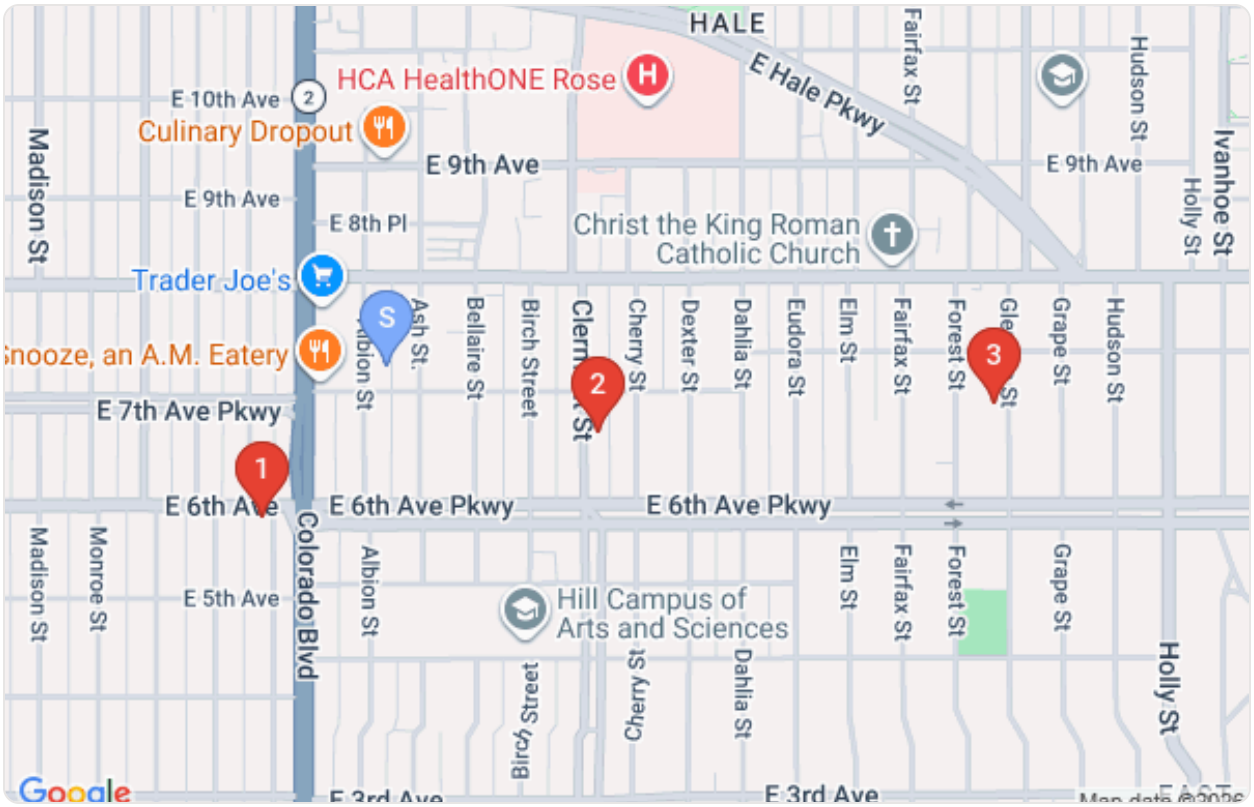


*Subject property (blue pin) and comparable sales locations (red pins)*

# Comparable Property Details

1

SALE PRICE

**$700,000**

### 567 Harrison St

1,468 sqft · Built 1923 · 0.2 mi · Sold 2/17/2026 · $477/sqft



2

SALE PRICE

**$775,000**

### 660 Clermont St

1,268 sqft · Built 1932 · 0.3 mi · Sold 2/10/2026 · $611/sqft

3

SALE PRICE

**$1,825,000**

### 715 Glencoe St

1,725 sqft · Built 1942 · 0.7 mi · Sold 2/4/2026 · $1058/sqft