Property Tax Assessment Analysis

715 Rogers Way
Gallatin County · March 7, 2026



715 Rogers Way

Bozeman, MT 59718 · Parcel: 06-0798-02-4-17-84-5002

Living Area	**1,908 sqft**	Lot Size	**3,180 sqft**
Bedrooms	**3**	Bathrooms	**2**
Year Built	**2023**	Property Type	**Townhouse**

Assessment Analysis

County Appraised Value	**$631,200**
Market Value (Comps)	**$727,333**
Underassessment	**-$96,133**

Valuation Analysis

The subject property at 715 Rogers Way, Bozeman, MT 59718 is a 1,908 sq ft Townhouse constructed in 2023, situated on a 3,180 sq ft lot.

A search of recent residential sales within 1.2 miles identified 4 comparable properties sold within the past 18 months. These properties range from 1,444 to 1,774 sq ft. The median estimated value per square foot among these comparables is $417. Note: An expanded search radius was used due to limited comparable sales in the immediate area.

Applying the 25th percentile price of $381 per square foot to the subject property's 1,908 sq ft yields a market value estimate of approximately $727,333.

The comparable properties used in this analysis are detailed in the table below. All properties are residential, sold within 18 months, and located within 1.2 miles of the subject property.

Note: MT does not publicly disclose sale prices. Comparable values shown are estimated market values derived from property and market data.

Comparable Property Analysis

#	ADDRESS	DISTANCE	SQFT	YEAR	SALE DATE	SALE PRICE*	$/SQFT
S	**715 Rogers Way (Subject)**	**—**	**1,908**	**2023**	**—**	**—**	**—**
1	1098 Ferguson Ave	1.2 mi	1,774	2014	1/7/2026	$739,900	$417
2	515 N 23rd Ave	0.1 mi	1,764	2002	12/19/2025	$697,821	$396
3	3513 Ravalli St	1.1 mi	1,772	1998	1/12/2026	$599,000	$338
4	123 N 10th Ave	1.0 mi	1,444	1900	1/7/2026	$799,500	$554

MEDIAN PRICE	25TH PCTL $/SQFT	SUBJECT SQFT	MARKET VALUE
$739,900	$381	1,908	$727,333

*Comparable sales within 1.2 miles, sold within the past 18 months. All transactions are arm's-length sales from public county records. *Estimated market value — actual sale price not publicly disclosed in this state.*

Comparable Properties Map

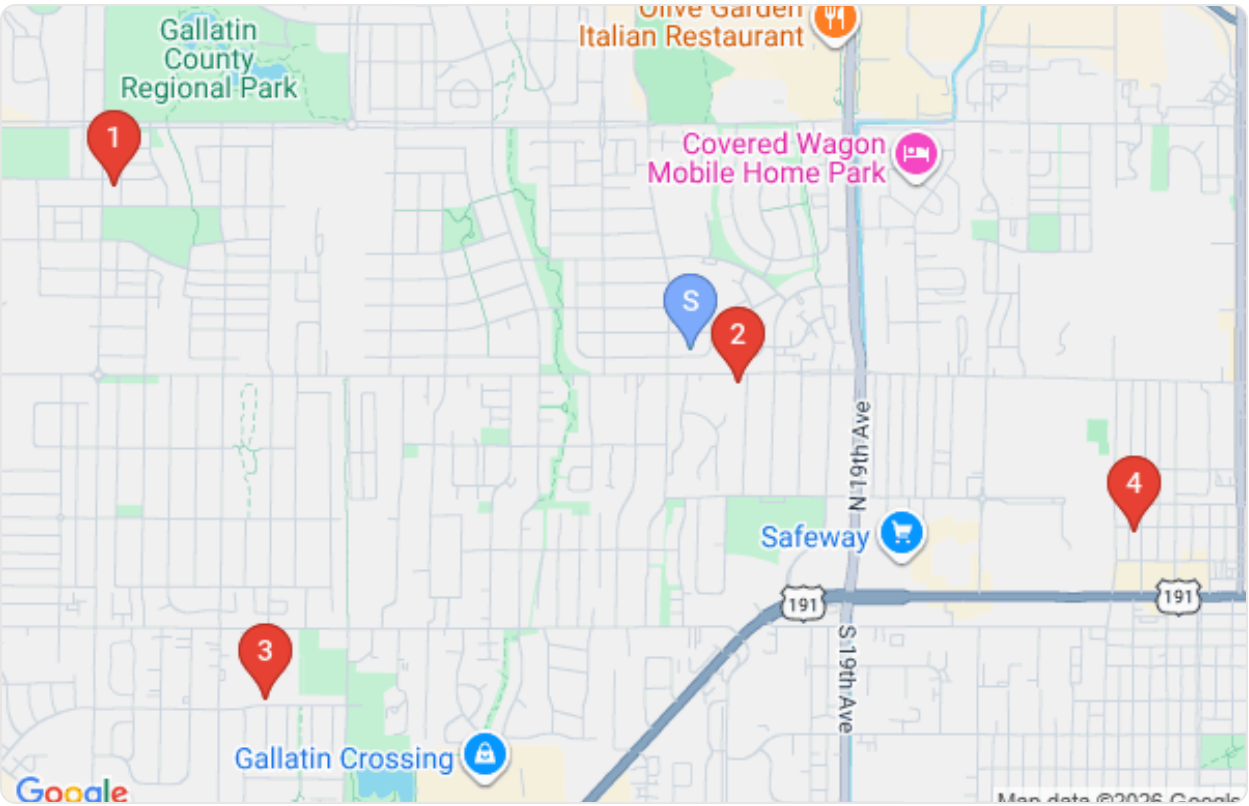

Subject property (blue pin) and comparable property locations (red pins)

Comparable Property Details



1

EST. MARKET VALUE

$739,900

1098 Ferguson Ave

1,774 sqft · Built 2014 · 1.2 mi · Sold 1/7/2026 · $417/sqft



2

SALE PRICE

$697,821

515 N 23rd Ave

1,764 sqft · Built 2002 · 0.1 mi · Sold 12/19/2025 · $396/sqft

3

EST. MARKET VALUE

$599,000

3513 Ravalli St

1,772 sqft · Built 1998 · 1.1 mi · Sold 1/12/2026 · $338/sqft



4

EST. MARKET VALUE

$799,500

123 N 10th Ave

1,444 sqft · Built 1900 · 1.0 mi · Sold 1/7/2026 · $554/sqft