Property Tax Assessment Analysis

9 Shaw View Rd
Carroll County · March 7, 2026

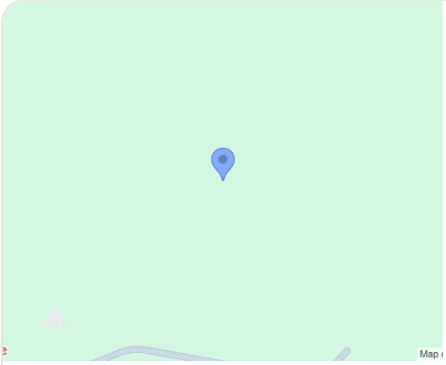

9 Shaw View Rd

Tuftonboro, NH 03816 · Parcel:
TUFT M:00060 B:000001 L:000028

Living Area	**0 sqft**	Lot Size	**26.54 acres**
Bedrooms	**3**	Bathrooms	**2**
Year Built	**2022**	Property Type	**Residential**

Assessment Analysis

County Assessed Value (capped)	**$570,686**
County Market Value	**$698,000**
Market Value (Comps)	**$0**
Overassessment	**$0**

Note: The most recent assessment data available for this property is from 2024. Current assessment values may differ. We recommend verifying your assessment with your county assessor before filing.

Factors Considered in Our Analysis

The following factors were considered in our analysis of your property's value:

Power Lines
1 high-voltage transmission line(s) within 1 mile

Source: Census TIGERweb, FEMA National Flood Hazard Layer, OpenStreetMap

Comparable Sales Analysis

#	ADDRESS	DISTANCE	SQFT	YEAR	SALE DATE	SALE PRICE	$/SQFT
S	**9 Shaw View Rd (Subject)**	**—**	**0**	**2022**	**—**	**—**	**—**
1	23 OLD WOODS RD	—	3,063	—	9/12/2025	$637,533	$208
2	172 LEDGE HILL RD	—	3,168	—	9/30/2024	$650,000	$205
3	196 LEDGE HILL RD	—	2,590	—	11/12/2024	$750,000	$290
4	131 DAME RD	—	1,809	—	10/27/2025	$510,000	$282
5	7 HANSON RD	—	1,881	—	10/30/2024	$455,000	$242
6	851 BEACH POND RD	—	2,287	—	8/29/2025	$535,000	$234
7	122 MOUNTAIN RD	—	2,063	—	8/21/2024	$456,000	$221
8	175 MOUNTAIN RD	—	2,965	—	1/30/2026	$465,000	$157
9	39 VALLEY RD	—	1,972	—	8/29/2025	$579,933	$294
10	18 BUTTERNUT LN	—	1,937	—	10/2/2025	$583,333	$301
11	20 BUTTERNUT LN	—	3,436	—	6/16/2025	$685,000	$199
12	59 OSSIPEE MOUNTAIN RD	—	2,493	—	8/1/2025	$648,000	$260

MEDIAN SALE PRICE	25TH PCTL $/SQFT	SUBJECT SQFT	MARKET VALUE
$465,000	**$93**	**0**	**$0**

Comparable sales within 1.5 miles, sold within the past 24 months. All transactions are arm's-length sales from public county records.

Comparable Properties Map

Subject property (blue pin) and comparable sales locations (red pins)

Comparable Property Details

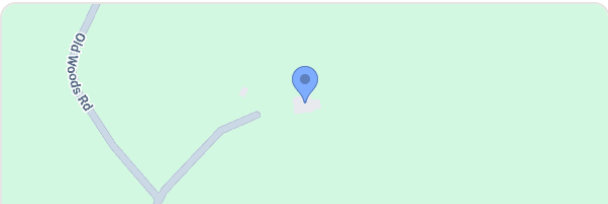

1

SALE PRICE

$637,533

23 OLD WOODS RD

3,063 sqft · Sold 9/12/2025 · $208/sqft

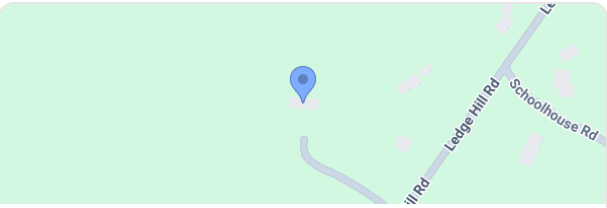

2

SALE PRICE

$650,000

172 LEDGE HILL RD

3,168 sqft · Sold 9/30/2024 · $205/sqft

3

SALE PRICE

$750,000

196 LEDGE HILL RD

2,590 sqft · Sold 11/12/2024 · $290/sqft

4

SALE PRICE

$510,000

131 DAME RD

1,809 sqft · Sold 10/27/2025 · $282/sqft

5

SALE PRICE

$455,000

7 HANSON RD

1,881 sqft · Sold 10/30/2024 · $242/sqft

6

SALE PRICE

$535,000

851 BEACH POND RD

2,287 sqft · Sold 8/29/2025 · $234/sqft

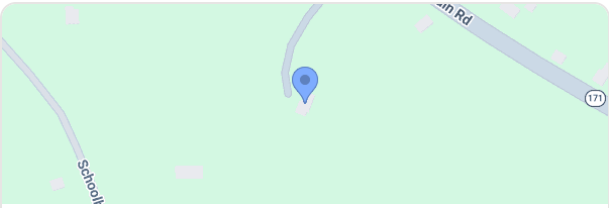

7

SALE PRICE

$456,000

122 MOUNTAIN RD

2,063 sqft · Sold 8/21/2024 · $221/sqft

8

SALE PRICE

$465,000

175 MOUNTAIN RD

2,965 sqft · Sold 1/30/2026 · $157/sqft

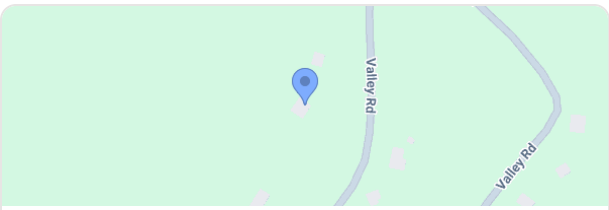

9

SALE PRICE

$579,933

39 VALLEY RD

1,972 sqft · Sold 8/29/2025 · $294/sqft

10

SALE PRICE

$583,333

18 BUTTERNUT LN

1,937 sqft · Sold 10/2/2025 · $301/sqft

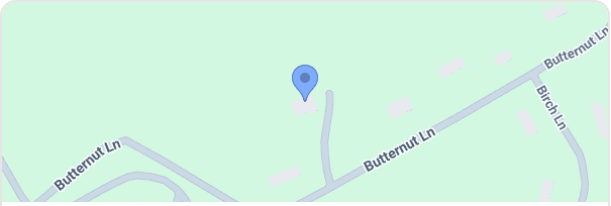

11

SALE PRICE

$685,000

20 BUTTERNUT LN

3,436 sqft · Sold 6/16/2025 · $199/sqft

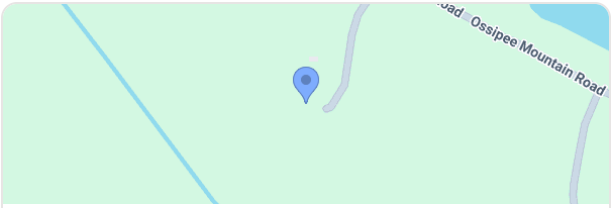

12

SALE PRICE

$648,000

59 OSSIPEE MOUNTAIN RD

2,493 sqft · Sold 8/1/2025 · $260/sqft