Property Tax Assessment Analysis

15 Wayne Dr
Atlantic County · March 7, 2026

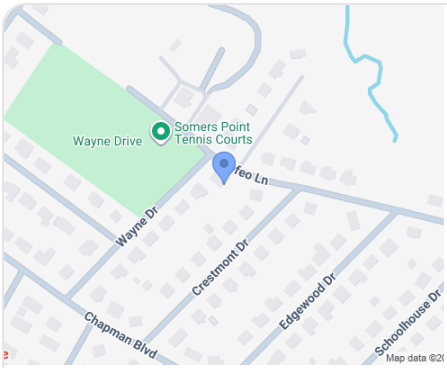

15 Wayne Dr

Somers Point, NJ 08244 · Parcel: 21 00522-0000-00008

Living Area	1,878 sqft	Lot Size	12,240 sqft
Year Built	1979	Property Type	Residential

Assessment Analysis

County Appraised Value	$204,000
Market Value (Comps)	$361,429
Underassessment	-$157,429

Factors Considered in Our Analysis

The following factors were considered in our analysis of your property's value:

Major Highway
1 major highway(s) within 1 mile: Garden State Pkwy

Commercial/Industrial Zone
2 retail zone(s) within 1 mile (incl. Somers Point Plaza)

Source: Census TIGERweb, FEMA National Flood Hazard Layer, OpenStreetMap

Valuation Analysis

The subject property at 15 Wayne Dr, Somers Point, NJ 08244 is a 1,878 sq ft Residential constructed in 1979, situated on a 12,240 sq ft lot.

A search of recent residential sales within 0.8 miles identified 4 comparable properties sold within the past 12 months. These properties range from 1,716 to 1,848 sq ft. The median sale price per square foot among these comparables is $200. Note: An expanded search radius was used due to limited comparable sales in the immediate area.

Applying the 25th percentile sale price of $192 per square foot to the subject property's 1,878 sq ft yields a market value estimate of approximately $361,429.

The comparable sales used in this analysis are detailed in the table below. All properties are residential, sold within 12 months, and located within 0.8 miles of the subject property.

Additionally, environmental or locational factors affecting this property may further impact its market value.

Comparable Sales Analysis

#	ADDRESS	DISTANCE	SQFT	YEAR	SALE DATE	SALE PRICE	$/SQFT
S	**15 Wayne Dr (Subject)**	**—**	**1,878**	**1979**	**—**	**—**	**—**
1	17 Hamilton Dr	0.3 mi	1,792	1970	12/30/2025	$330,000	$184
2	918 W Connecticut Ave	0.8 mi	1,716	1977	2/13/2026	$335,000	$195
3	202 Rosemarie Dr	0.7 mi	1,728	1969	2/11/2026	$379,000	$219
4	2222 Grammercy Ave	0.7 mi	1,848	1961	2/13/2026	$370,000	$200

MEDIAN SALE PRICE	25TH PCTL $/SQFT	SUBJECT SQFT	MARKET VALUE
$370,000	$192	1,878	$361,429

Comparable sales within 0.8 miles, sold within the past 12 months. All transactions are arm's-length sales from public county records.

Comparable Properties Map

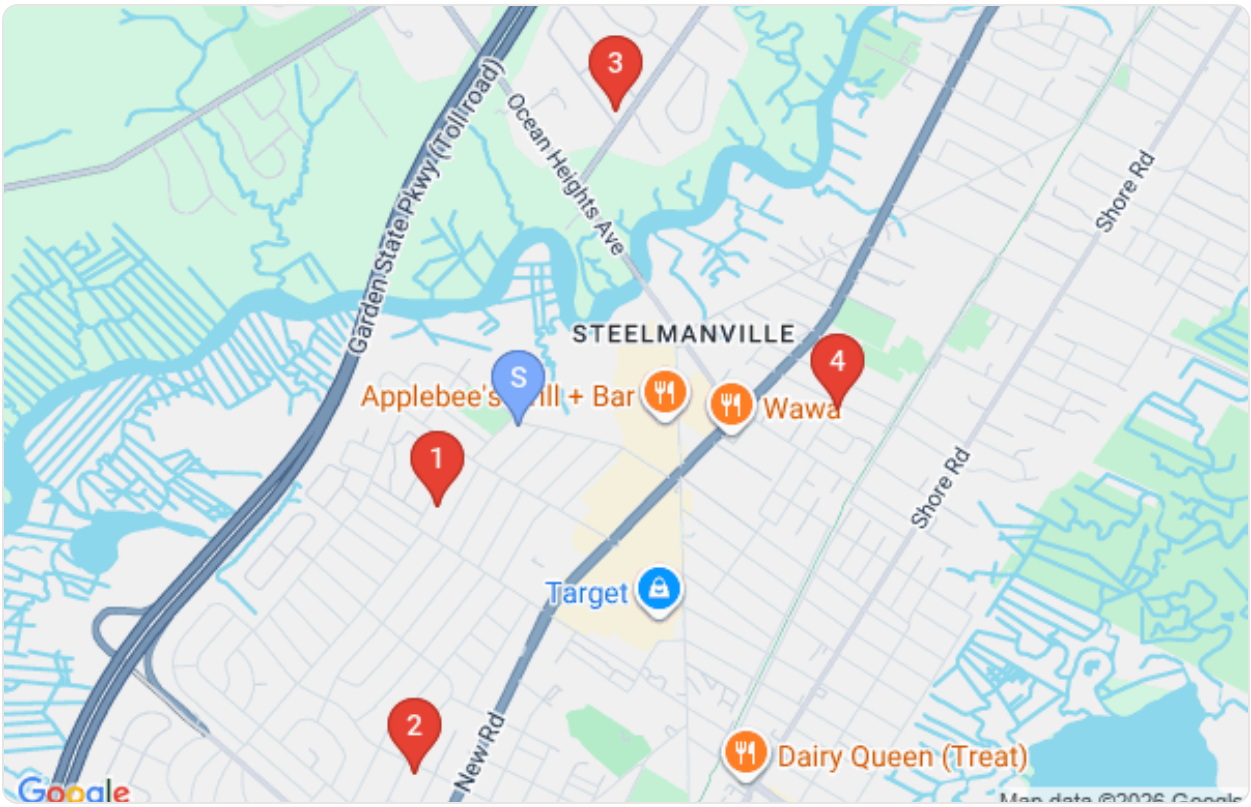

Subject property (blue pin) and comparable sales locations (red pins)

Comparable Property Details

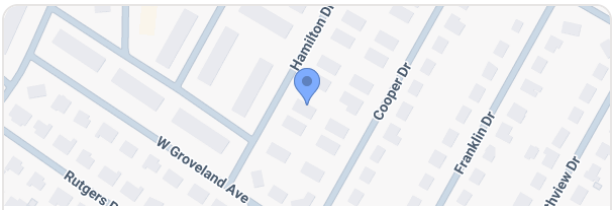

1

SALE PRICE

$330,000

17 Hamilton Dr

1,792 sqft · Built 1970 · 0.3 mi · Sold 12/30/2025 · $184/sqft

2

SALE PRICE

$335,000

918 W Connecticut Ave

1,716 sqft · Built 1977 · 0.8 mi · Sold 2/13/2026 · $195/sqft

3

SALE PRICE

$379,000

202 Rosemarie Dr

1,728 sqft · Built 1969 · 0.7 mi · Sold 2/11/2026 · $219/sqft

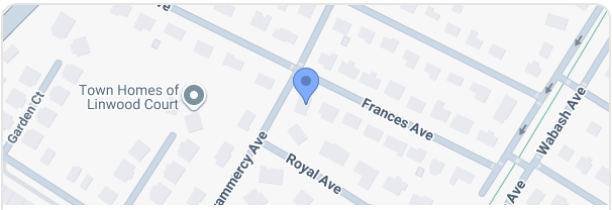

4

SALE PRICE

$370,000

2222 Grammercy Ave

1,848 sqft · Built 1961 · 0.7 mi · Sold 2/13/2026 · $200/sqft