Property Tax Assessment Analysis

14 Regis Dr
Richmond County · March 7, 2026

14 Regis Dr

Staten Island, NY 10314 · Parcel: 01659-1081

Living Area	**1,181 sqft**	Lot Size	**6.90 acres**
Year Built	**1983**	Property Type	**Residential**

Assessment Analysis

County Assessed Value (capped)	**$19,190**
County Market Value	**$463,096**
Market Value (Comps)	**$495,000**
Underassessment	**-$31,904**

Factors Considered in Our Analysis

The following factors were considered in our analysis of your property's value:

Major Highway
5 major highway(s) within 1 mile: Dr Martin Luther King Expy, Dr M L King Jr Expy, I-278, State Rte 440, Staten Island Expy

Commercial/Industrial Zone
1 commercial, 5 industrial, 15 retail zone(s) within 1 mile (incl. Coral Island, Roman Plaza, Akron Plaza, Expressway Plaza, Forest Commons)

Source: Census TIGERweb, FEMA National Flood Hazard Layer, OpenStreetMap

Valuation Analysis

The subject property at 14 Regis Dr, Staten Island, NY 10314 is a 1,181 sq ft Residential constructed in 1983, situated on a 6.90-acre lot.

A search of recent residential sales within 0.4 miles identified 6 comparable properties sold within the past 6 months. These properties range from 1,065 to 1,248 sq ft. The median sale price per square foot among these comparables is $432.

Applying the 25th percentile sale price of $419 per square foot to the subject property's 1,181 sq ft yields a market value estimate of approximately $495,000.

The comparable sales used in this analysis are detailed in the table below. All properties are residential, sold within 6 months, and located within 0.4 miles of the subject property.

Additionally, environmental or locational factors affecting this property may further impact its market value.

Comparable Sales Analysis

#	ADDRESS	DISTANCE	SQFT	YEAR	SALE DATE	SALE PRICE	$/SQFT
S	**14 Regis Dr (Subject)**	**—**	**1,181**	**1983**	**—**	**—**	**—**
1	31a Leo St # 56	0.1 mi	1,180	1986	10/16/2025	$510,000	$432
2	30 Regis Dr # 76	—	1,181	1983	10/7/2025	$510,000	$432
3	Near Staten Island, NY	0.1 mi	1,181	1983	9/26/2025	$490,000	$415
4	423 Willow Rd E # 2	0.4 mi	1,248	1977	12/31/2025	$495,000	$397
5	444 Caswell Ave # 2	0.4 mi	1,248	1977	11/28/2025	$540,000	$433
6	42 Vedder Ave	0.3 mi	1,065	1981	11/19/2025	$485,000	$455

MEDIAN SALE PRICE	25TH PCTL $/SQFT	SUBJECT SQFT	MARKET VALUE
$510,000	$419	1,181	$495,000

Comparable sales within 0.4 miles, sold within the past 6 months. All transactions are arm's-length sales from public county records.

Comparable Properties Map

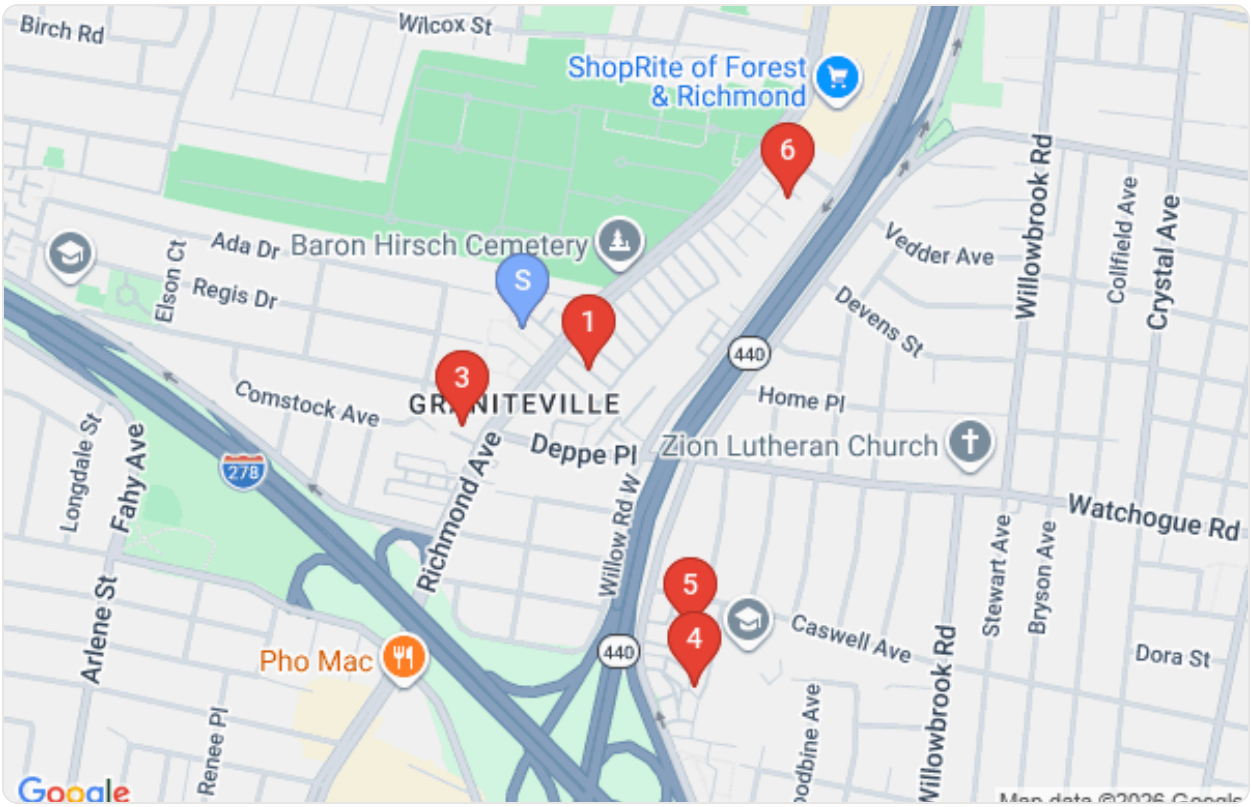

Subject property (blue pin) and comparable sales locations (red pins)

Comparable Property Details



1

SALE PRICE

$510,000

31a Leo St # 56

1,180 sqft · Built 1986 · 0.1 mi · Sold 10/16/2025 · $432/sqft

2

SALE PRICE

$510,000

30 Regis Dr # 76

1,181 sqft · Built 1983 · Sold 10/7/2025 · $432/sqft

3

SALE PRICE

$490,000

Near Staten Island, NY

1,181 sqft · Built 1983 · 0.1 mi · Sold 9/26/2025 · $415/sqft

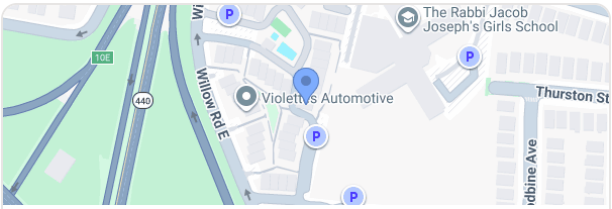

4

SALE PRICE

$495,000

423 Willow Rd E # 2

1,248 sqft · Built 1977 · 0.4 mi · Sold 12/31/2025 · $397/sqft

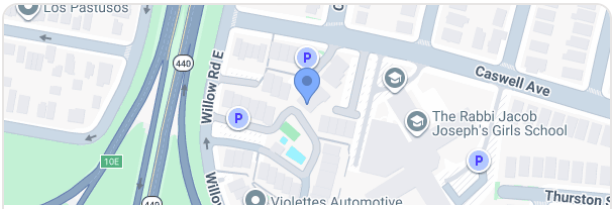

5

SALE PRICE

$540,000

444 Caswell Ave # 2

1,248 sqft · Built 1977 · 0.4 mi · Sold 11/28/2025 · $433/sqft

6

SALE PRICE

$485,000

42 Vedder Ave

1,065 sqft · Built 1981 · 0.3 mi · Sold 11/19/2025 · $455/sqft