# Property Tax Assessment Analysis

43401 NE Latourell Rd
Multnomah County · March 7, 2026



## 43401 NE Latourell Rd

Corbett, OR 97019 · Parcel: 1N5E29A 00700

| | | | |
|---|---|---|---|
| Living Area | 2,278 sqft | Lot Size | 1.93 acres |
| Bedrooms | 7 | Bathrooms | 2 |
| Year Built | 1899 | Property Type | Residential |

## Assessment Analysis

| | |
|---|---|
| County Assessed Value (capped) | $258,850 |
| County Market Value | $640,660 |
| Market Value (Comps) | $459,938 |
| Overassessment | **$180,722** |

## Factors Considered in Our Analysis

The following factors were considered in our analysis of your property's value:

🛤️ **Major Highway**
3 major highway(s) within 1 mile: US Hwy 30, Columbia River Hwy, I-84

🚂 **Railroad**
1 railroad(s) within 1 mile: Union Pacific RR

*Source: Census TIGERweb, FEMA National Flood Hazard Layer, OpenStreetMap*

### Valuation Analysis

The subject property at 43401 NE Latourell Rd, Corbett, OR 97019 is a 2,278 sq ft Residential constructed in 1899, situated on a 1.93-acre lot.

A search of recent residential sales within 0.1 miles identified 14 comparable properties sold within the past 24 months. These properties range from 1,414 to 3,462 sq ft. The median sale price per square foot among these comparables is $376. Note: An expanded search radius was used due to limited comparable sales in the immediate area.

**Applying the 25th percentile sale price of $202 per square foot to the subject property's 2,278 sq ft yields a market value estimate of approximately $459,938. The county's current market value of $640,660 exceeds this estimate by $180,722 (28.2%). At an effective tax rate of 0.61%, this overassessment represents approximately $1,104 in excess annual property taxes.**

The comparable sales used in this analysis are detailed in the table below. All properties are residential, sold within 24 months, and located within 0.1 miles of the subject property.

*Additionally, environmental or locational factors affecting this property may further impact its market value.*

## Comparable Sales Analysis

| # | ADDRESS | DISTANCE | SQFT | YEAR | SALE DATE | SALE PRICE | $/SQFT |
|---|---|---|---|---|---|---|---|
| **S** | **43401 NE Latourell Rd (Subject)** | **—** | **2,278** | **1899** | **—** | **—** | **—** |
| 1 | 38718 E HIST COLUMBIA RIVER HWY | — | 3,462 | — | 1/5/2026 | $625,000 | $181 |
| 2 | 39700 E HISTORIC COLUMBIA RIVER HWY | — | 2,448 | — | 11/26/2024 | $450,000 | $184 |
| 3 | 33850 E BELL RD | — | 1,745 | — | 7/10/2025 | $575,000 | $330 |
| 4 | 37807 SE RICKERT RD | — | 1,883 | — | 10/3/2025 | $902,000 | $479 |
| 5 | 35327 SE ELLIS RD | — | 1,692 | — | 6/12/2025 | $636,800 | $376 |
| 6 | 37122 NE CLARA SMITH RD | — | 1,414 | — | 7/24/2025 | $750,000 | $530 |
| 7 | 33802 E HIST COLUMBIA RIVER HWY | — | 1,974 | — | 9/25/2025 | $605,000 | $306 |
| 8 | 35942 SE HURLBURT RD | — | 1,853 | — | 9/8/2025 | $700,000 | $378 |

| # | ADDRESS | DISTANCE | SQFT | YEAR | SALE DATE | SALE PRICE | $/SQFT |
|---|---|---|---|---|---|---|---|
| 9 | 32314 SE OXBOW DR | — | 2,120 | — | 12/19/2025 | $610,000 | $288 |
| 10 | 701 NE EVANS RD | — | 1,458 | — | 8/15/2025 | $715,000 | $490 |
| 11 | 37925 E KNIERIEM RD | — | 2,112 | — | 12/5/2025 | $845,000 | $400 |
| 12 | 43601 SE TROUT CREEK RD | — | 3,060 | — | 4/7/2025 | $550,000 | $180 |
| 13 | 33925 E HISTORIC COLUMBIA RIVER HWY | — | 1,510 | — | 4/25/2025 | $599,010 | $397 |
| 14 | 30715 E WOODARD RD | — | 3,046 | — | 12/31/2025 | $615,000 | $202 |

| MEDIAN SALE PRICE | 25TH PCTL $/SQFT | SUBJECT SQFT | MARKET VALUE |
|---|---|---|---|
| $625,000 | $202 | 2,278 | $459,938 |

*Comparable sales within 0.1 miles, sold within the past 24 months. All transactions are arm's-length sales from public county records.*

## Comparable Properties Map

*Subject property (blue pin) and comparable sales locations (red pins)*

# Comparable Property Details

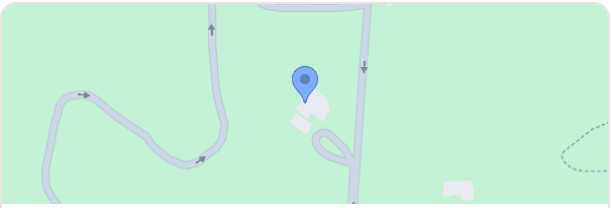

1

SALE PRICE

**$625,000**

### 38718 E HIST COLUMBIA RIVER HWY

3,462 sqft · Sold 1/5/2026 · $181/sqft

2

SALE PRICE

**$450,000**

### 39700 E HISTORIC COLUMBIA RIVER HWY

2,448 sqft · Sold 11/26/2024 · $184/sqft

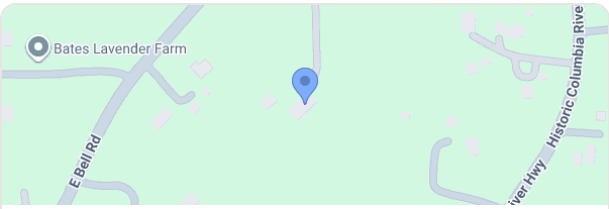


3

SALE PRICE

**$575,000**

### 33850 E BELL RD

1,745 sqft · Sold 7/10/2025 · $330/sqft

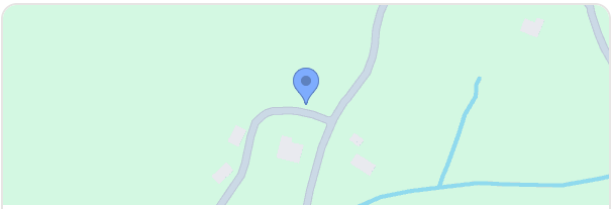

4

SALE PRICE

**$902,000**

### 37807 SE RICKERT RD

1,883 sqft · Sold 10/3/2025 · $479/sqft

5

SALE PRICE

**$636,800**

### 35327 SE ELLIS RD

1,692 sqft · Sold 6/12/2025 · $376/sqft

6

SALE PRICE

**$750,000**

### 37122 NE CLARA SMITH RD

1,414 sqft · Sold 7/24/2025 · $530/sqft

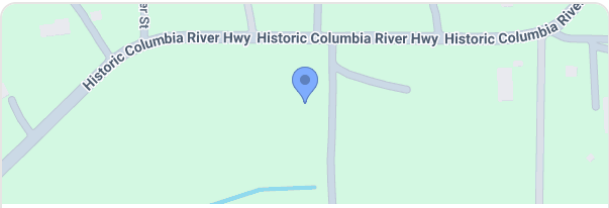


7

SALE PRICE

**$605,000**

### 33802 E HIST COLUMBIA RIVER HWY

1,974 sqft · Sold 9/25/2025 · $306/sqft

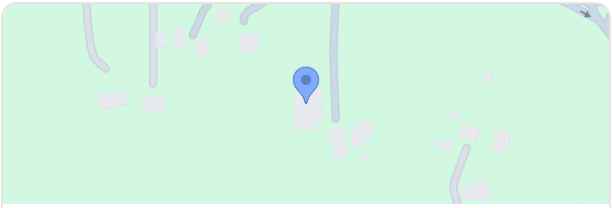

8

SALE PRICE

**$700,000**

### 35942 SE HURLBURT RD

1,853 sqft · Sold 9/8/2025 · $378/sqft

9

SALE PRICE

**$610,000**

### 32314 SE OXBOW DR

2,120 sqft · Sold 12/19/2025 · $288/sqft

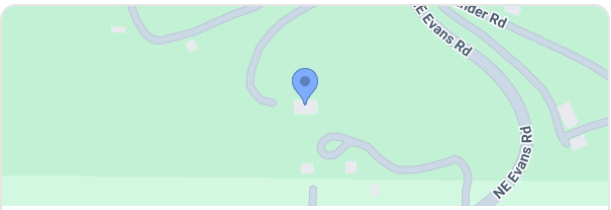


10

SALE PRICE

**$715,000**

### 701 NE EVANS RD

1,458 sqft · Sold 8/15/2025 · $490/sqft

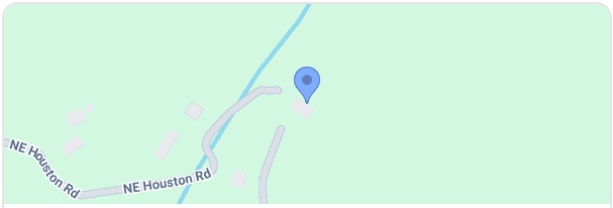


11

SALE PRICE

**$845,000**

### 37925 E KNIERIEM RD

2,112 sqft · Sold 12/5/2025 · $400/sqft

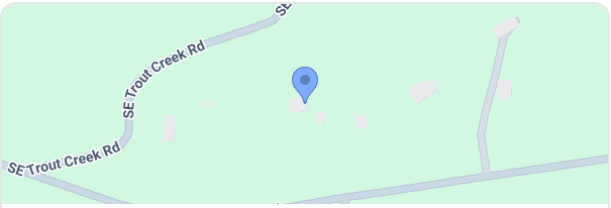


12

SALE PRICE

**$550,000**

### 43601 SE TROUT CREEK RD

3,060 sqft · Sold 4/7/2025 · $180/sqft

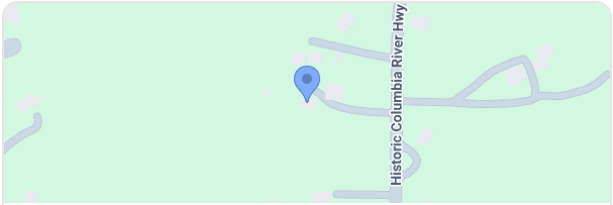


13

SALE PRICE

**$599,010**

### 33925 E HISTORIC COLUMBIA RIVER HWY

1,510 sqft · Sold 4/25/2025 · $397/sqft

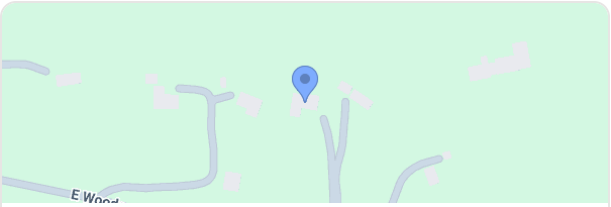

14

SALE PRICE

**$615,000**

### 30715 E WOODARD RD

3,046 sqft · Sold 12/31/2025 · $202/sqft