Property Tax Assessment Analysis

1906 Plymouth St
Philadelphia County · March 7, 2026

1906 Plymouth St

Philadelphia, PA 19138 · Parcel: 10-1-3093-00

Living Area	1,194 sqft	Lot Size	1,043 sqft
Bedrooms	3	Bathrooms	1
Year Built	1925	Property Type	Residential

Assessment Analysis

County Appraised Value	$182,800
Market Value (Comps)	$97,768
Overassessment	**$85,032**

Environmental & Locational Factors

The following factors were detected within 1 mile of the subject property and may support a lower assessment:

🏭 **Commercial/Industrial Zone**
2 retail zone(s) within 1 mile (incl. Greenleaf at Cheltenham)

Source: Census TIGERweb, FEMA National Flood Hazard Layer, OpenStreetMap

Valuation Analysis

The subject property at 1906 Plymouth St, Philadelphia, PA 19138 is a 1,194 sq ft Residential constructed in 1925, situated on a 1,043 sq ft lot.

A search of recent residential sales within 0.2 miles identified 3 comparable properties sold within the past 6 months. These properties range from 1,194 to 1,278 sq ft. The median sale price per square foot among these comparables is $89.

Applying the 25th percentile sale price of $82 per square foot to the subject property's 1,194 sq ft yields a market value estimate of approximately $97,768. The county's current appraised value of $182,800 exceeds this estimate by $85,032 (46.5%). At an effective tax rate of 0.63%, this overassessment represents approximately $539 in excess annual property taxes.

The comparable sales used in this analysis are detailed in the table below. All properties are residential, sold within 6 months, and located within 0.2 miles of the subject property.

Additionally, environmental or locational factors affecting this property may further impact its market value. These factors are detailed in the Filing Guide included with this packet.

Comparable Sales Analysis

#	ADDRESS	DISTANCE	SQFT	YEAR	SALE DATE	SALE PRICE	$/SQFT
S	**1906 Plymouth St (Subject)**	**—**	**1,194**	**1925**	**—**	**—**	**—**
1	1936 74th Ave	0.2 mi	1,278	1925	2/23/2026	$95,000	$74
2	1901 1/2 72nd Ave	0.0 mi	1,230	1925	2/17/2026	$110,000	$89
3	7157 N Uber St	0.1 mi	1,194	1925	2/19/2026	$111,000	$93

MEDIAN SALE PRICE	25TH PCTL $/SQFT	SUBJECT SQFT	MARKET VALUE
$110,000	$82	1,194	$97,768

Comparable sales within 0.2 miles, sold within the past 6 months. All transactions are arm's-length sales from public county records.

Comparable Properties Map

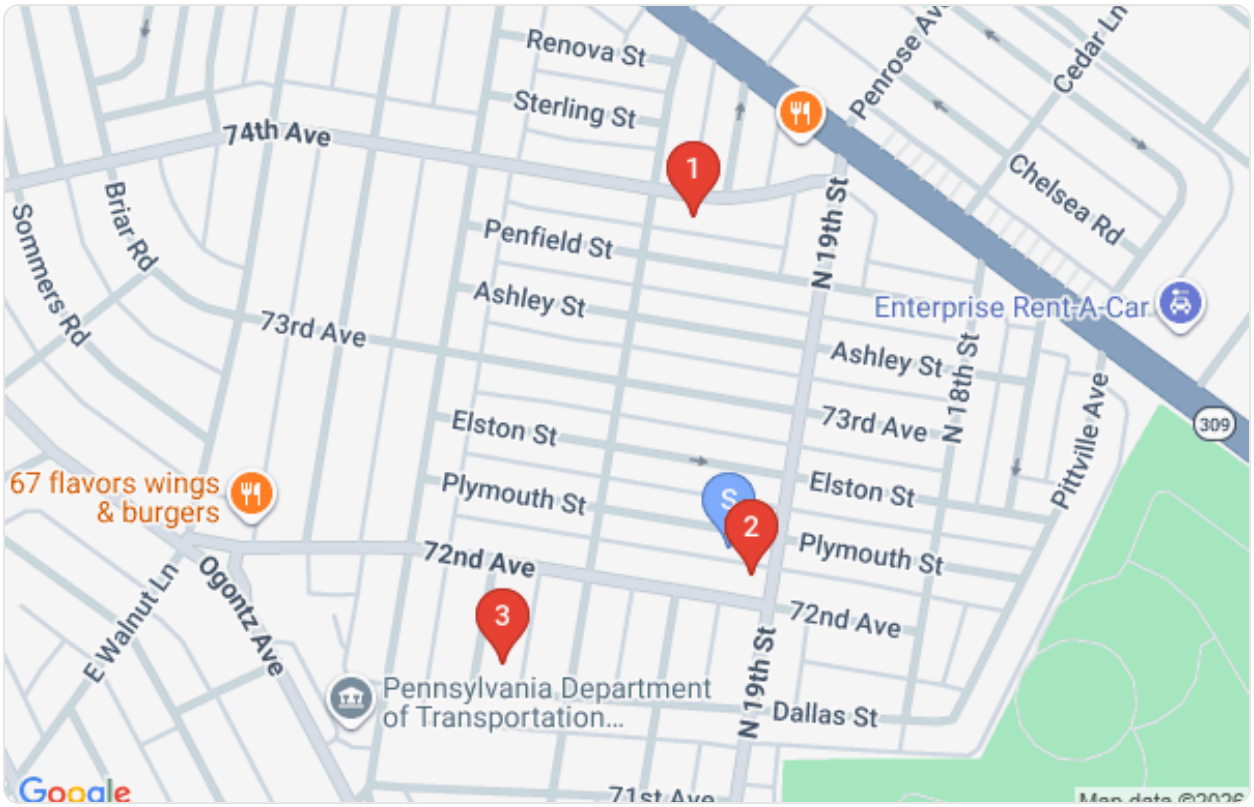

Subject property (blue pin) and comparable sales locations (red pins)

Comparable Property Details



1

SALE PRICE

$95,000

1936 74th Ave

1,278 sqft · Built 1925 · 0.2 mi · Sold 2/23/2026 · $74/sqft



2

SALE PRICE

$110,000

1901 1/2 72nd Ave

1,230 sqft · Built 1925 · 0.0 mi · Sold 2/17/2026 · $89/sqft

3

SALE PRICE

$111,000

7157 N Uber St

1,194 sqft · Built 1925 · 0.1 mi · Sold 2/19/2026 · $93/sqft