Property Tax Assessment Analysis

5203 Ivory Pearl Ct
Harris County · March 7, 2026



5203 Ivory Pearl Ct

Katy, TX 77493 · Parcel: 1367280010030

Living Area	3,715 sqft	Lot Size	7,549 sqft
Bedrooms	4	Bathrooms	2
Year Built	2016	Property Type	Residential

Assessment Analysis

County Appraised Value	$469,019
Market Value (Comps)	$479,139
Underassessment	-$10,120

Factors Considered in Our Analysis

The following factors were considered in our analysis of your property's value:

🏭 **Commercial/Industrial Zone**
1 commercial, 2 industrial zone(s) within 1 mile

Source: Census TIGERweb, FEMA National Flood Hazard Layer, OpenStreetMap

Valuation Analysis

The subject property at 5203 Ivory Pearl Ct, Katy, TX 77493 is a 3,715 sq ft Residential constructed in 2016, situated on a 7,549 sq ft lot.

A search of recent residential sales within 1.1 miles identified 11 comparable properties sold within the past 24 months. These properties range from 2,227 to 3,812 sq ft. The median estimated value per square foot among these comparables is $136. Note: An expanded search radius was used due to limited comparable sales in the immediate area.

Applying the 25th percentile price of $129 per square foot to the subject property's 3,715 sq ft yields a market value estimate of approximately $479,139.

The comparable properties used in this analysis are detailed in the table below. All properties are residential, sold within 24 months, and located within 1.1 miles of the subject property.

Note: TX does not publicly disclose sale prices. Comparable values shown are estimated market values derived from property and market data.

Additionally, environmental or locational factors affecting this property may further impact its market value.

Comparable Property Analysis

#	ADDRESS	DISTANCE	SQFT	YEAR	SALE DATE	SALE PRICE*	$/SQFT
S	**5203 Ivory Pearl Ct (Subject)**	**—**	**3,715**	**2016**	**—**	**—**	**—**
1	5234 LINEAGE DR	—	2,227	—	10/31/2025	$303,750	$136
2	24402 IVORY SUNSET LN	—	3,039	—	12/12/2025	$410,000	$135
3	4315 SANDHILL TERRACE LN	—	3,260	—	10/14/2025	$475,000	$146
4	5115 BARONESS LN	—	3,149	—	6/24/2025	$402,500	$128
5	24327 MAJESTIC CROWN CT	—	2,994	—	7/1/2025	$420,000	$140
6	5211 REGAL GEM LN	—	3,379	—	9/22/2025	$485,000	$144
7	24014 KINGDOM ISLE LN	—	3,190	—	6/17/2025	$395,000	$124
8	24102 DYNASTY DR	—	3,334	—	6/17/2025	$430,000	$129
9	24411 IVORY SUNSET LN	—	3,812	—	6/6/2025	$550,000	$144

#	ADDRESS	DISTANCE	SQFT	YEAR	SALE DATE	SALE PRICE*	$/SQFT
10	24618 BALLAD DR	—	3,072	—	6/16/2025	$425,000	$138
11	5107 IVORY GLASS DR	—	2,757	—	10/22/2025	$370,000	$134

MEDIAN PRICE	25TH PCTL $/SQFT	SUBJECT SQFT	MARKET VALUE
$420,000	**$129**	**3,715**	**$479,139**

*Comparable sales within 1.1 miles, sold within the past 24 months. All transactions are arm's-length sales from public county records. *Estimated market value — actual sale price not publicly disclosed in this state.*

Comparable Properties Map

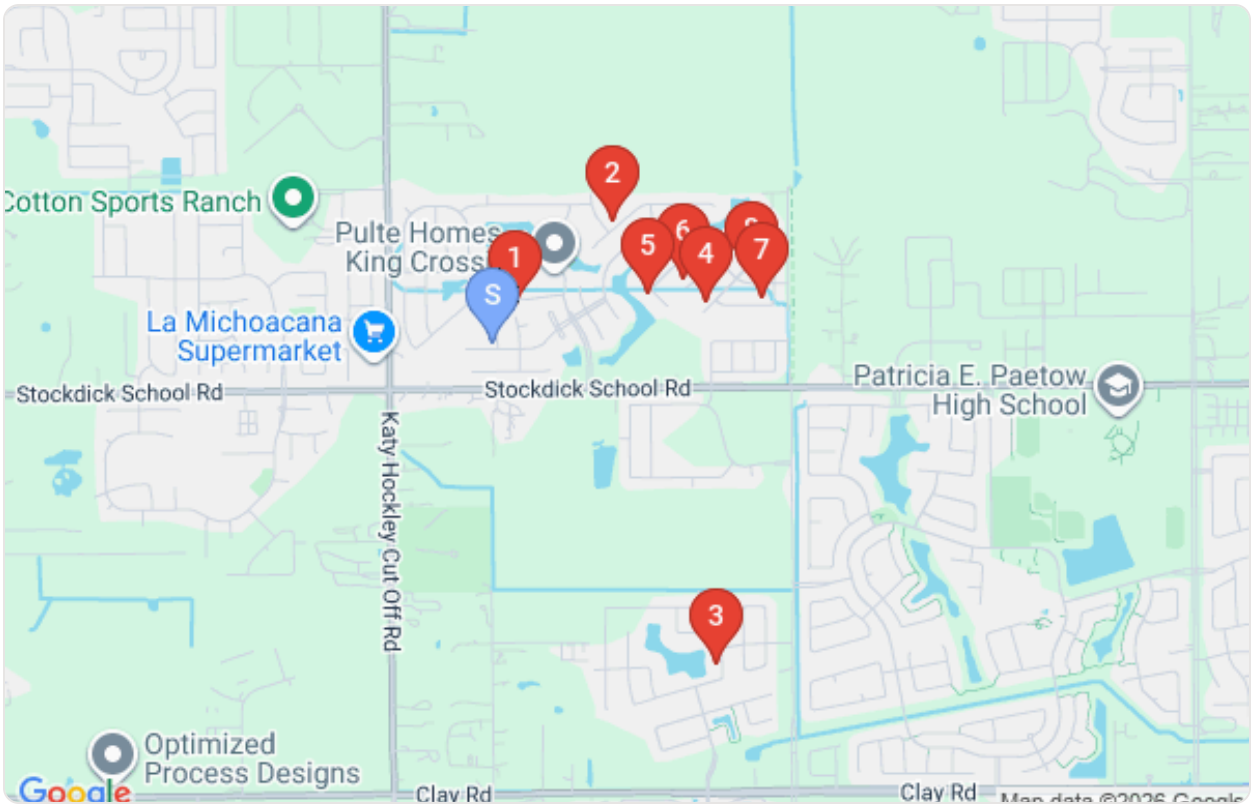

Subject property (blue pin) and comparable property locations (red pins)

Comparable Property Details

1

SALE PRICE

$303,750

5234 LINEAGE DR

2,227 sqft · Sold 10/31/2025 · $136/sqft



2

EST. MARKET VALUE

$410,000

24402 IVORY SUNSET LN

3,039 sqft · Sold 12/12/2025 · $135/sqft

3

EST. MARKET VALUE

$475,000

4315 SANDHILL TERRACE LN

3,260 sqft · Sold 10/14/2025 · $146/sqft

4

EST. MARKET VALUE

$402,500

5115 BARONESS LN

3,149 sqft · Sold 6/24/2025 · $128/sqft

5

EST. MARKET VALUE

$420,000

24327 MAJESTIC CROWN CT

2,994 sqft · Sold 7/1/2025 · $140/sqft

6

EST. MARKET VALUE

$485,000

5211 REGAL GEM LN

3,379 sqft · Sold 9/22/2025 · $144/sqft

7

EST. MARKET VALUE

$395,000

24014 KINGDOM ISLE LN

3,190 sqft · Sold 6/17/2025 · $124/sqft

8

EST. MARKET VALUE

$430,000

24102 DYNASTY DR

3,334 sqft · Sold 6/17/2025 · $129/sqft

9

EST. MARKET VALUE

$550,000

24411 IVORY SUNSET LN

3,812 sqft · Sold 6/6/2025 · $144/sqft

10

EST. MARKET VALUE

$425,000

24618 BALLAD DR

3,072 sqft · Sold 6/16/2025 · $138/sqft

11

EST. MARKET VALUE

$370,000

5107 IVORY GLASS DR

2,757 sqft · Sold 10/22/2025 · $134/sqft