Property Tax Assessment Analysis

1170 Park Ave
Fairfield County · March 7, 2026



1170 Park Ave

Bridgeport, CT 06604 · Parcel: BDPT M:34 B:1058 L:3

Living Area	**3,221 sqft**	Lot Size	**3,668 sqft**
Bedrooms	**6**	Bathrooms	**3**
Year Built	**1902**	Property Type	**Triplex**

Assessment Analysis

County Appraised Value	**$264,192**
Assessment Ratio (CT)	**70%**
Taxable Assessed Value	**$184,934**
Market Value (Comps)	**$418,090**
Underassessment	**-$153,898**

Note: The most recent assessment data available for this property is from 2024. Current assessment values may differ. We recommend verifying your assessment with your county assessor before filing.

Valuation Analysis

The subject property at 1170 Park Ave, Bridgeport, CT 06604 is a 3,221 sq ft Triplex constructed in 1902, situated on a 3,668 sq ft lot.

A search of recent residential sales in the surrounding area identified 15 comparable properties sold within the past 24 months. These properties range from 2,222 to 4,061 sq ft. The median sale price per square foot among these comparables is $187. Note: An expanded search radius was used due to limited comparable sales in the immediate area.

Applying the 25th percentile sale price of $130 per square foot to the subject property's 3,221 sq ft yields a market value estimate of approximately $418,090.

The comparable sales used in this analysis are detailed in the table below. All properties are residential, sold within 24 months, and located in the surrounding area of the subject property.

Comparable Sales Analysis

#	ADDRESS	DISTANCE	SQFT	YEAR	SALE DATE	SALE PRICE	$/SQFT
S	**1170 Park Ave (Subject)**	**—**	**3,221**	**1902**	**—**	**—**	**—**
1	285 BLACK ROCK AVE	—	3,408	—	1/7/2026	$230,000	$67
2	103 HIGHLAND AVE	—	3,122	—	9/8/2025	$340,000	$109
3	383 HARRAL AVE	—	2,982	—	1/22/2025	$260,000	$87
4	489-491 PEQUONNOCK ST	—	2,398	—	11/13/2025	$460,000	$192
5	1033-1035 HOWARD AVE	—	2,884	—	11/17/2025	$550,000	$191
6	253 LINEN AVE	—	2,966	—	6/9/2025	$400,000	$135
7	2455-2457 NORTH AVE	—	3,482	—	1/29/2026	$699,900	$201
8	25-27 POPLAR ST	—	2,610	—	4/16/2025	$487,400	$187
9	75-77 SANFORD AVE	—	2,222	—	2/9/2026	$424,500	$191
10	150-154 NORMAN ST	—	3,170	—	3/27/2025	$587,100	$185
11	725-727 BEECHWOOD AVE	—	2,676	—	12/31/2025	$640,000	$239

#	ADDRESS	DISTANCE	SQFT	YEAR	SALE DATE	SALE PRICE	$/SQFT
12	91 JOHNSON ST	—	2,731	—	9/25/2025	$340,667	$125
13	1786 NORTH AVE	—	4,061	—	5/29/2025	$658,000	$162
14	224-226 DENVER AVE	—	2,568	—	6/23/2025	$500,000	$195
15	266-270 MYRTLE AVE	—	3,246	—	4/4/2025	$665,000	$205

MEDIAN SALE PRICE	25TH PCTL $/SQFT	SUBJECT SQFT	MARKET VALUE
$487,400	**$130**	**3,221**	**$418,090**

Comparable sales in the surrounding area, sold within the past 24 months. All transactions are arm's-length sales from public county records.

Comparable Properties Map

Subject property (blue pin) and comparable sales locations (red pins)

Comparable Property Details

1

SALE PRICE
$230,000

285 BLACK ROCK AVE

3,408 sqft · Sold 1/7/2026 · $67/sqft

2

SALE PRICE
$340,000

103 HIGHLAND AVE

3,122 sqft · Sold 9/8/2025 · $109/sqft

3

SALE PRICE
$260,000

383 HARRAL AVE

2,982 sqft · Sold 1/22/2025 · $87/sqft

4

SALE PRICE
$460,000

489-491 PEQUONNOCK ST

2,398 sqft · Sold 11/13/2025 · $192/sqft

5

SALE PRICE
$550,000

1033-1035 HOWARD AVE

2,884 sqft · Sold 11/17/2025 · $191/sqft

6

SALE PRICE
$400,000

253 LINEN AVE

2,966 sqft · Sold 6/9/2025 · $135/sqft

7

SALE PRICE
$699,900

2455-2457 NORTH AVE

3,482 sqft · Sold 1/29/2026 · $201/sqft

8

SALE PRICE
$487,400

25-27 POPLAR ST

2,610 sqft · Sold 4/16/2025 · $187/sqft



9

SALE PRICE

$424,500

75-77 SANFORD AVE

2,222 sqft · Sold 2/9/2026 · $191/sqft

10

SALE PRICE

$587,100

150-154 NORMAN ST

3,170 sqft · Sold 3/27/2025 · $185/sqft

11

SALE PRICE

$640,000

725-727 BEECHWOOD AVE

2,676 sqft · Sold 12/31/2025 · $239/sqft

12

SALE PRICE

$340,667

91 JOHNSON ST

2,731 sqft · Sold 9/25/2025 · $125/sqft

13

SALE PRICE

$658,000

1786 NORTH AVE

4,061 sqft · Sold 5/29/2025 · $162/sqft



14

SALE PRICE

$500,000

224-226 DENVER AVE

2,568 sqft · Sold 6/23/2025 · $195/sqft

15

SALE PRICE

$665,000

266-270 MYRTLE AVE

3,246 sqft · Sold 4/4/2025 · $205/sqft