Property Tax Assessment Analysis

340 Willow Wind Rd
Richland County · March 7, 2026

340 Willow Wind Rd

Hopkins, SC 29061 · Parcel: R21706-05-01

Living Area	**2,264 sqft**	Bedrooms	**3**
Bathrooms	**3**	Year Built	**2022**
Property Type	**Other / Unknown**		

Assessment Analysis

County Appraised Value	**$255,490**
Assessment Ratio (SC)	**4%**
Taxable Assessed Value	**$10,220**
Market Value (Comps)	**$255,490**
Overassessment	**$0**

Note: The most recent assessment data available for this property is from 2024. Current assessment values may differ. We recommend verifying your assessment with your county assessor before filing.

Factors Considered in Our Analysis

The following factors were considered in our analysis of your property's value:

🚂 **Railroad**

2 railroad(s) within 1 mile: Csx Transportation, Norfolk Southern Rlwy

Source: Census TIGERweb, FEMA National Flood Hazard Layer, OpenStreetMap

Valuation Analysis

The subject property at 340 Willow Wind Rd, Hopkins, SC 29061 is a 2,264 sq ft Other / Unknown constructed in 2022.

A search of recent residential sales within 5 miles identified 15 comparable properties sold within the past 24 months. These properties range from 1,700 to 2,737 sq ft. The median sale price per square foot among these comparables is $130. Note: An expanded search radius was used due to limited comparable sales in the immediate area.

Applying the 25th percentile sale price of $113 per square foot to the subject property's 2,264 sq ft yields a market value estimate of approximately $255,490.

The comparable sales used in this analysis are detailed in the table below. All properties are residential, sold within 24 months, and located within 5 miles of the subject property.

Additionally, environmental or locational factors affecting this property may further impact its market value.

Comparable Sales Analysis

#	ADDRESS	DISTANCE	SQFT	YEAR	SALE DATE	SALE PRICE	$/SQFT
S	**340 Willow Wind Rd (Subject)**	**—**	**2,264**	**2022**	**—**	**—**	**—**
1	2789 PRINCE CHARLES CT	—	2,008	—	4/30/2024	$256,000	$127
2	2087 ELMRIDGE RD	—	2,374	—	11/13/2025	$280,000	$118
3	2785 PRINCE CHARLES CT	—	1,700	—	4/23/2024	$250,000	$147
4	1030 JOSEPH WESLEY RD	—	2,607	—	10/15/2024	$190,000	$73

#	ADDRESS	DISTANCE	SQFT	YEAR	SALE DATE	SALE PRICE	$/SQFT
5	5641 LOWER RICHLAND BLVD	—	2,078	—	8/26/2025	$234,500	$113
6	130 HARVESTER LOOP	—	1,964	—	7/23/2025	$290,000	$148
7	307 HARVESTER LOOP	—	2,264	—	9/15/2025	$311,500	$138
8	856 WHITE FAWN DR	—	1,845	—	11/20/2025	$251,000	$136
9	357 HARVESTER LOOP	—	2,112	—	6/12/2025	$298,500	$141
10	132 ALEXANDER POINTE DR	—	1,824	—	2/10/2026	$265,000	$145
11	3121 ULMER RD	—	1,878	—	1/21/2026	$274,000	$146
12	175 ROSECLIFF CIR	—	2,589	—	2/17/2026	$234,900	$91
13	290 KNIGHT VALLEY CIR	—	2,354	—	12/2/2025	$289,900	$123
14	114 MYERS CREEK DR	—	2,737	—	10/9/2025	$275,000	$100
15	457 WILLOW WIND RD	—	2,264	—	2/27/2025	$295,000	$130

MEDIAN SALE PRICE	25TH PCTL $/SQFT	SUBJECT SQFT	MARKET VALUE
$274,000	**$113**	**2,264**	**$255,490**

Comparable sales within 5 miles, sold within the past 24 months. All transactions are arm's-length sales from public county records.

Comparable Properties Map

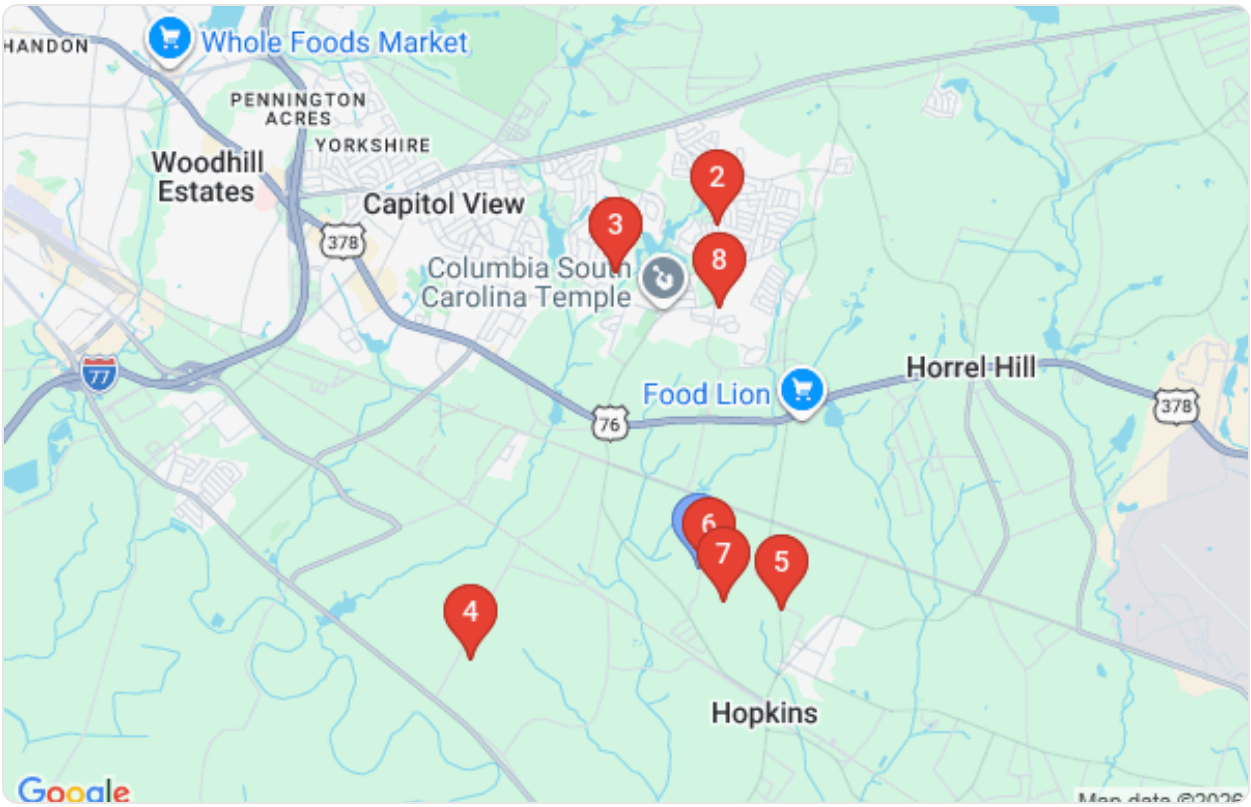

Subject property (blue pin) and comparable sales locations (red pins)

Comparable Property Details

1

SALE PRICE
$256,000

2789 PRINCE CHARLES CT

2,008 sqft · Sold 4/30/2024 · $127/sqft

2

SALE PRICE
$280,000

2087 ELMRIDGE RD

2,374 sqft · Sold 11/13/2025 · $118/sqft

3

SALE PRICE
$250,000

2785 PRINCE CHARLES CT

1,700 sqft · Sold 4/23/2024 · $147/sqft

4

SALE PRICE
$190,000

1030 JOSEPH WESLEY RD

2,607 sqft · Sold 10/15/2024 · $73/sqft

5

SALE PRICE
$234,500

5641 LOWER RICHLAND BLVD

2,078 sqft · Sold 8/26/2025 · $113/sqft

6

SALE PRICE
$290,000

130 HARVESTER LOOP

1,964 sqft · Sold 7/23/2025 · $148/sqft

7

SALE PRICE
$311,500

307 HARVESTER LOOP

2,264 sqft · Sold 9/15/2025 · $138/sqft

8

SALE PRICE
$251,000

856 WHITE FAWN DR

1,845 sqft · Sold 11/20/2025 · $136/sqft

9

SALE PRICE
$298,500

357 HARVESTER LOOP

2,112 sqft · Sold 6/12/2025 · $141/sqft



10

SALE PRICE
$265,000

132 ALEXANDER POINTE DR

1,824 sqft · Sold 2/10/2026 · $145/sqft

11

SALE PRICE
$274,000

3121 ULMER RD

1,878 sqft · Sold 1/21/2026 · $146/sqft

12

SALE PRICE
$234,900

175 ROSECLIFF CIR

2,589 sqft · Sold 2/17/2026 · $91/sqft

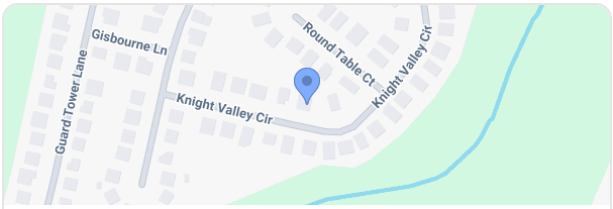

13

SALE PRICE
$289,900

290 KNIGHT VALLEY CIR

2,354 sqft · Sold 12/2/2025 · $123/sqft

14

SALE PRICE
$275,000

114 MYERS CREEK DR

2,737 sqft · Sold 10/9/2025 · $100/sqft

15

SALE PRICE
$295,000

457 WILLOW WIND RD

2,264 sqft · Sold 2/27/2025 · $130/sqft