Property Tax Assessment Analysis

22794 Doc McDuffie Rd
Baldwin County · March 6, 2026



22794 Doc McDuffie Rd

Foley, AL 36535 · Parcel: 61-01-02-0-000-001.066

Living Area	1,000 sqft	Lot Size	1.10 acres
Bedrooms	2	Bathrooms	1
Year Built	1971	Property Type	Residential

Assessment Analysis

County Appraised Value	$209,600
Assessment Ratio (AL)	10%
Taxable Assessed Value	$20,960
Market Value (Comps)	$153,899
Overassessment	**$55,701**

Note: The most recent assessment data available for this property is from 2024. Current assessment values may differ. We recommend verifying your assessment with your county assessor before filing.

Valuation Analysis

The subject property at 22794 Doc McDuffie Rd, Foley, AL 36535 is a 1,000 sq ft Residential constructed in 1971, situated on a 1.10-acre lot.

A search of recent residential sales within 1.4 miles identified 4 comparable properties sold within the past 24 months. These properties range from 1,576 to 2,180 sq ft. The median sale price per square foot among these comparables is $159. Note: An expanded search radius was used due to limited comparable sales in the immediate area.

Applying the 25th percentile sale price of $154 per square foot to the subject property's 1,000 sq ft yields a market value estimate of approximately $153,899. The county's current appraised value of $209,600 exceeds this estimate by $55,701 (26.6%). At AL's 10% assessment ratio, this overassessment represents approximately $1,393 in estimated excess annual property taxes.

The comparable sales used in this analysis are detailed in the table below. All properties are residential, sold within 24 months, and located within 1.4 miles of the subject property.

Comparable Sales Analysis

#	ADDRESS	DISTANCE	SQFT	YEAR	SALE DATE	SALE PRICE	$/SQFT
S	**22794 Doc McDuffie Rd (Subject)**	—	**1,000**	**1971**	—	—	—
1	12289 Sandy Ln	1.4 mi	1,592	1980	11/10/2025	$150,000	$94
2	9825 Fairway Dr	1.2 mi	2,180	1989	1/16/2026	$335,500	$154
3	22580 Wedgewood Dr	1.4 mi	1,692	1990	12/18/2025	$430,000	$254
4	11040 Patterson Ln	1.3 mi	1,576	1985	1/29/2026	$250,000	$159

MEDIAN SALE PRICE	25TH PCTL $/SQFT	SUBJECT SQFT	MARKET VALUE
$335,500	$154	1,000	$153,899

Comparable sales within 1.4 miles, sold within the past 24 months. All transactions are arm's-length sales from public county records.

Comparable Properties Map

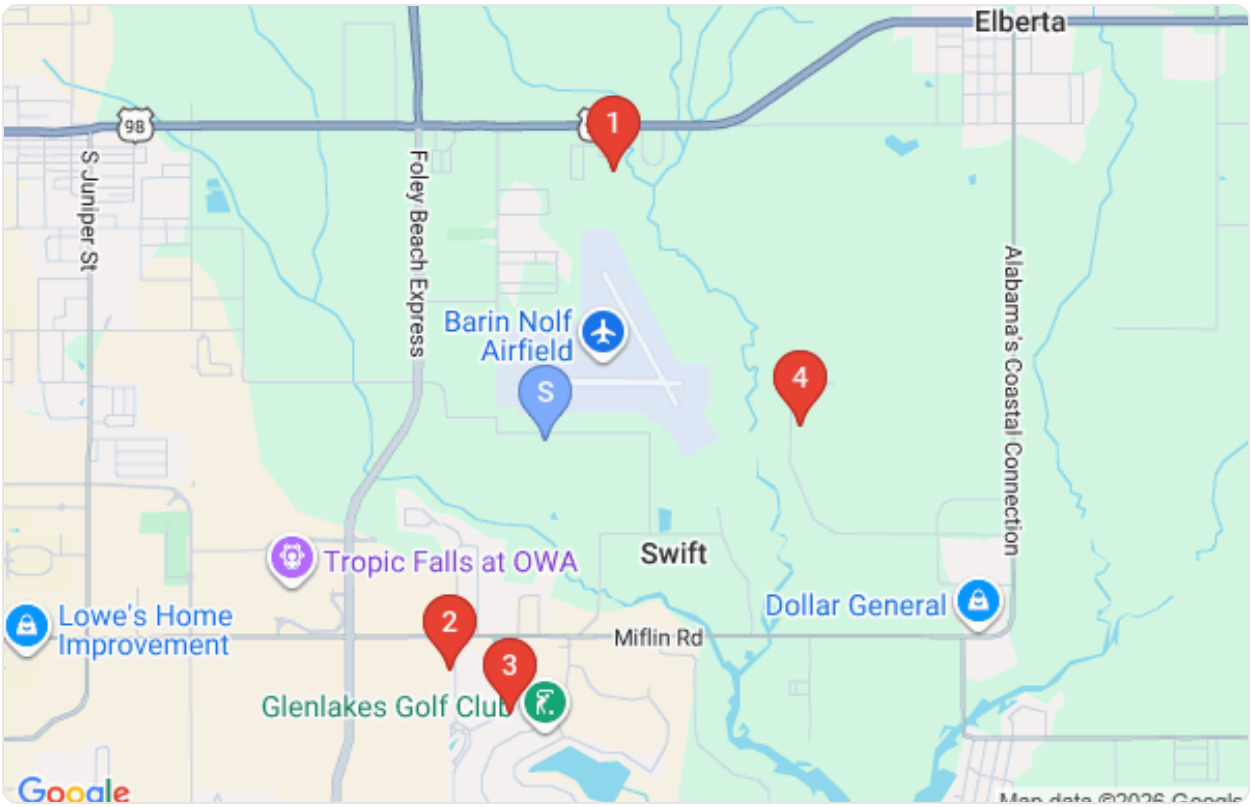

Subject property (blue pin) and comparable sales locations (red pins)

Comparable Property Details



1

SALE PRICE

$150,000

12289 Sandy Ln

1,592 sqft · Built 1980 · 1.4 mi · Sold 11/10/2025 · $94/sqft

2

SALE PRICE

$335,500

9825 Fairway Dr

2,180 sqft · Built 1989 · 1.2 mi · Sold 1/16/2026 · $154/sqft

3

SALE PRICE

$430,000

22580 Wedgewood Dr

1,692 sqft · Built 1990 · 1.4 mi · Sold 12/18/2025 · $254/sqft

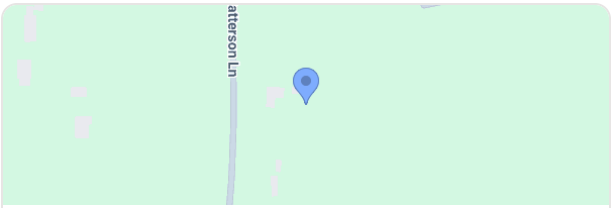

4

SALE PRICE

$250,000

11040 Patterson Ln

1,576 sqft · Built 1985 · 1.3 mi · Sold 1/29/2026 · $159/sqft