Property Tax Assessment Analysis

660 Baker Rd
Mobile County · March 7, 2026

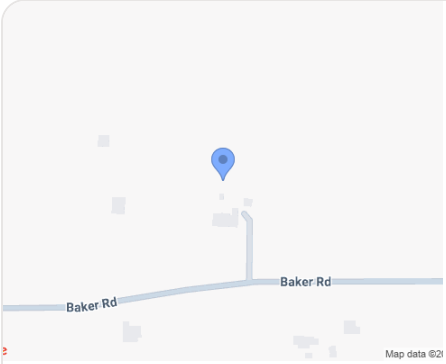

660 Baker Rd

Satsuma, AL 36572 · Parcel: 19 08 28 2 000 003.02X

Living Area	2,705 sqft	Lot Size	5.14 acres
Bedrooms	3	Bathrooms	2
Year Built	1978	Property Type	Residential

Assessment Analysis

County Appraised Value	$286,600
Assessment Ratio (AL)	10%
Taxable Assessed Value	$28,660
Market Value (Comps)	$216,680
Overassessment	**$69,920**

Environmental & Locational Factors

The following factors were detected within 1 mile of the subject property and may support a lower assessment:

Major Highway
1 major highway(s) within 1 mile: I-65

Source: Census TIGERweb, FEMA National Flood Hazard Layer, OpenStreetMap

Valuation Analysis

The subject property at 660 Baker Rd, Satsuma, AL 36572 is a 2,705 sq ft Residential constructed in 1978, situated on a 5.14-acre lot.

A search of recent residential sales within 1.5 miles identified 10 comparable properties sold within the past 18 months. These properties range from 1,931 to 2,858 sq ft. The median sale price per square foot among these comparables is $100. Note: An expanded search radius was used due to limited comparable sales in the immediate area.

Applying the 25th percentile sale price of $80 per square foot to the subject property's 2,705 sq ft yields a market value estimate of approximately $216,680. The county's current appraised value of $286,600 exceeds this estimate by $69,920 (24.4%). At an effective tax rate of 0.58%, this overassessment represents approximately $408 in excess annual property taxes.

The comparable sales used in this analysis are detailed in the table below. All properties are residential, sold within 18 months, and located within 1.5 miles of the subject property.

Additionally, environmental or locational factors affecting this property may further impact its market value. These factors are detailed in the Filing Guide included with this packet.

Comparable Sales Analysis

#	ADDRESS	DISTANCE	SQFT	YEAR	SALE DATE	SALE PRICE	$/SQFT
S	**660 Baker Rd (Subject)**	**—**	**2,705**	**1978**	**—**	**—**	**—**
1	5229 Hartley Rd	1.3 mi	2,500	1994	9/12/2025	$250,000	$100
2	5397 Hartley Rd	0.9 mi	2,858	1993	12/31/2025	$225,586	$79
3	16 Cherry Dr	1.4 mi	1,985	1988	12/18/2025	$171,500	$86
4	324 Hummingbird Dr N	0.9 mi	1,931	1962	11/14/2025	$226,450	$117
5	309 Thunderbird Dr	1.1 mi	2,116	1960	1/27/2026	$110,000	$52
6	322 Thunderbird Dr	1.0 mi	2,040	1965	12/4/2025	$315,000	$154
7	315 Thunderbird Dr	1.0 mi	2,291	1967	12/3/2025	$200,000	$87
8	5396 Hartley Rd	1.0 mi	2,026	1955	10/1/2025	$333,000	$164

#	ADDRESS	DISTANCE	SQFT	YEAR	SALE DATE	SALE PRICE	$/SQFT
9	25 Cherry Dr	1.5 mi	1,970	1989	9/18/2025	$272,000	$138
10	22 Saraland Ave	1.3 mi	1,935	1962	9/15/2025	$155,000	$80

MEDIAN SALE PRICE	25TH PCTL $/SQFT	SUBJECT SQFT	MARKET VALUE
$226,450	**$80**	**2,705**	**$216,680**

Comparable sales within 1.5 miles, sold within the past 18 months. All transactions are arm's-length sales from public county records.

Comparable Properties Map

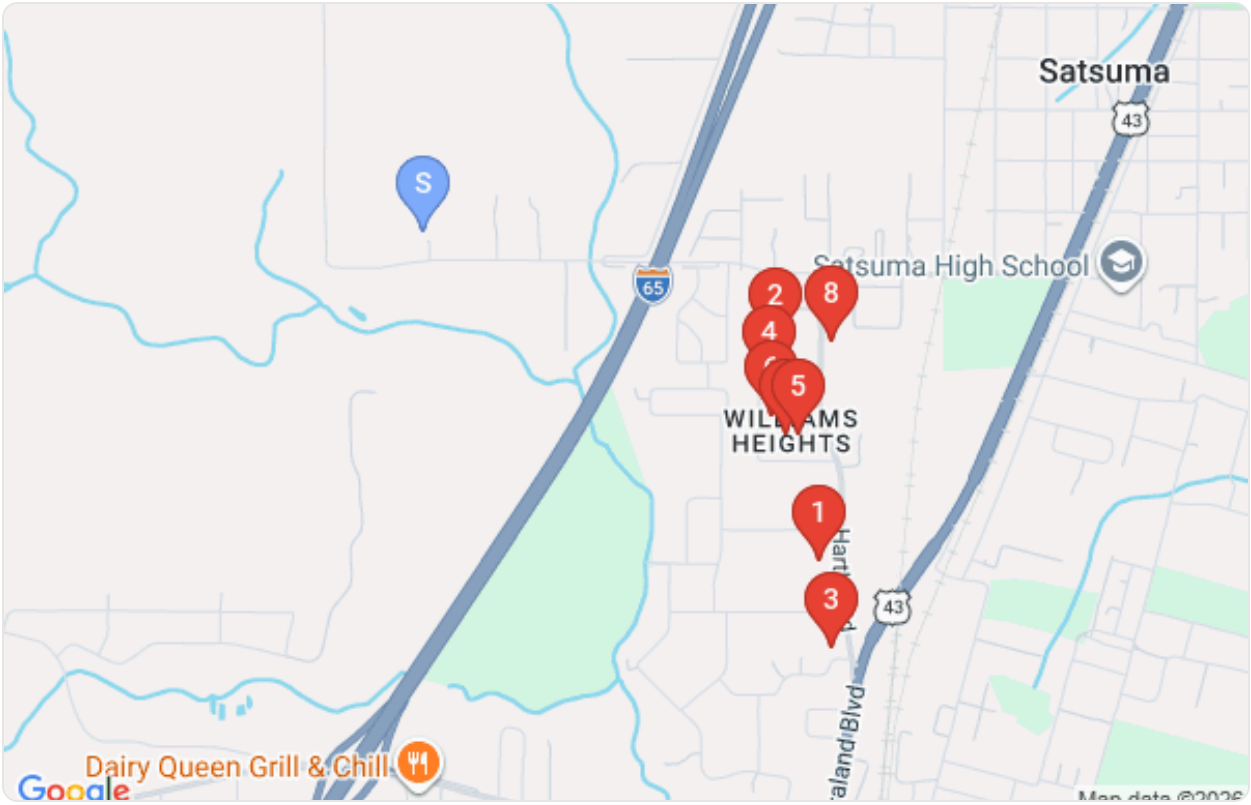

Subject property (blue pin) and comparable sales locations (red pins)

Comparable Property Details

1

SALE PRICE
$250,000

5229 Hartley Rd

2,500 sqft · Built 1994 · 1.3 mi · Sold 9/12/2025 · $100/sqft

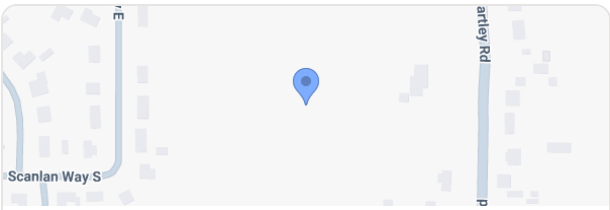

2

SALE PRICE
$225,586

5397 Hartley Rd

2,858 sqft · Built 1993 · 0.9 mi · Sold 12/31/2025 · $79/sqft

3

SALE PRICE
$171,500

16 Cherry Dr

1,985 sqft · Built 1988 · 1.4 mi · Sold 12/18/2025 · $86/sqft

4

SALE PRICE
$226,450

324 Hummingbird Dr N

1,931 sqft · Built 1962 · 0.9 mi · Sold 11/14/2025 · $117/sqft

5

SALE PRICE
$110,000

309 Thunderbird Dr

2,116 sqft · Built 1960 · 1.1 mi · Sold 1/27/2026 · $52/sqft

6

SALE PRICE
$315,000

322 Thunderbird Dr

2,040 sqft · Built 1965 · 1.0 mi · Sold 12/4/2025 · $154/sqft

7

SALE PRICE
$200,000

315 Thunderbird Dr

2,291 sqft · Built 1967 · 1.0 mi · Sold 12/3/2025 · $87/sqft

8

SALE PRICE
$333,000

5396 Hartley Rd

2,026 sqft · Built 1955 · 1.0 mi · Sold 10/1/2025 · $164/sqft

9

SALE PRICE

$272,000

25 Cherry Dr

1,970 sqft · Built 1989 · 1.5 mi · Sold 9/18/2025 · $138/sqft

10

SALE PRICE

$155,000

22 Saraland Ave

1,935 sqft · Built 1962 · 1.3 mi · Sold 9/15/2025 · $80/sqft