Property Tax Assessment Analysis

504 N Georgia Way
Maricopa County · March 6, 2026

504 N Georgia Way

Tolleson, AZ 85353 · Parcel: 102-48-105

Living Area	2,294 sqft	Lot Size	21,919 sqft
Bathrooms	2.67	Year Built	1979
Property Type	Residential		

Assessment Analysis

County Appraised Value	$675,000
Assessment Ratio (AZ)	10%
Taxable Assessed Value	$67,500
Market Value (Comps)	$320,929
Overassessment	**$354,071**

Environmental & Locational Factors

The following factors were detected within 1 mile of the subject property and may support a lower assessment:

🛣️ **Major Highway**
2 major highway(s) within 1 mile: I-10, Papago Fwy

🚂 **Railroad**
1 railroad(s) within 1 mile: Union Pacific RR

🌊 **Flood Zone**
Property is in FEMA flood zone X-shaded (moderate flood risk - 500-year floodplain)

🏭 **Commercial/Industrial Zone**
3 commercial, 8 industrial, 13 retail zone(s) within 1 mile (incl. Shops at 91st, Carvana Tolleson IC, SRP Well Site 3 5E-6N)

⚡ **Power Lines**
4 high-voltage transmission line(s) within 1 mile

Source: Census TIGERweb, FEMA National Flood Hazard Layer, OpenStreetMap

Valuation Analysis

The subject property at 504 N Georgia Way, Tolleson, AZ 85353 is a 2,294 sq ft Residential constructed in 1979, situated on a 21,919 sq ft lot.

A search of recent residential sales within 1.4 miles identified 7 comparable properties sold within the past 18 months. These properties range from 1,679 to 2,729 sq ft. The median sale price per square foot among these comparables is $170. Note: An expanded search radius was used due to limited comparable sales in the immediate area.

Applying the 25th percentile sale price of $140 per square foot to the subject property's 2,294 sq ft yields a market value estimate of approximately $320,929. The county's current appraised value of $675,000 exceeds this estimate by $354,071 (52.5%). At an effective tax rate of 0.49%, this overassessment represents approximately $1,749 in excess annual property taxes.

The comparable sales used in this analysis are detailed in the table below. All properties are residential, sold within 18 months, and located within 1.4 miles of the subject property.

Additionally, environmental or locational factors affecting this property may further impact its market value. These factors are detailed in the Filing Guide included with this packet.

Comparable Sales Analysis

#	ADDRESS	DISTANCE	SQFT	YEAR	SALE DATE	SALE PRICE	$/SQFT
S	**504 N Georgia Way (Subject)**	**—**	**2,294**	**1979**	**—**	**—**	**—**
1	8826 W Encanto Blvd	1.4 mi	2,443	1988	2/25/2026	$415,000	$170
2	2014 N 93rd Dr	1.2 mi	2,308	2003	1/23/2026	$405,000	$175
3	1787 N 94th Ave	1.0 mi	2,253	2003	12/18/2025	$360,000	$160
4	9024 W Granada Rd	1.1 mi	1,806	1988	2/26/2026	$435,000	$241
5	1829 N 90th Ln	1.0 mi	2,729	1988	2/11/2026	$160,000	$59
6	9006 W Encanto Blvd	1.4 mi	1,787	1997	2/23/2026	$250,000	$140
7	8662 W Monte Vista Rd	1.3 mi	1,679	1993	1/6/2026	$396,000	$236

MEDIAN SALE PRICE	25TH PCTL $/SQFT	SUBJECT SQFT	MARKET VALUE
$396,000	**$140**	**2,294**	**$320,929**

Comparable sales within 1.4 miles, sold within the past 18 months. All transactions are arm's-length sales from public county records.

Comparable Properties Map

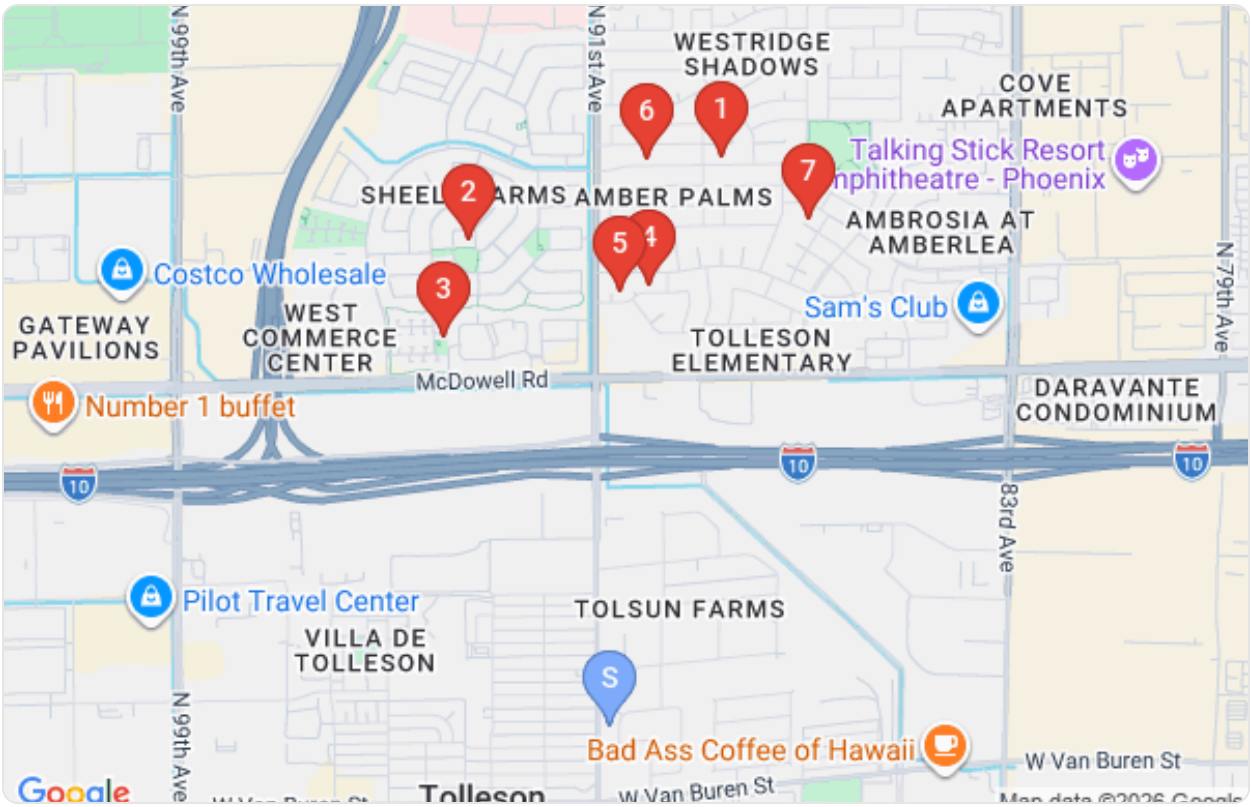

Subject property (blue pin) and comparable sales locations (red pins)

Comparable Property Details

1

SALE PRICE

$415,000

8826 W Encanto Blvd

2,443 sqft · Built 1988 · 1.4 mi · Sold 2/25/2026 · $170/sqft

2

SALE PRICE

$405,000

2014 N 93rd Dr

2,308 sqft · Built 2003 · 1.2 mi · Sold 1/23/2026 · $175/sqft



3

SALE PRICE

$360,000

1787 N 94th Ave

2,253 sqft · Built 2003 · 1.0 mi · Sold 12/18/2025 · $160/sqft

4

SALE PRICE

$435,000

9024 W Granada Rd

1,806 sqft · Built 1988 · 1.1 mi · Sold 2/26/2026 · $241/sqft

5

SALE PRICE

$160,000

1829 N 90th Ln

2,729 sqft · Built 1988 · 1.0 mi · Sold 2/11/2026 · $59/sqft

6

SALE PRICE

$250,000

9006 W Encanto Blvd

1,787 sqft · Built 1997 · 1.4 mi · Sold 2/23/2026 · $140/sqft



7

SALE PRICE

$396,000

8662 W Monte Vista Rd

1,679 sqft · Built 1993 · 1.3 mi · Sold 1/6/2026 · $236/sqft