Property Tax Assessment Analysis

9050 Santa Lucia Rd
San Luis Obispo County · March 7, 2026

9050 Santa Lucia Rd

Atascadero, CA 93422 · Parcel: 054-061-025

Living Area	**1,894 sqft**	Lot Size	**16,553 sqft**
Bedrooms	**3**	Bathrooms	**2**
Year Built	**1954**	Property Type	**Residential**

Assessment Analysis

County Appraised Value	**$220,916**
Market Value (Comps)	**$843,861**
Underassessment	**-$622,945**

Factors Considered in Our Analysis

The following factors were considered in our analysis of your property's value:

🏭 **Commercial/Industrial Zone**
1 commercial, 1 retail zone(s) within 1 mile (incl. San Jacinto Centre, Virginia Plaza)

⚡ **Power Lines**
2 high-voltage transmission line(s) within 1 mile

Source: Census TIGERweb, FEMA National Flood Hazard Layer, OpenStreetMap

Valuation Analysis

The subject property at 9050 Santa Lucia Rd, Atascadero, CA 93422 is a 1,894 sq ft Residential constructed in 1954, situated on a 16,553 sq ft lot.

A search of recent residential sales within 1.5 miles identified 8 comparable properties sold within the past 18 months. These properties range from 1,369 to 2,424 sq ft. The median estimated value per square foot among these comparables is $494. Note: An expanded search radius was used due to limited comparable sales in the immediate area.

Applying the 25th percentile price of $446 per square foot to the subject property's 1,894 sq ft yields a market value estimate of approximately $843,861.

The comparable properties used in this analysis are detailed in the table below. All properties are residential, sold within 18 months, and located within 1.5 miles of the subject property.

Note: CA does not publicly disclose sale prices. Comparable values shown are estimated market values derived from property and market data.

Additionally, environmental or locational factors affecting this property may further impact its market value.

Comparable Property Analysis

#	ADDRESS	DISTANCE	SQFT	YEAR	SALE DATE	SALE PRICE*	$/SQFT
S	**9050 Santa Lucia Rd (Subject)**	**—**	**1,894**	**1954**	**—**	**—**	**—**
1	7505 El Retiro Ave	0.5 mi	1,542	1988	1/26/2026	$799,000	$518
2	5450 Pescado Ct	0.5 mi	2,019	1987	1/28/2026	$876,000	$434
3	8200 Portola Rd	1.5 mi	2,048	1984	12/12/2025	$849,000	$415
4	5355 El Verano Ave	1.3 mi	2,424	1960	12/10/2025	$1,080,000	$446
5	4470 Cayucos Ave	1.1 mi	1,369	1975	2/24/2026	$635,000	$464
6	4150 Lobos Ave	1.2 mi	1,659	1980	1/30/2026	$820,000	$494
7	5155 Ardilla Ave	0.7 mi	1,415	1972	11/4/2025	$740,000	$523
8	9301 Barranco Rd	1.3 mi	1,479	1979	12/26/2025	$798,000	$540

MEDIAN PRICE	25TH PCTL $/SQFT	SUBJECT SQFT	MARKET VALUE
$820,000	**$446**	**1,894**	**$843,861**

*Comparable sales within 1.5 miles, sold within the past 18 months. All transactions are arm's-length sales from public county records. *Estimated market value — actual sale price not publicly disclosed in this state.*

Comparable Properties Map

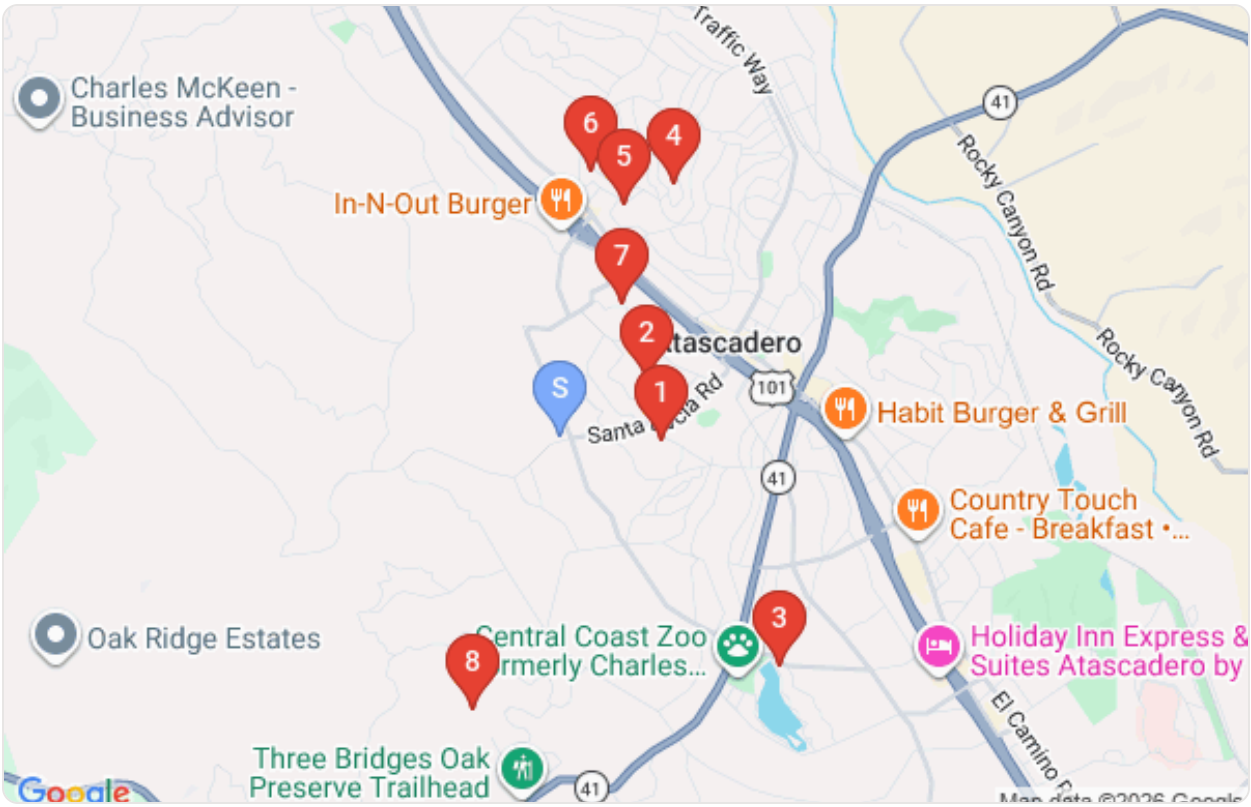

Subject property (blue pin) and comparable property locations (red pins)

Comparable Property Details



1

SALE PRICE

$799,000

7505 El Retiro Ave

1,542 sqft · Built 1988 · 0.5 mi · Sold 1/26/2026 · $518/sqft

2

SALE PRICE

$876,000

5450 Pescado Ct

2,019 sqft · Built 1987 · 0.5 mi · Sold 1/28/2026 · $434/sqft

3

SALE PRICE

$849,000

8200 Portola Rd

2,048 sqft · Built 1984 · 1.5 mi · Sold 12/12/2025 · $415/sqft



4

SALE PRICE

$1,080,000

5355 El Verano Ave

2,424 sqft · Built 1960 · 1.3 mi · Sold 12/10/2025 · $446/sqft

5

SALE PRICE

$635,000

4470 Cayucos Ave

1,369 sqft · Built 1975 · 1.1 mi · Sold 2/24/2026 · $464/sqft



6

SALE PRICE

$820,000

4150 Lobos Ave

1,659 sqft · Built 1980 · 1.2 mi · Sold 1/30/2026 · $494/sqft

7

SALE PRICE

$740,000

5155 Ardilla Ave

1,415 sqft · Built 1972 · 0.7 mi · Sold 11/4/2025 · $523/sqft



8

EST. MARKET VALUE

$798,000

9301 Barranco Rd

1,479 sqft · Built 1979 · 1.3 mi · Sold 12/26/2025 · $540/sqft