Property Tax Assessment Analysis

3402 Bush Ln
Placer County · March 7, 2026

3402 Bush Ln

Loomis, CA 95650 · Parcel: 043-030-052-000

Living Area	**3,269 sqft**	Lot Size	**3.70 acres**
Bedrooms	**2**	Bathrooms	**2**
Year Built	**1976**	Property Type	**Residential**

Assessment Analysis

County Appraised Value	**$214,104**
Market Value (Comps)	**$1,055,479**
Underassessment	**-$841,375**

Factors Considered in Our Analysis

The following factors were considered in our analysis of your property's value:

🛣️ **Major Highway**
1 major highway(s) within 1 mile: I-80

🚂 **Railroad**
1 railroad(s) within 1 mile: Union Pacific RR

🏭 **Commercial/Industrial Zone**
5 commercial, 3 retail zone(s) within 1 mile

⚡ **Power Lines**
1 high-voltage transmission line(s) within 1 mile

Source: Census TIGERweb, FEMA National Flood Hazard Layer, OpenStreetMap

Valuation Analysis

The subject property at 3402 Bush Ln, Loomis, CA 95650 is a 3,269 sq ft Residential constructed in 1976, situated on a 3.70-acre lot.

A search of recent residential sales within 1.4 miles identified 4 comparable properties sold within the past 18 months. These properties range from 2,307 to 2,981 sq ft. The median estimated value per square foot among these comparables is $336. Note: An expanded search radius was used due to limited comparable sales in the immediate area.

Applying the 25th percentile price of $323 per square foot to the subject property's 3,269 sq ft yields a market value estimate of approximately $1,055,479.

The comparable properties used in this analysis are detailed in the table below. All properties are residential, sold within 18 months, and located within 1.4 miles of the subject property.

Note: CA does not publicly disclose sale prices. Comparable values shown are estimated market values derived from property and market data.

Additionally, environmental or locational factors affecting this property may further impact its market value.

Comparable Property Analysis

#	ADDRESS	DISTANCE	SQFT	YEAR	SALE DATE	SALE PRICE*	$/SQFT
S	**3402 Bush Ln (Subject)**	**—**	**3,269**	**1976**	**—**	**—**	**—**
1	3125 Aspen Dr	1.3 mi	2,981	1985	1/30/2026	$1,225,500	$411
2	7630 Barnes Ln	1.3 mi	2,307	—	12/16/2025	$775,000	$336
3	3316 Water Well Pl	1.3 mi	2,531	2022	1/5/2026	$829,000	$328
4	3313 Water Well Pl	1.4 mi	2,645	2023	12/26/2025	$817,000	$309

MEDIAN PRICE	25TH PCTL $/SQFT	SUBJECT SQFT	MARKET VALUE
$829,000	**$323**	**3,269**	**$1,055,479**

*Comparable sales within 1.4 miles, sold within the past 18 months. All transactions are arm's-length sales from public county records. *Estimated market value — actual sale price not publicly disclosed in this state.*

Comparable Properties Map

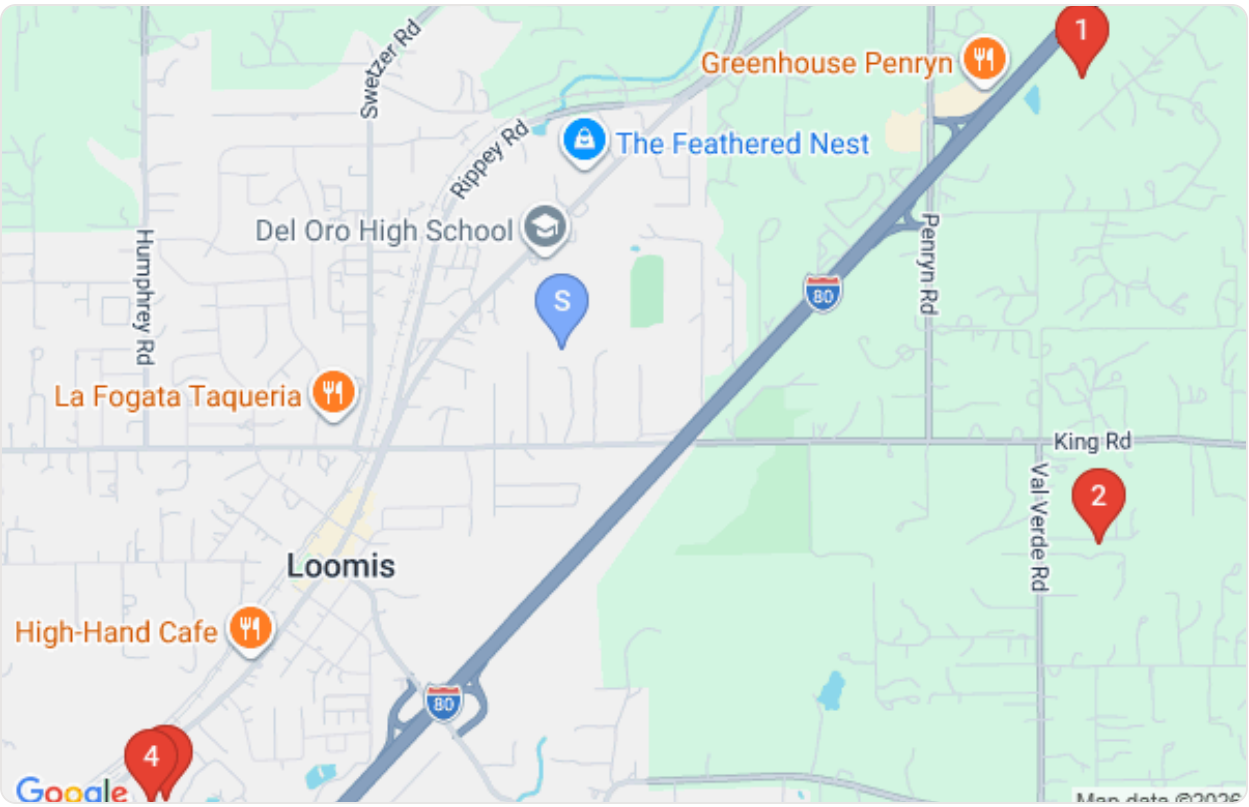

Subject property (blue pin) and comparable property locations (red pins)

Comparable Property Details

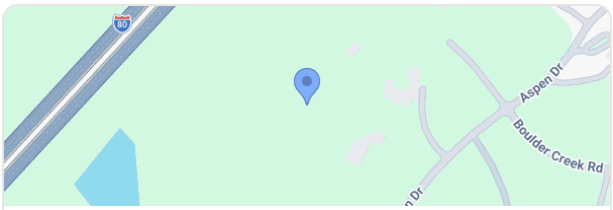

1

SALE PRICE

$1,225,500

3125 Aspen Dr

2,981 sqft · Built 1985 · 1.3 mi · Sold 1/30/2026 · $411/sqft

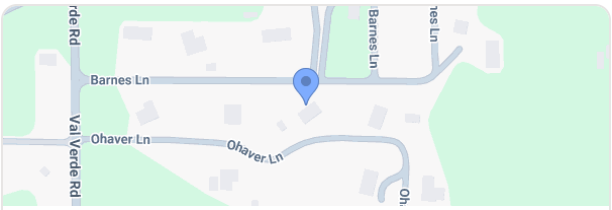

2

SALE PRICE

$775,000

7630 Barnes Ln

2,307 sqft · 1.3 mi · Sold 12/16/2025 · $336/sqft

3

EST. MARKET VALUE

$829,000

3316 Water Well Pl

2,531 sqft · Built 2022 · 1.3 mi · Sold 1/5/2026 · $328/sqft

4

SALE PRICE

$817,000

3313 Water Well Pl

2,645 sqft · Built 2023 · 1.4 mi · Sold 12/26/2025 · $309/sqft