Property Tax Assessment Analysis

112 Webster St NE
District Of Columbia · March 7, 2026



112 Webster St NE

Washington, DC 20011 · Parcel: 3668 0052

Living Area	1,152 sqft	Lot Size	2,054 sqft
Bedrooms	3	Bathrooms	2
Year Built	1943	Property Type	Residential

Assessment Analysis

County Appraised Value	$604,040
Market Value (Comps)	$497,219
Overassessment	$106,821

Environmental & Locational Factors

The following factors were detected within 1 mile of the subject property and may support a lower assessment:

🚂 **Railroad**
1 railroad(s) within 1 mile: Csx Transportation

🏭 **Commercial/Industrial Zone**
5 commercial, 3 industrial, 8 retail zone(s) within 1 mile (incl. Fort Totten Transfer Station, Brookland Center, Fort Totten Ready Mix Concrete Plant)

Source: Census TIGERweb, FEMA National Flood Hazard Layer, OpenStreetMap

Valuation Analysis

The subject property at 112 Webster St NE, Washington, DC 20011 is a 1,152 sq ft Residential constructed in 1943, situated on a 2,054 sq ft lot.

A search of recent residential sales within 1 mile identified 4 comparable properties sold within the past 12 months. These properties range from 1,044 to 1,354 sq ft. The median sale price per square foot among these comparables is $460. Note: An expanded search radius was used due to limited comparable sales in the immediate area.

Applying the 25th percentile sale price of $432 per square foot to the subject property's 1,152 sq ft yields a market value estimate of approximately $497,219. The county's current appraised value of $604,040 exceeds this estimate by $106,821 (17.7%). At an effective tax rate of 0.33%, this overassessment represents approximately $355 in excess annual property taxes.

The comparable sales used in this analysis are detailed in the table below. All properties are residential, sold within 12 months, and located within 1 mile of the subject property.

Additionally, environmental or locational factors affecting this property may further impact its market value. These factors are detailed in the Filing Guide included with this packet.

Comparable Sales Analysis

#	ADDRESS	DISTANCE	SQFT	YEAR	SALE DATE	SALE PRICE	$/SQFT
S	**112 Webster St NE (Subject)**	**—**	**1,152**	**1943**	**—**	**—**	**—**
1	719 Jefferson St Ne	1.0 mi	1,156	1952	1/12/2026	$459,000	$397
2	5008 11th St Ne	0.8 mi	1,116	1951	1/9/2026	$590,000	$529
3	4937 11th St Ne	0.8 mi	1,044	1949	1/7/2026	$480,000	$460
4	4921 N Capitol St Ne	0.4 mi	1,354	1930	12/26/2025	$600,000	$443

MEDIAN SALE PRICE	25TH PCTL $/SQFT	SUBJECT SQFT	MARKET VALUE
$590,000	$432	1,152	$497,219

Comparable sales within 1 mile, sold within the past 12 months. All transactions are arm's-length sales from public county records.

Comparable Properties Map

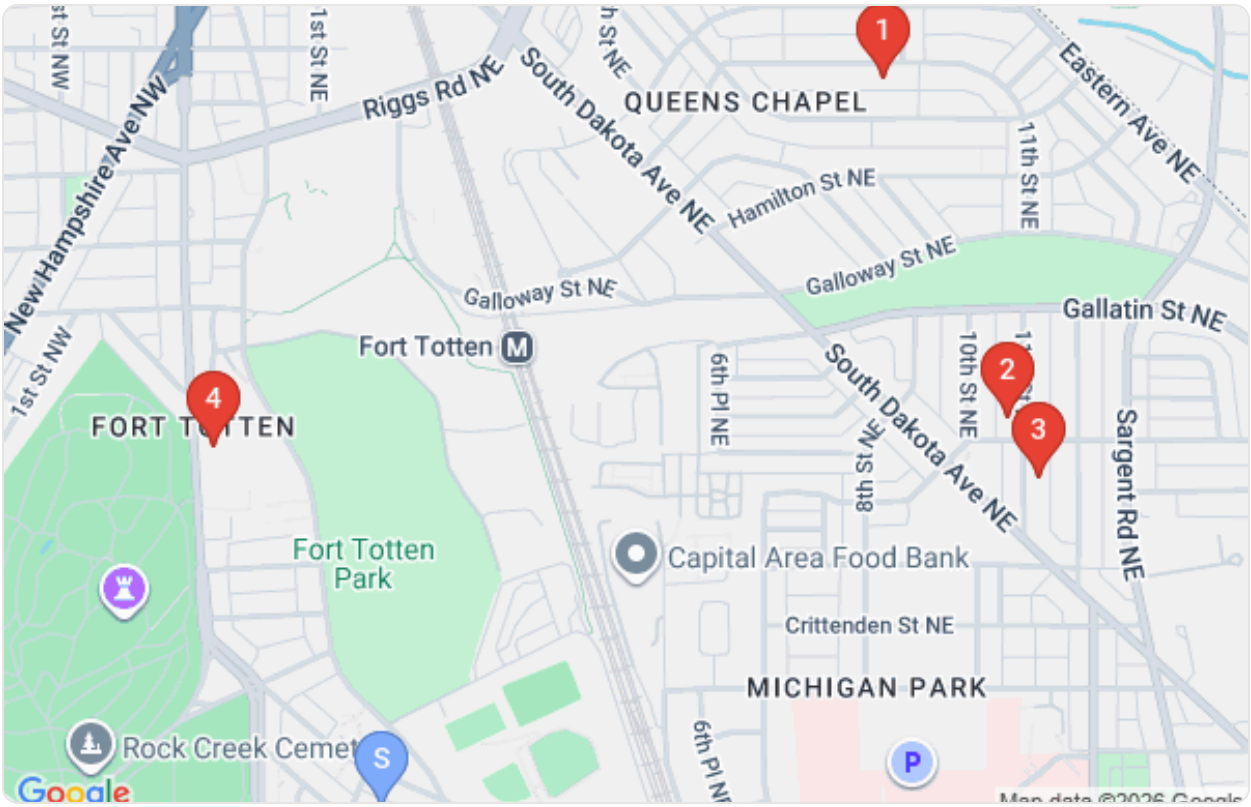

Subject property (blue pin) and comparable sales locations (red pins)

Comparable Property Details



1

SALE PRICE

$459,000

719 Jefferson St Ne

1,156 sqft · Built 1952 · 1.0 mi · Sold 1/12/2026 · $397/sqft

2

SALE PRICE

$590,000

5008 11th St Ne

1,116 sqft · Built 1951 · 0.8 mi · Sold 1/9/2026 · $529/sqft

3

SALE PRICE

$480,000

4937 11th St Ne

1,044 sqft · Built 1949 · 0.8 mi · Sold 1/7/2026 · $460/sqft



4

SALE PRICE

$600,000

4921 N Capitol St Ne

1,354 sqft · Built 1930 · 0.4 mi · Sold 12/26/2025 · $443/sqft