Property Tax Assessment Analysis

4745 172nd St
Dallas County · March 7, 2026

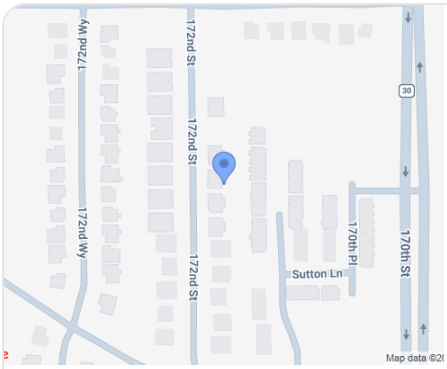

4745 172nd St

Urbandale, IA 50323 · Parcel: 000001215431014

Living Area	1,798 sqft	Lot Size	5,070 sqft
Bedrooms	4	Bathrooms	2
Year Built	2024	Property Type	Residential

Assessment Analysis

County Appraised Value	$302,120
Market Value (Comps)	$319,206
Underassessment	-$17,086

Factors Considered in Our Analysis

The following factors were considered in our analysis of your property's value:

🏭 **Commercial/Industrial Zone**
1 industrial zone(s) within 1 mile

⚡ **Power Lines**
1 high-voltage transmission line(s) within 1 mile

Source: Census TIGERweb, FEMA National Flood Hazard Layer, OpenStreetMap

Valuation Analysis

The subject property at 4745 172nd St, Urbandale, IA 50323 is a 1,798 sq ft Residential constructed in 2024, situated on a 5,070 sq ft lot.

A search of recent residential sales within 0.5 miles identified 5 comparable properties sold within the past 6 months. These properties range from 1,545 to 1,870 sq ft. The median sale price per square foot among these comparables is $366.

Applying the 25th percentile sale price of $178 per square foot to the subject property's 1,798 sq ft yields a market value estimate of approximately $319,206.

The comparable sales used in this analysis are detailed in the table below. All properties are residential, sold within 6 months, and located within 0.5 miles of the subject property.

Additionally, environmental or locational factors affecting this property may further impact its market value.

Comparable Sales Analysis

#	ADDRESS	DISTANCE	SQFT	YEAR	SALE DATE	SALE PRICE	$/SQFT
S	**4745 172nd St (Subject)**	**—**	**1,798**	**2024**	**—**	**—**	**—**
1	5020 176th St	0.5 mi	1,870	2025	1/30/2026	$685,000	$366
2	17110 Blue Sage Ln	0.2 mi	1,549	2019	2/12/2026	$275,000	$178
3	4752 171st St	0.0 mi	1,545	2025	2/2/2026	$237,000	$153
4	17322 N Valley Dr	0.4 mi	1,570	2025	2/6/2026	$668,000	$425
5	17335 Brookview Dr	0.3 mi	1,555	2025	1/8/2026	$598,000	$385

MEDIAN SALE PRICE	25TH PCTL $/SQFT	SUBJECT SQFT	MARKET VALUE
$598,000	$178	1,798	$319,206

Comparable sales within 0.5 miles, sold within the past 6 months. All transactions are arm's-length sales from public county records.

Comparable Properties Map

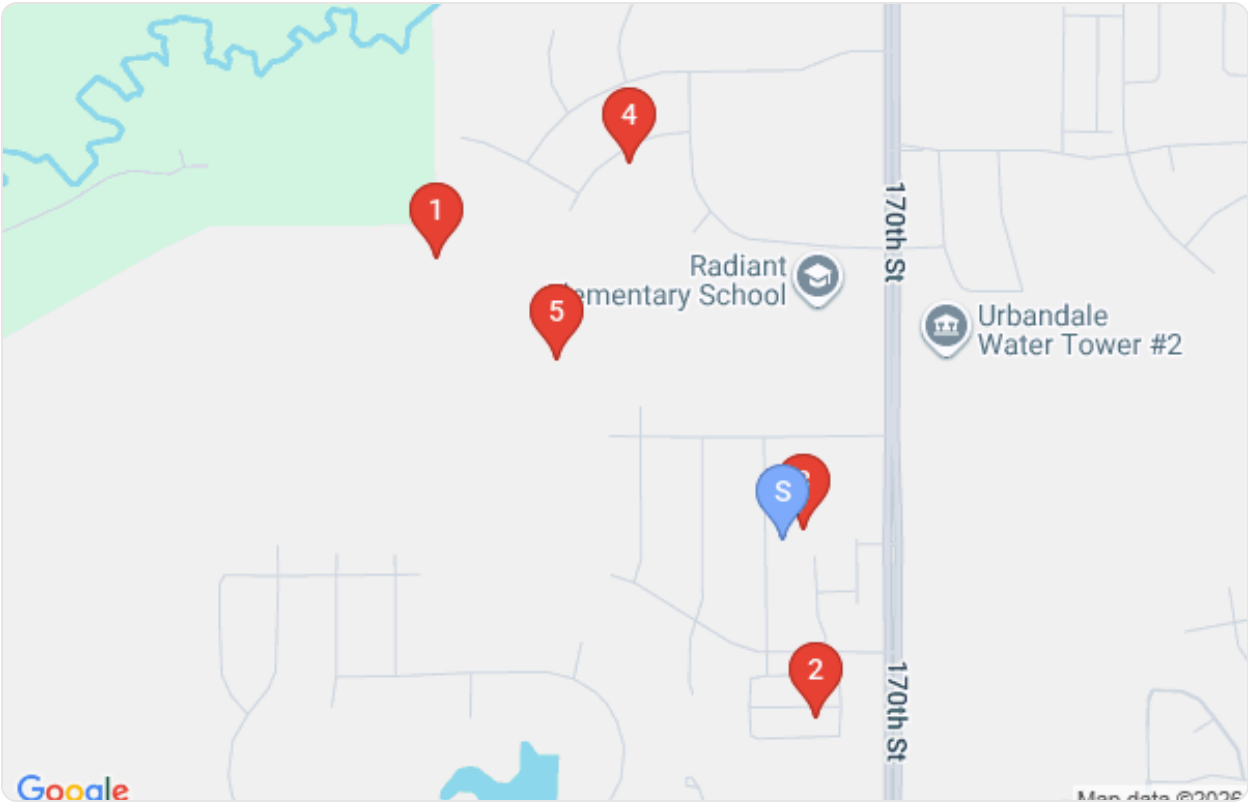

Subject property (blue pin) and comparable sales locations (red pins)

Comparable Property Details

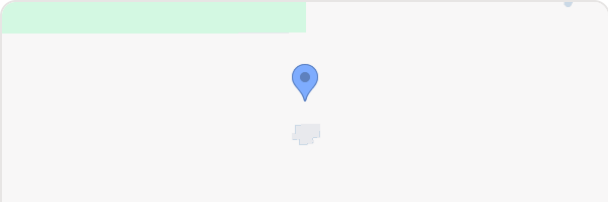

1

SALE PRICE

$685,000

5020 176th St

1,870 sqft · Built 2025 · 0.5 mi · Sold 1/30/2026 · $366/sqft

2

SALE PRICE

$275,000

17110 Blue Sage Ln

1,549 sqft · Built 2019 · 0.2 mi · Sold 2/12/2026 · $178/sqft

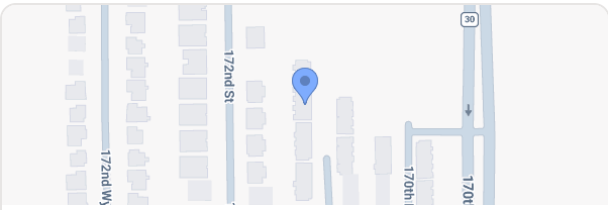

3

SALE PRICE

$237,000

4752 171st St

1,545 sqft · Built 2025 · 0.0 mi · Sold 2/2/2026 · $153/sqft

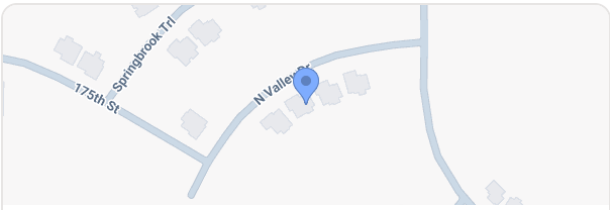

4

SALE PRICE

$668,000

17322 N Valley Dr

1,570 sqft · Built 2025 · 0.4 mi · Sold 2/6/2026 · $425/sqft

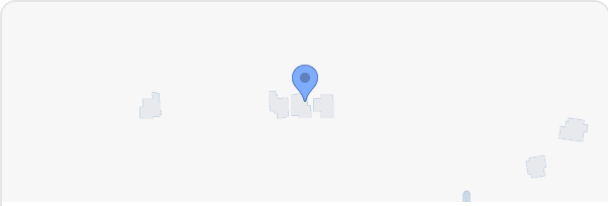

5

SALE PRICE

$598,000

17335 Brookview Dr

1,555 sqft · Built 2025 · 0.3 mi · Sold 1/8/2026 · $385/sqft