Property Tax Assessment Analysis

836 Grant Ct
Johnson County · March 7, 2026

836 Grant Ct

Greenwood, IN 46143 · Parcel: 41-05-03-021-043.000-025

Living Area	1,329 sqft	Lot Size	9,148 sqft
Bedrooms	3	Bathrooms	2
Year Built	1991	Property Type	Residential

Assessment Analysis

County Appraised Value	$246,700
Market Value (Comps)	$224,995
Overassessment	$21,705

Environmental & Locational Factors

The following factors were detected within 1 mile of the subject property and may support a lower assessment:

🛣️ **Major Highway**
1 major highway(s) within 1 mile: I-65

🏭 **Commercial/Industrial Zone**
1 commercial, 1 industrial zone(s) within 1 mile (incl. Precedent South Business Park, South Park Business Center)

⚡ **Power Lines**
1 high-voltage transmission line(s) within 1 mile

Source: Census TIGERweb, FEMA National Flood Hazard Layer, OpenStreetMap

Valuation Analysis

The subject property at 836 Grant Ct, Greenwood, IN 46143 is a 1,329 sq ft Residential constructed in 1991, situated on a 9,148 sq ft lot.

A search of recent residential sales within 1.3 miles identified 15 comparable properties sold within the past 24 months. These properties range from 1,038 to 1,884 sq ft. The median sale price per square foot among these comparables is $179. Note: An expanded search radius was used due to limited comparable sales in the immediate area.

Applying the 25th percentile sale price of $169 per square foot to the subject property's 1,329 sq ft yields a market value estimate of approximately $224,995. The county's current appraised value of $246,700 exceeds this estimate by $21,705 (8.8%). At an effective tax rate of 0.80%, this overassessment represents approximately $174 in excess annual property taxes.

The comparable sales used in this analysis are detailed in the table below. All properties are residential, sold within 24 months, and located within 1.3 miles of the subject property.

Additionally, environmental or locational factors affecting this property may further impact its market value. These factors are detailed in the Filing Guide included with this packet.

Comparable Sales Analysis

#	ADDRESS	DISTANCE	SQFT	YEAR	SALE DATE	SALE PRICE	$/SQFT
S	**836 Grant Ct (Subject)**	**—**	**1,329**	**1991**	**—**	**—**	**—**
1	820 Cross Wind Ct	0.8 mi	1,038	1999	12/26/2025	$215,000	$207
2	1766 Magnolia Dr	1.3 mi	1,527	2004	1/22/2026	$265,000	$174
3	1702 JUNIPER LN	—	1,635	—	9/9/2025	$280,000	$171
4	1078 BARCELONA DR	—	1,521	—	12/26/2025	$257,500	$169
5	1045 MADRID RD	—	1,396	—	12/15/2025	$300,900	$216
6	933 CURLEW LN	—	1,264	—	7/18/2025	$242,000	$191
7	1055 BERRYWOOD DR	—	1,648	—	4/23/2025	$295,000	$179
8	1050 VICKSBURG SOUTH DR	—	1,494	—	2/19/2025	$250,000	$167
9	1261 BERRYWOOD DR	—	1,400	—	4/22/2025	$253,000	$181
10	1121 BARCELONA DR	—	1,680	—	7/17/2025	$295,123	$176
11	993 VICKSBURG NORTH DR	—	1,427	—	12/18/2024	$280,000	$196
12	1663 SWEETGUM DR	—	1,884	—	7/9/2025	$309,900	$164
13	1260 DIABLO RD	—	1,856	—	12/12/2025	$302,060	$163
14	1406 OSPREY WAY	—	1,107	—	2/7/2025	$224,900	$203
15	1225 BERRYWOOD DR	—	1,785	—	8/1/2025	$330,000	$185

MEDIAN SALE PRICE	25TH PCTL $/SQFT	SUBJECT SQFT	MARKET VALUE
$280,000	**$169**	**1,329**	**$224,995**

Comparable sales within 1.3 miles, sold within the past 24 months. All transactions are arm's-length sales from public county records.

Comparable Properties Map

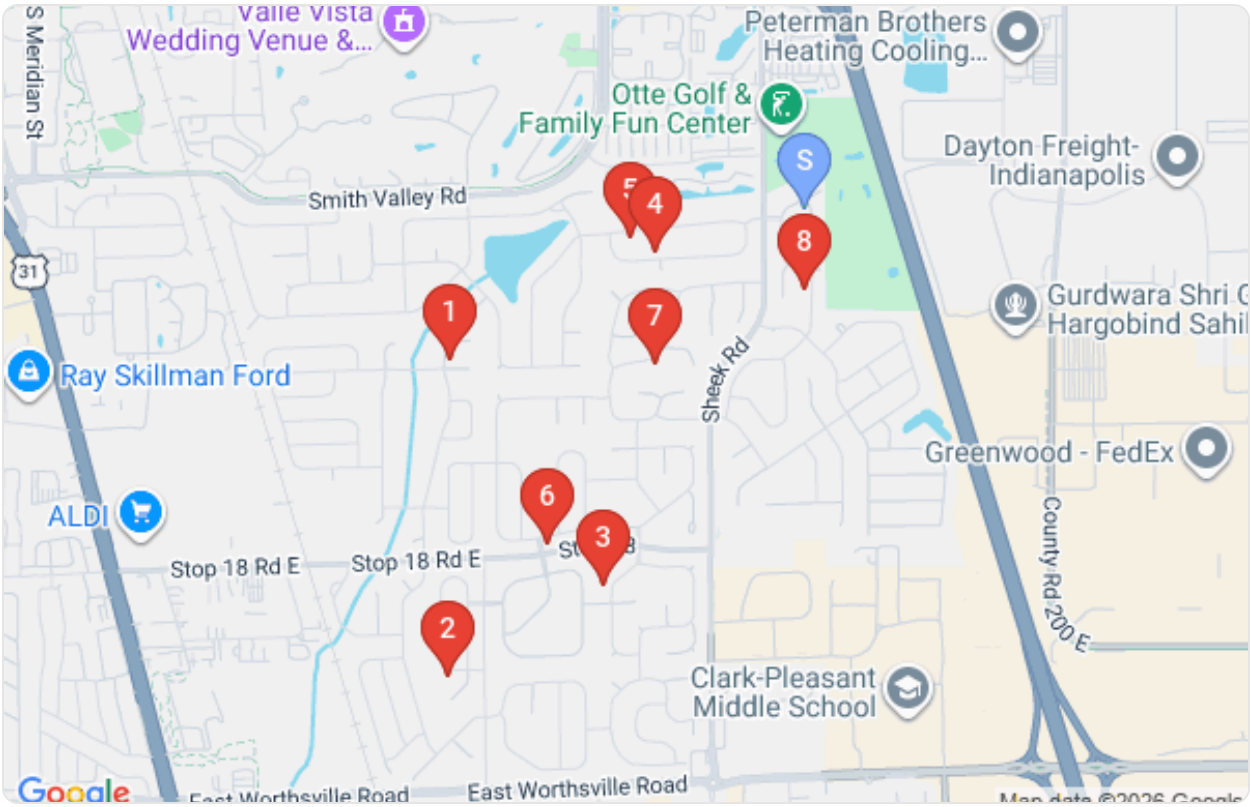

Subject property (blue pin) and comparable sales locations (red pins)

Comparable Property Details



1

SALE PRICE
$215,000

820 Cross Wind Ct

1,038 sqft · Built 1999 · 0.8 mi · Sold 12/26/2025 · $207/sqft

2

SALE PRICE
$265,000

1766 Magnolia Dr

1,527 sqft · Built 2004 · 1.3 mi · Sold 1/22/2026 · $174/sqft

3

SALE PRICE
$280,000

1702 JUNIPER LN

1,635 sqft · Sold 9/9/2025 · $171/sqft

4

SALE PRICE
$257,500

1078 BARCELONA DR

1,521 sqft · Sold 12/26/2025 · $169/sqft

5

SALE PRICE
$300,900

1045 MADRID RD

1,396 sqft · Sold 12/15/2025 · $216/sqft

6

SALE PRICE
$242,000

933 CURLEW LN

1,264 sqft · Sold 7/18/2025 · $191/sqft

7

SALE PRICE
$295,000

1055 BERRYWOOD DR

1,648 sqft · Sold 4/23/2025 · $179/sqft

8

SALE PRICE
$250,000

1050 VICKSBURG SOUTH DR

1,494 sqft · Sold 2/19/2025 · $167/sqft

9

SALE PRICE

$253,000

1261 BERRYWOOD DR

1,400 sqft · Sold 4/22/2025 · $181/sqft



10

SALE PRICE

$295,123

1121 BARCELONA DR

1,680 sqft · Sold 7/17/2025 · $176/sqft

11

SALE PRICE

$280,000

993 VICKSBURG NORTH DR

1,427 sqft · Sold 12/18/2024 · $196/sqft

12

SALE PRICE

$309,900

1663 SWEETGUM DR

1,884 sqft · Sold 7/9/2025 · $164/sqft



13

SALE PRICE

$302,060

1260 DIABLO RD

1,856 sqft · Sold 12/12/2025 · $163/sqft

14

SALE PRICE

$224,900

1406 OSPREY WAY

1,107 sqft · Sold 2/7/2025 · $203/sqft

15

SALE PRICE

$330,000

1225 BERRYWOOD DR

1,785 sqft · Sold 8/1/2025 · $185/sqft