Property Tax Assessment Analysis

10634 Decker Ave
St. Louis County · March 7, 2026



10634 Decker Ave

St. Louis, MO 63114 · Parcel: 14M-3-3-131-2

Living Area	960 sqft	Lot Size	10,454 sqft
Bedrooms	3	Bathrooms	2
Year Built	1999	Property Type	Residential

Assessment Analysis

County Appraised Value	$187,800
Assessment Ratio (MO)	19%
Taxable Assessed Value	$35,682
Market Value (Comps)	$125,871
Overassessment	$61,929

Environmental & Locational Factors

The following factors were detected within 1 mile of the subject property and may support a lower assessment:

🏭 **Commercial/Industrial Zone**
9 commercial, 1 industrial, 7 retail zone(s) within 1 mile

Source: Census TIGERweb, FEMA National Flood Hazard Layer, OpenStreetMap

Valuation Analysis

The subject property at 10634 Decker Ave, St. Louis, MO 63114 is a 960 sq ft Residential constructed in 1999, situated on a 10,454 sq ft lot.

A search of recent residential sales within 1 mile identified 6 comparable properties sold within the past 12 months. These properties range from 792 to 1,092 sq ft. The median sale price per square foot among these comparables is $216. Note: An expanded search radius was used due to limited comparable sales in the immediate area.

Applying the 25th percentile sale price of $131 per square foot to the subject property's 960 sq ft yields a market value estimate of approximately $125,871. The county's current appraised value of $187,800 exceeds this estimate by $61,929 (33.0%). At an effective tax rate of 1.16%, this overassessment represents approximately $721 in excess annual property taxes.

The comparable sales used in this analysis are detailed in the table below. All properties are residential, sold within 12 months, and located within 1 mile of the subject property.

Additionally, environmental or locational factors affecting this property may further impact its market value. These factors are detailed in the Filing Guide included with this packet.

Comparable Sales Analysis

#	ADDRESS	DISTANCE	SQFT	YEAR	SALE DATE	SALE PRICE	$/SQFT
S	**10634 Decker Ave (Subject)**	**—**	**960**	**1999**	**—**	**—**	**—**
1	10438 Canter Way	0.6 mi	840	1942	12/18/2025	$181,400	$216
2	2912 Poe Ave	0.7 mi	929	1955	12/23/2025	$75,000	$81
3	10433 Saint Ann Ln	0.7 mi	960	1958	12/22/2025	$100,000	$104
4	2255 N Warson Rd	0.8 mi	953	1947	12/15/2025	$202,000	$212
5	10311 Saint Katherine Ln	0.9 mi	1,092	1954	12/23/2025	$235,500	$216
6	10764 Saint Dismas Ct	1.0 mi	792	1950	12/29/2025	$217,300	$274

MEDIAN SALE PRICE	25TH PCTL $/SQFT	SUBJECT SQFT	MARKET VALUE
$202,000	**$131**	**960**	**$125,871**

Comparable sales within 1 mile, sold within the past 12 months. All transactions are arm's-length sales from public county records.

Comparable Properties Map

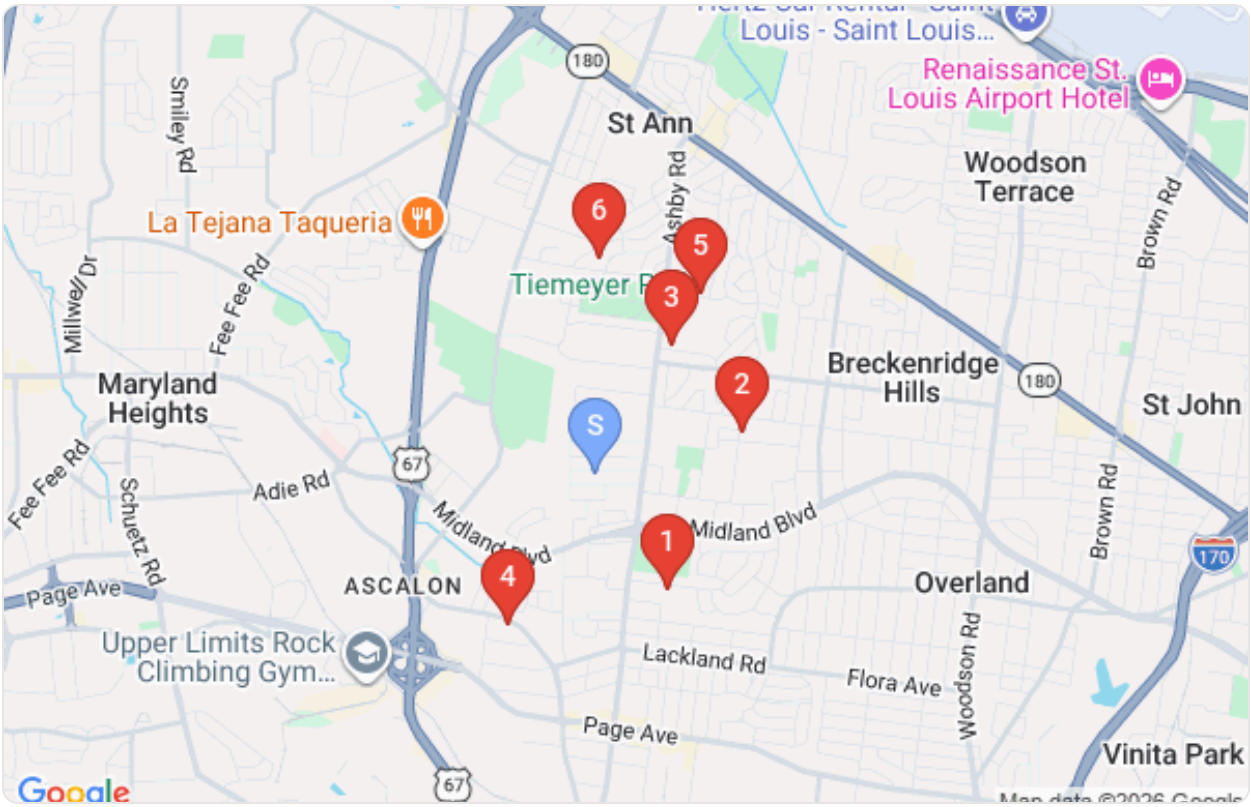

Subject property (blue pin) and comparable sales locations (red pins)

Comparable Property Details

1

SALE PRICE

$181,400

10438 Canter Way

840 sqft · Built 1942 · 0.6 mi · Sold 12/18/2025 · $216/sqft

2

SALE PRICE

$75,000

2912 Poe Ave

929 sqft · Built 1955 · 0.7 mi · Sold 12/23/2025 · $81/sqft

3

SALE PRICE

$100,000

10433 Saint Ann Ln

960 sqft · Built 1958 · 0.7 mi · Sold 12/22/2025 · $104/sqft

4

SALE PRICE

$202,000

2255 N Warson Rd

953 sqft · Built 1947 · 0.8 mi · Sold 12/15/2025 · $212/sqft

5

SALE PRICE

$235,500

10311 Saint Katherine Ln

1,092 sqft · Built 1954 · 0.9 mi · Sold 12/23/2025 · $216/sqft



6

SALE PRICE

$217,300

10764 Saint Dismas Ct

792 sqft · Built 1950 · 1.0 mi · Sold 12/29/2025 · $274/sqft