Property Tax Assessment Analysis

1421 E Ash Ave
Davison County · March 7, 2026

1421 E Ash Ave

Mitchell, SD 57301 · Parcel: 15170-00600-002-00

Living Area	800 sqft	Lot Size	6,882 sqft
Bathrooms	1	Year Built	1940
Property Type	Residential		

Assessment Analysis

County Assessed Value (capped)	$61,004
County Market Value	$220,000
Market Value (Comps)	$96,078
Overassessment	**$123,922**

Environmental & Locational Factors

The following factors were detected within 1 mile of the subject property and may support a lower assessment:

🚂 **Railroad**

2 railroad(s) within 1 mile: South Dakota State RR, Bnsf

🏭 **Commercial/Industrial Zone**

3 industrial zone(s) within 1 mile (incl. Forterra Pipe and Precast, Performance Pet Products, Patzer Woodworking, Inc.)

⚡ **Power Lines**

15 high-voltage transmission line(s) within 1 mile

Source: Census TIGERweb, FEMA National Flood Hazard Layer, OpenStreetMap

Valuation Analysis

The subject property at 1421 E Ash Ave, Mitchell, SD 57301 is a 800 sq ft Residential constructed in 1940, situated on a 6,882 sq ft lot.

A search of recent residential sales within 5 miles identified 13 comparable properties sold within the past 24 months. These properties range from 812 to 1,922 sq ft. The median estimated value per square foot among these comparables is $121. Note: An expanded search radius was used due to limited comparable sales in the immediate area.

Applying the 25th percentile price of $120 per square foot to the subject property's 800 sq ft yields a market value estimate of approximately $96,078. The county's current market value of $220,000 exceeds this estimate by $123,922 (56.3%). At an effective tax rate of 0.24%, this overassessment represents approximately $292 in excess annual property taxes.

The comparable properties used in this analysis are detailed in the table below. All properties are residential, sold within 24 months, and located within 5 miles of the subject property.

Note: SD does not publicly disclose sale prices. Comparable values shown are estimated market values derived from property and market data.

Additionally, environmental or locational factors affecting this property may further impact its market value. These factors are detailed in the Filing Guide included with this packet.

Comparable Property Analysis

#	ADDRESS	DISTANCE	SQFT	YEAR	SALE DATE	EST. MARKET VALUE	$/SQFT
S	**1421 E Ash Ave (Subject)**	**—**	**800**	**1940**	**—**	**—**	**—**
1	1121 W 5TH AVE	—	812	—	3/3/2025	$100,000	$123
2	812 E 5TH AVE	—	1,014	—	3/3/2025	$120,000	$118
3	600 S EDGERTON ST	—	1,092	—	10/2/2025	$176,000	$161
4	1108 W 3RD AVE	—	1,493	—	2/6/2026	$155,000	$104
5	1319 W BIRCH AVE	—	1,176	—	11/6/2025	$209,000	$178
6	713 W 6TH AVE	—	1,020	—	1/17/2025	$122,500	$120
7	829 W 4TH AVE	—	1,523	—	6/2/2025	$184,000	$121
8	211 W 11TH AVE	—	1,694	—	5/9/2025	$220,000	$130
9	513 S DOBSON ST	—	1,624	—	10/1/2025	$270,000	$166
10	1513 E 5TH AVE	—	1,634	—	4/4/2025	$255,000	$156
11	900 E 7TH AVE	—	1,922	—	1/7/2025	$182,000	$95
12	207 W 11TH AVE	—	1,725	—	10/8/2024	$208,000	$121
13	1016 E 5TH ST	—	1,809	—	10/25/2024	$217,500	$120

MEDIAN EST. VALUE	25TH PCTL $/SQFT	SUBJECT SQFT	MARKET VALUE
$184,000	**$120**	**800**	**$96,078**

Comparable properties within 5 miles, sold within the past 24 months. Values shown are estimated market values — SD does not publicly disclose sale prices.

Comparable Properties Map

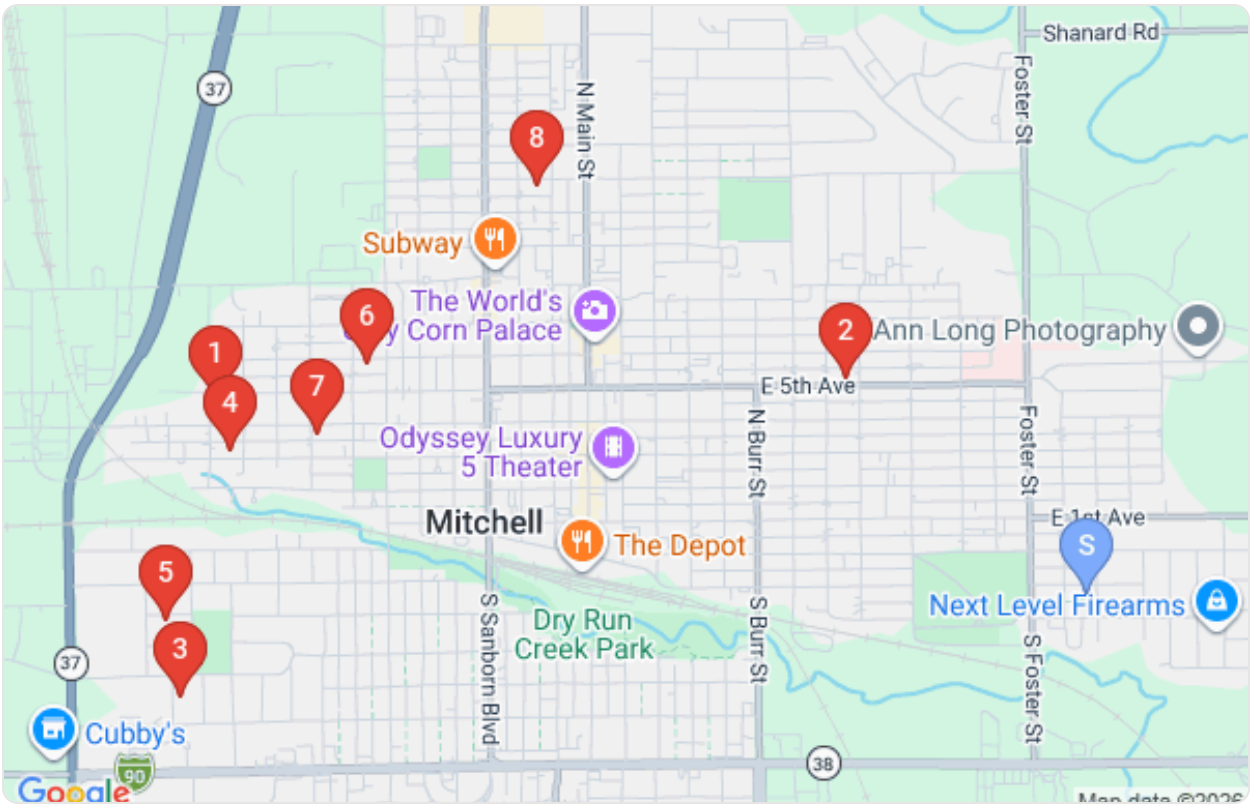

Subject property (blue pin) and comparable property locations (red pins)

Comparable Property Details



1

EST. MARKET VALUE
$100,000

1121 W 5TH AVE

812 sqft · Sold 3/3/2025 · $123/sqft



2

EST. MARKET VALUE
$120,000

812 E 5TH AVE

1,014 sqft · Sold 3/3/2025 · $118/sqft

3

EST. MARKET VALUE
$176,000

600 S EDGERTON ST

1,092 sqft · Sold 10/2/2025 · $161/sqft

4

EST. MARKET VALUE
$155,000

1108 W 3RD AVE

1,493 sqft · Sold 2/6/2026 · $104/sqft

5

EST. MARKET VALUE
$209,000

1319 W BIRCH AVE

1,176 sqft · Sold 11/6/2025 · $178/sqft

6

EST. MARKET VALUE
$122,500

713 W 6TH AVE

1,020 sqft · Sold 1/17/2025 · $120/sqft

7

EST. MARKET VALUE
$184,000

829 W 4TH AVE

1,523 sqft · Sold 6/2/2025 · $121/sqft

8

EST. MARKET VALUE
$220,000

211 W 11TH AVE

1,694 sqft · Sold 5/9/2025 · $130/sqft

9

EST. MARKET VALUE

$270,000

513 S DOBSON ST

1,624 sqft · Sold 10/1/2025 · $166/sqft

10

EST. MARKET VALUE

$255,000

1513 E 5TH AVE

1,634 sqft · Sold 4/4/2025 · $156/sqft

11

EST. MARKET VALUE

$182,000

900 E 7TH AVE

1,922 sqft · Sold 1/7/2025 · $95/sqft

12

EST. MARKET VALUE

$208,000

207 W 11TH AVE

1,725 sqft · Sold 10/8/2024 · $121/sqft



13

EST. MARKET VALUE

$217,500

1016 E 5TH ST

1,809 sqft · Sold 10/25/2024 · $120/sqft