Property Tax Assessment Analysis

1119 Banbury Dr
Davis County · March 7, 2026



1119 Banbury Dr

Syracuse, UT 84075 · Parcel: 12-539-0303

Living Area	2,012 sqft	Lot Size	7,841 sqft
Bedrooms	5	Bathrooms	3.5
Year Built	2005	Property Type	Residential

Assessment Analysis

County Appraised Value	$553,000
Assessment Ratio (UT)	55%
Taxable Assessed Value	$304,150
Market Value (Comps)	$715,912
Underassessment	-$162,912

Factors Considered in Our Analysis

The following factors were considered in our analysis of your property's value:

🚂 **Railroad**
1 railroad(s) within 1 mile: Union Pacific RR

⚡ **Power Lines**
31 high-voltage transmission line(s) within 1 mile

Source: Census TIGERweb, FEMA National Flood Hazard Layer, OpenStreetMap

Valuation Analysis

The subject property at 1119 Banbury Dr, Syracuse, UT 84075 is a 2,012 sq ft Residential constructed in 2005, situated on a 7,841 sq ft lot.

A search of recent residential sales within 1 mile identified 4 comparable properties sold within the past 12 months. These properties range from 1,701 to 2,305 sq ft. The median estimated value per square foot among these comparables is $405. Note: An expanded search radius was used due to limited comparable sales in the immediate area.

Applying the 25th percentile price of $356 per square foot to the subject property's 2,012 sq ft yields a market value estimate of approximately $715,912.

The comparable properties used in this analysis are detailed in the table below. All properties are residential, sold within 12 months, and located within 1 mile of the subject property.

Note: UT does not publicly disclose sale prices. Comparable values shown are estimated market values derived from property and market data.

Additionally, environmental or locational factors affecting this property may further impact its market value.

Comparable Property Analysis

#	ADDRESS	DISTANCE	SQFT	YEAR	SALE DATE	EST. MARKET VALUE	$/SQFT
S	**1119 Banbury Dr (Subject)**	**—**	**2,012**	**2005**	**—**	**—**	**—**
1	1902 S 1275 W	0.9 mi	1,878	2006	1/15/2026	$620,000	$330
2	1555 W 700 S	0.4 mi	2,305	2007	12/29/2025	$839,900	$364
3	1596 W 1175 S	0.1 mi	1,773	2007	2/5/2026	$725,000	$409
4	1412 W 2050 S	1.0 mi	1,701	2007	1/23/2026	$689,000	$405

MEDIAN EST. VALUE	25TH PCTL $/SQFT	SUBJECT SQFT	MARKET VALUE
$725,000	$356	2,012	$715,912

Comparable properties within 1 mile, sold within the past 12 months. Values shown are estimated market values — UT does not publicly disclose sale prices.

Comparable Properties Map

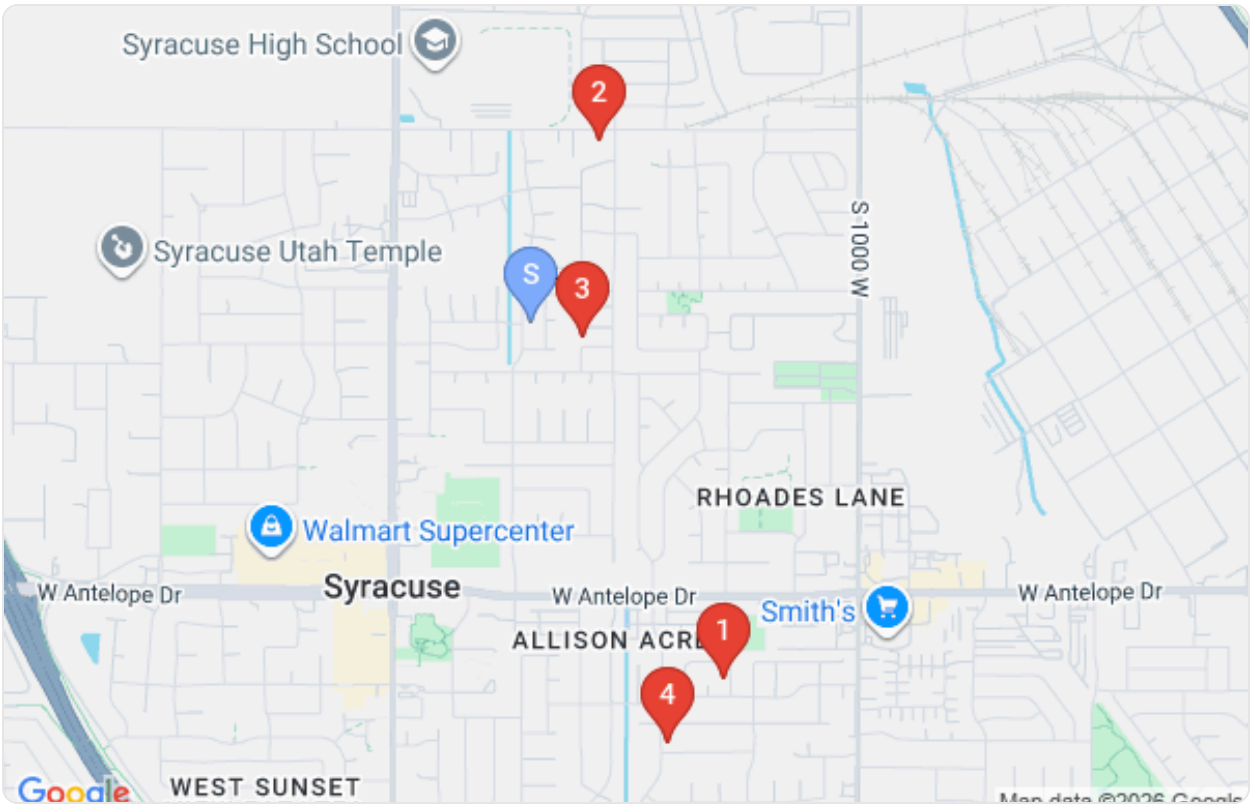

Subject property (blue pin) and comparable property locations (red pins)

Comparable Property Details

1

EST. MARKET VALUE

$620,000

1902 S 1275 W

1,878 sqft · Built 2006 · 0.9 mi · Sold 1/15/2026 · $330/sqft

2

EST. MARKET VALUE

$839,900

1555 W 700 S

2,305 sqft · Built 2007 · 0.4 mi · Sold 12/29/2025 · $364/sqft



3

EST. MARKET VALUE

$725,000

1596 W 1175 S

1,773 sqft · Built 2007 · 0.1 mi · Sold 2/5/2026 · $409/sqft

4

EST. MARKET VALUE

$689,000

1412 W 2050 S

1,701 sqft · Built 2007 · 1.0 mi · Sold 1/23/2026 · $405/sqft