Property Tax Assessment Analysis

1705 Golf Rd
Eau Claire County · March 7, 2026

1705 Golf Rd

Eau Claire, WI 54701 · Parcel: 18221-2-260904-120-0005

Living Area	**700 sqft**	Lot Size	**15,002 sqft**
Bedrooms	**1**	Bathrooms	**1**
Year Built	**1955**	Property Type	**Residential**

Assessment Analysis

County Assessed Value (capped)	**$138,200**
County Market Value	**$177,300**
Market Value (Comps)	**$165,278**
Overassessment	**$12,022**

Note: The most recent assessment data available for this property is from 2024. Current assessment values may differ. We recommend verifying your assessment with your county assessor before filing.

Environmental & Locational Factors

The following factors were detected within 1 mile of the subject property and may support a lower assessment:

Major Highway
1 major highway(s) within 1 mile: I-94

Power Lines
5 high-voltage transmission line(s) within 1 mile

Source: Census TIGERweb, FEMA National Flood Hazard Layer, OpenStreetMap

Valuation Analysis

The subject property at 1705 Golf Rd, Eau Claire, WI 54701 is a 700 sq ft Residential constructed in 1955, situated on a 15,002 sq ft lot.

A search of recent residential sales within 1.5 miles identified 15 comparable properties sold within the past 24 months. These properties range from 966 to 1,392 sq ft. The median sale price per square foot among these comparables is $240. Note: An expanded search radius was used due to limited comparable sales in the immediate area.

Applying the 25th percentile sale price of $236 per square foot to the subject property's 700 sq ft yields a market value estimate of approximately $165,278. The county's current market value of $177,300 exceeds this estimate by $12,022 (6.8%). At an effective tax rate of 1.41%, this overassessment represents approximately $169 in excess annual property taxes.

The comparable sales used in this analysis are detailed in the table below. All properties are residential, sold within 24 months, and located within 1.5 miles of the subject property.

Additionally, environmental or locational factors affecting this property may further impact its market value. These factors are detailed in the Filing Guide included with this packet.

Comparable Sales Analysis

#	ADDRESS	DISTANCE	SQFT	YEAR	SALE DATE	SALE PRICE	$/SQFT
S	1705 Golf Rd (Subject)	—	700	1955	—	—	—

#	ADDRESS	DISTANCE	SQFT	YEAR	SALE DATE	SALE PRICE	$/SQFT
1	2311 Henry Ave	1.5 mi	1,040	1964	1/7/2026	$230,000	$221
2	1416 Mitscher Ave	0.8 mi	966	1925	10/21/2025	$236,000	$244
3	3408 MAYO ST	—	1,096	—	5/5/2025	$316,200	$289
4	1212 E MISSION DR	—	1,248	—	10/16/2025	$300,000	$240
5	1804 BUNKER LN	—	1,248	—	9/4/2025	$295,000	$236
6	1707 MEADOW LN	—	1,000	—	11/7/2024	$294,900	$295
7	1348 ARMSTRONG PL	—	1,304	—	7/17/2025	$370,000	$284
8	3605 S ANITA DR	—	1,288	—	5/29/2025	$308,500	$240
9	2103 SIERRA DR S	—	1,373	—	7/2/2025	$300,000	$218
10	2215 HATCH ST	—	1,384	—	10/14/2025	$356,000	$257
11	1328 ARMSTRONG PL	—	1,392	—	10/15/2025	$329,900	$237
12	2034 HATCH ST	—	1,260	—	6/26/2025	$349,900	$278
13	3364 FEAR ST	—	1,378	—	8/29/2024	$250,000	$181
14	1702 BUNKER LN	—	1,224	—	1/21/2025	$289,000	$236
15	3333 MAYO ST	—	1,144	—	9/5/2024	$320,000	$280

MEDIAN SALE PRICE	25TH PCTL $/SQFT	SUBJECT SQFT	MARKET VALUE
$300,000	**$236**	**700**	**$165,278**

Comparable sales within 1.5 miles, sold within the past 24 months. All transactions are arm's-length sales from public county records.

Comparable Properties Map

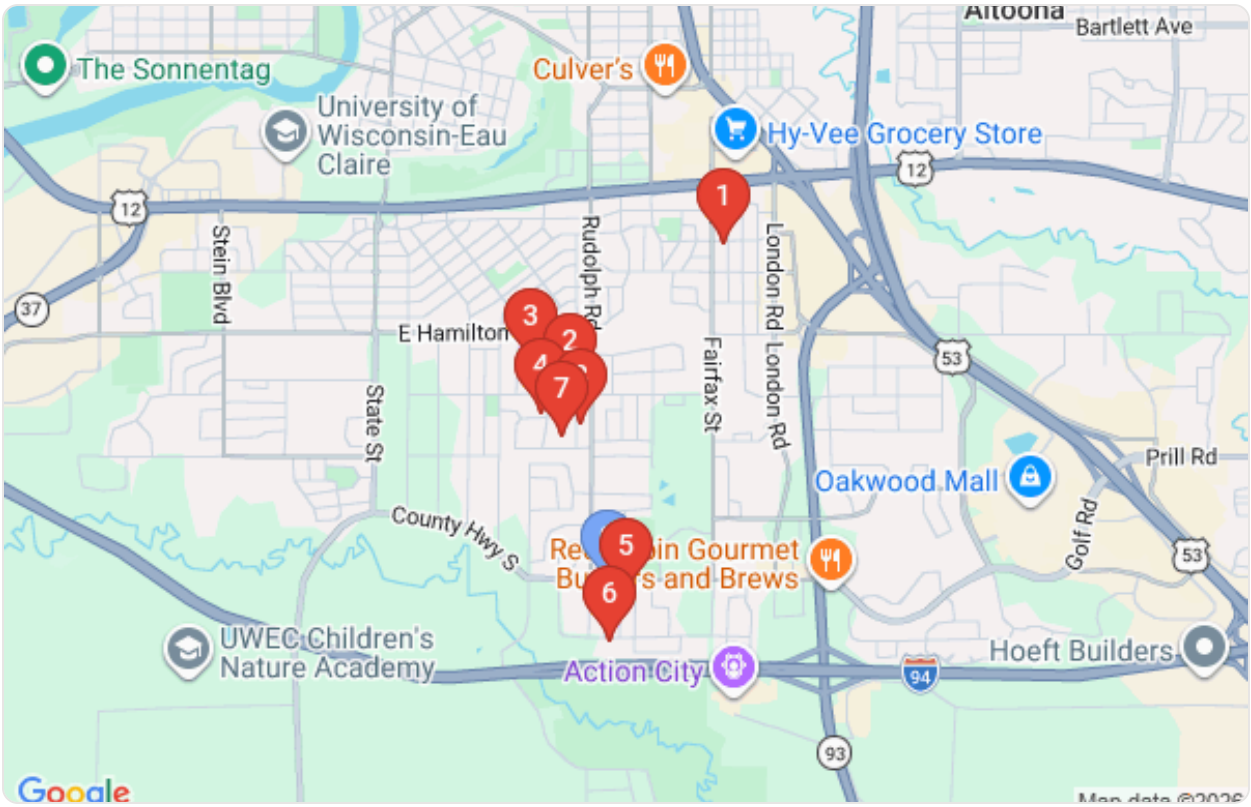

Subject property (blue pin) and comparable sales locations (red pins)

Comparable Property Details

1

SALE PRICE
$230,000

2311 Henry Ave

1,040 sqft · Built 1964 · 1.5 mi · Sold 1/7/2026 · $221/sqft

2

SALE PRICE
$236,000

1416 Mitscher Ave

966 sqft · Built 1925 · 0.8 mi · Sold 10/21/2025 · $244/sqft

3

SALE PRICE
$316,200

3408 MAYO ST

1,096 sqft · Sold 5/5/2025 · $289/sqft

4

SALE PRICE
$300,000

1212 E MISSION DR

1,248 sqft · Sold 10/16/2025 · $240/sqft

5

SALE PRICE
$295,000

1804 BUNKER LN

1,248 sqft · Sold 9/4/2025 · $236/sqft

6

SALE PRICE
$294,900

1707 MEADOW LN

1,000 sqft · Sold 11/7/2024 · $295/sqft



7

SALE PRICE
$370,000

1348 ARMSTRONG PL

1,304 sqft · Sold 7/17/2025 · $284/sqft

8

SALE PRICE
$308,500

3605 S ANITA DR

1,288 sqft · Sold 5/29/2025 · $240/sqft

9

SALE PRICE

$300,000

2103 SIERRA DR S

1,373 sqft · Sold 7/2/2025 · $218/sqft

10

SALE PRICE

$356,000

2215 HATCH ST

1,384 sqft · Sold 10/14/2025 · $257/sqft

11

SALE PRICE

$329,900

1328 ARMSTRONG PL

1,392 sqft · Sold 10/15/2025 · $237/sqft

12

SALE PRICE

$349,900

2034 HATCH ST

1,260 sqft · Sold 6/26/2025 · $278/sqft



13

SALE PRICE

$250,000

3364 FEAR ST

1,378 sqft · Sold 8/29/2024 · $181/sqft

14

SALE PRICE

$289,000

1702 BUNKER LN

1,224 sqft · Sold 1/21/2025 · $236/sqft

15

SALE PRICE

$320,000

3333 MAYO ST

1,144 sqft · Sold 9/5/2024 · $280/sqft