Property Tax Assessment Analysis

2000 Wirsing Ave
Sebastian County · March 7, 2026



2000 Wirsing Ave

Fort Smith, AR 72904 · Parcel: 10537-0006-00008-00

Living Area	**868 sqft**	Lot Size	**7,000 sqft**
Bathrooms	**1**	Year Built	**N/A**
Property Type	**Residential**		

Assessment Analysis

County Appraised Value	**$89,885**
Assessment Ratio (AR)	**20%**
Taxable Assessed Value	**$17,977**
Market Value (Comps)	**$71,185**
Overassessment	**$18,700**

Environmental & Locational Factors

The following factors were detected within 1 mile of the subject property and may support a lower assessment:

🚂 **Railroad**
1 railroad(s) within 1 mile: Arkansas & Missouri RR

🏭 **Commercial/Industrial Zone**
6 industrial zone(s) within 1 mile

⚡ **Power Lines**
3 high-voltage transmission line(s) within 1 mile

Source: Census TIGERweb, FEMA National Flood Hazard Layer, OpenStreetMap

Valuation Analysis

The subject property at 2000 Wirsing Ave, Fort Smith, AR 72904 is a 868 sq ft Residential constructed in N/A, situated on a 7,000 sq ft lot.

A search of recent residential sales within 1.5 miles identified 9 comparable properties sold within the past 18 months. These properties range from 720 to 1,098 sq ft. The median estimated value per square foot among these comparables is $98. Note: An expanded search radius was used due to limited comparable sales in the immediate area.

Applying the 25th percentile price of $82 per square foot to the subject property's 868 sq ft yields a market value estimate of approximately $71,185. The county's current appraised value of $89,885 exceeds this estimate by $18,700 (20.8%). At an effective tax rate of 1.16%, this overassessment represents approximately $217 in excess annual property taxes.

The comparable properties used in this analysis are detailed in the table below. All properties are residential, sold within 18 months, and located within 1.5 miles of the subject property.

Note: AR does not publicly disclose sale prices. Comparable values shown are estimated market values derived from property and market data.

Additionally, environmental or locational factors affecting this property may further impact its market value. These factors are detailed in the Filing Guide included with this packet.

Comparable Property Analysis

#	ADDRESS	DISTANCE	SQFT	YEAR	SALE DATE	SALE PRICE*	$/SQFT
S	**2000 Wirsing Ave (Subject)**	**—**	**868**	**—**	**—**	**—**	**—**
1	2100 Birnie Ave	0.1 mi	832	—	12/12/2025	$103,000	$124
2	3901 Macarthur Dr	1.4 mi	822	1945	1/5/2026	$58,900	$72
3	2608 Virginia Ave	0.5 mi	1,080	1994	2/6/2026	$139,000	$129
4	3624 Chaffee Dr	1.4 mi	756	1945	2/13/2026	$62,000	$82
5	3809 Macarthur Dr	1.4 mi	1,055	1945	1/15/2026	$115,000	$109
6	4209 Walnut Park Dr	1.1 mi	1,098	2006	12/9/2025	$170,000	$155
7	3911 Kelley Hwy	1.3 mi	888	—	12/11/2025	$87,000	$98
8	2923 Virginia Ave	0.7 mi	1,025	1945	2/23/2026	$99,500	$97
9	3200 Oak Grove St	1.2 mi	720	1948	1/16/2026	$40,500	$56

MEDIAN PRICE	25TH PCTL $/SQFT	SUBJECT SQFT	MARKET VALUE
$99,500	**$82**	**868**	**$71,185**

*Comparable sales within 1.5 miles, sold within the past 18 months. All transactions are arm's-length sales from public county records. *Estimated market value — actual sale price not publicly disclosed in this state.*

Comparable Properties Map

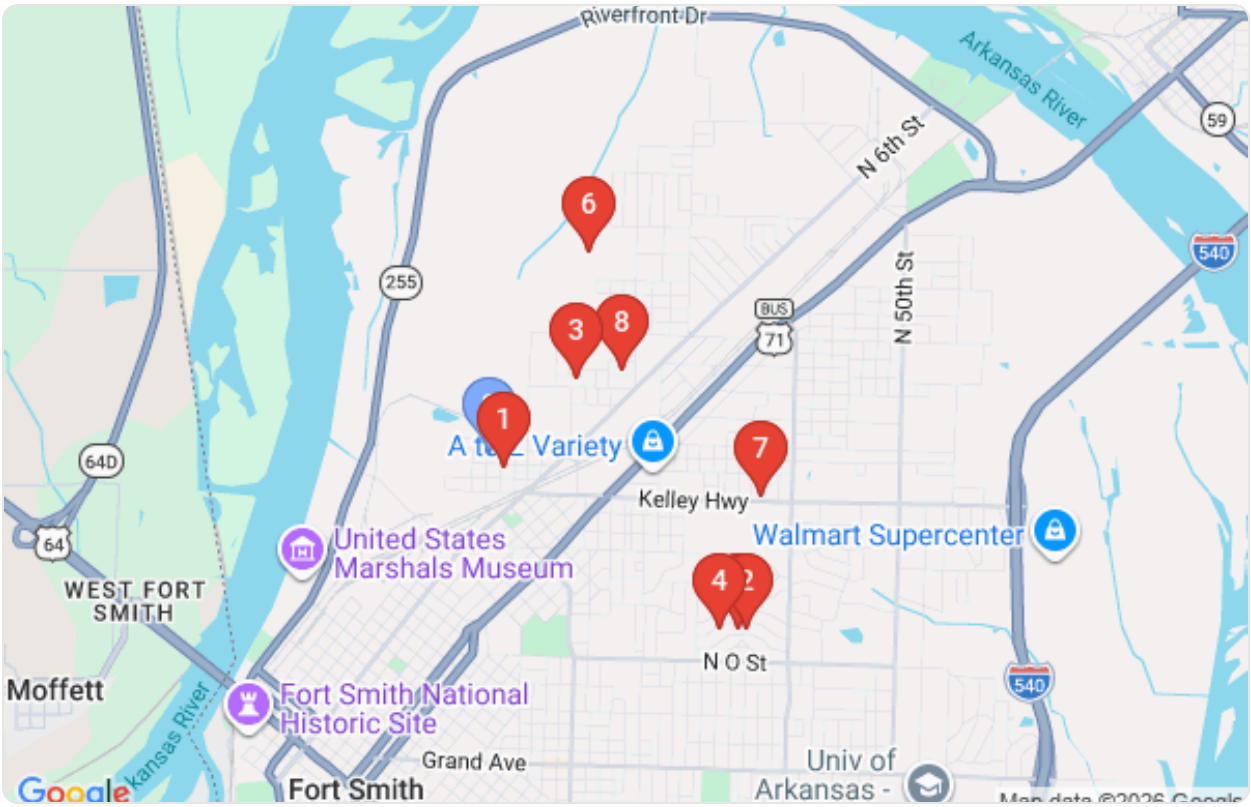

Subject property (blue pin) and comparable property locations (red pins)

Comparable Property Details

1

SALE PRICE
$103,000

2100 Birnie Ave

832 sqft · 0.1 mi · Sold 12/12/2025 · $124/sqft

2

SALE PRICE
$58,900

3901 Macarthur Dr

822 sqft · Built 1945 · 1.4 mi · Sold 1/5/2026 · $72/sqft

3

SALE PRICE
$139,000

2608 Virginia Ave

1,080 sqft · Built 1994 · 0.5 mi · Sold 2/6/2026 · $129/sqft

4

SALE PRICE
$62,000

3624 Chaffee Dr

756 sqft · Built 1945 · 1.4 mi · Sold 2/13/2026 · $82/sqft

5

SALE PRICE
$115,000

3809 Macarthur Dr

1,055 sqft · Built 1945 · 1.4 mi · Sold 1/15/2026 · $109/sqft

6

SALE PRICE
$170,000

4209 Walnut Park Dr

1,098 sqft · Built 2006 · 1.1 mi · Sold 12/9/2025 · $155/sqft



7

SALE PRICE
$87,000

3911 Kelley Hwy

888 sqft · 1.3 mi · Sold 12/11/2025 · $98/sqft

8

EST. MARKET VALUE
$99,500

2923 Virginia Ave

1,025 sqft · Built 1945 · 0.7 mi · Sold 2/23/2026 · $97/sqft



9

SALE PRICE

$40,500

3200 Oak Grove St

720 sqft · Built 1948 · 1.2 mi · Sold 1/16/2026 · $56/sqft