Property Tax Assessment Analysis

714 Albion St
Denver County · March 7, 2026



714 Albion St

Denver, CO 80220 · Parcel: 06063-14-090-000

Living Area	**1,462 sqft**	Lot Size	**1,165 sqft**
Bedrooms	**2**	Bathrooms	**3**
Year Built	**2005**	Property Type	**Residential**

Assessment Analysis

County Appraised Value	**$630,300**
Assessment Ratio (CO)	**6.7%**
Taxable Assessed Value	**$42,230**
Market Value (Comps)	**$658,266**
Underassessment	**-$27,966**

Note: The most recent assessment data available for this property is from 2024. Current assessment values may differ. We recommend verifying your assessment with your county assessor before filing.

Valuation Analysis

The subject property at 714 Albion St, Denver, CO 80220 is a 1,462 sq ft Residential constructed in 2005, situated on a 1,165 sq ft lot.

A search of recent residential sales within 1.5 miles identified 5 comparable properties sold within the past 18 months. These properties range from 1,224 to 1,799 sq ft. The median sale price per square foot among these comparables is $477. Note: An expanded search radius was used due to limited comparable sales in the immediate area.

Applying the 25th percentile sale price of $450 per square foot to the subject property's 1,462 sq ft yields a market value estimate of approximately $658,266.

The comparable sales used in this analysis are detailed in the table below. All properties are residential, sold within 18 months, and located within 1.5 miles of the subject property.

Comparable Sales Analysis

#	ADDRESS	DISTANCE	SQFT	YEAR	SALE DATE	SALE PRICE	$/SQFT
S	**714 Albion St (Subject)**	**—**	**1,462**	**2005**	**—**	**—**	**—**
1	567 Harrison St	0.2 mi	1,468	1923	2/17/2026	$700,000	$477
2	660 Clermont St	0.3 mi	1,268	1932	2/10/2026	$775,000	$611
3	1725 Forest Pkwy	1.3 mi	1,224	1931	2/26/2026	$835,000	$682
4	1274 Hudson St	1.0 mi	1,762	1932	2/9/2026	$475,000	$270
5	6001 E Cedar Ave	1.5 mi	1,799	1956	2/24/2026	$810,000	$450

MEDIAN SALE PRICE	25TH PCTL $/SQFT	SUBJECT SQFT	MARKET VALUE
$775,000	$450	1,462	$658,266

Comparable sales within 1.5 miles, sold within the past 18 months. All transactions are arm's-length sales from public county records.

Comparable Properties Map

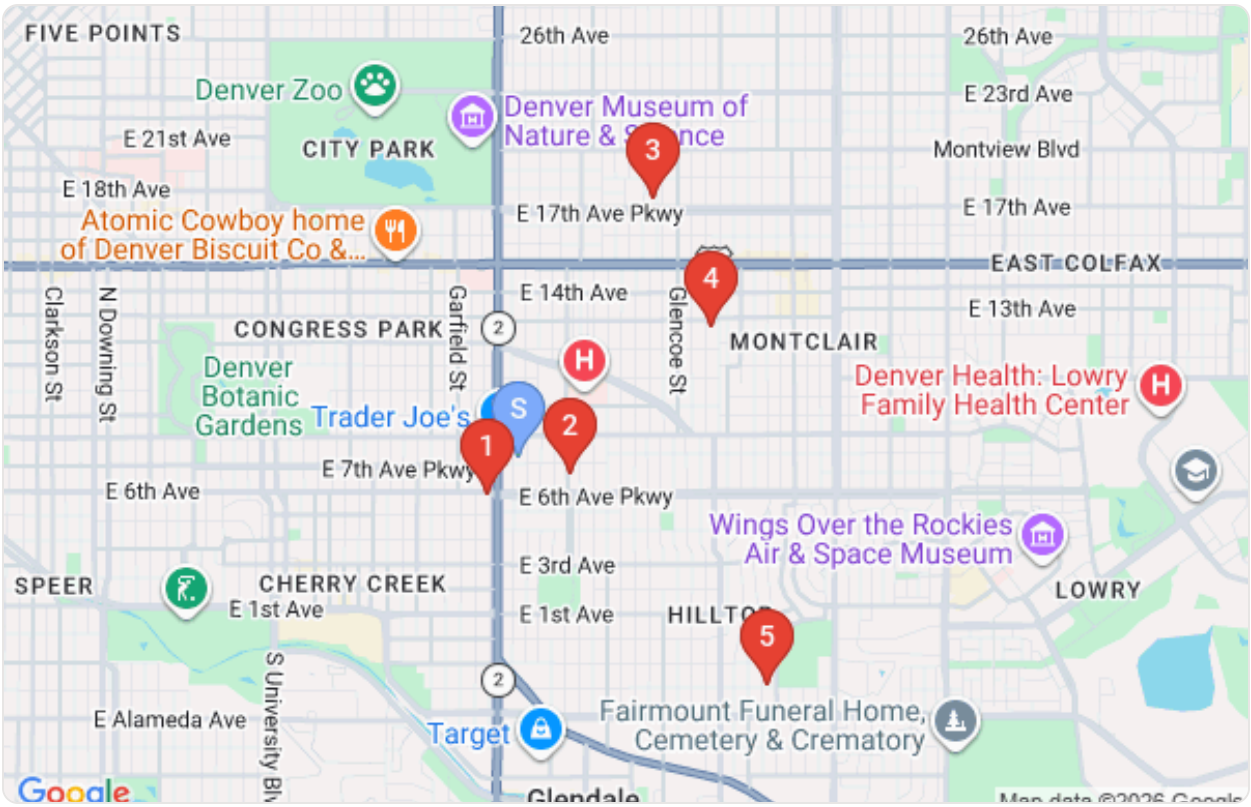

Subject property (blue pin) and comparable sales locations (red pins)

Comparable Property Details

1

SALE PRICE
$700,000

567 Harrison St

1,468 sqft · Built 1923 · 0.2 mi · Sold 2/17/2026 · $477/sqft



2

SALE PRICE
$775,000

660 Clermont St

1,268 sqft · Built 1932 · 0.3 mi · Sold 2/10/2026 · $611/sqft

3

SALE PRICE
$835,000

1725 Forest Pkwy

1,224 sqft · Built 1931 · 1.3 mi · Sold 2/26/2026 · $682/sqft

4

SALE PRICE
$475,000

1274 Hudson St

1,762 sqft · Built 1932 · 1.0 mi · Sold 2/9/2026 · $270/sqft

5

SALE PRICE
$810,000

6001 E Cedar Ave

1,799 sqft · Built 1956 · 1.5 mi · Sold 2/24/2026 · $450/sqft