Property Tax Assessment Analysis

25 Victoria Rd
Hartford County · March 7, 2026

25 Victoria Rd

Manchester, CT 06040 · Parcel:
MCHS M:47 B:5690 L:25

Living Area	3,032 sqft	Lot Size	7,405 sqft
Bedrooms	3	Bathrooms	1
Year Built	1931	Property Type	Residential

Assessment Analysis

County Assessed Value (capped)	$126,400
County Market Value	$279,000
Market Value (Comps)	$288,945
Underassessment	-$9,945

Factors Considered in Our Analysis

The following factors were considered in our analysis of your property's value:

🛣️ **Major Highway**
1 major highway(s) within 1 mile: I-384

🏭 **Commercial/Industrial Zone**
3 commercial, 2 retail zone(s) within 1 mile (incl. Parkade Shopping Center)

⚡ **Power Lines**
33 high-voltage transmission line(s) within 1 mile

Source: Census TIGERweb, FEMA National Flood Hazard Layer, OpenStreetMap

Valuation Analysis

The subject property at 25 Victoria Rd, Manchester, CT 06040 is a 3,032 sq ft Residential constructed in 1931, situated on a 7,405 sq ft lot.

A search of recent residential sales within 1 mile identified 12 comparable properties sold within the past 12 months. These properties range from 2,515 to 3,631 sq ft. The median sale price per square foot among these comparables is $111. Note: An expanded search radius was used due to limited comparable sales in the immediate area.

Applying the 25th percentile sale price of $95 per square foot to the subject property's 3,032 sq ft yields a market value estimate of approximately $288,945.

The comparable sales used in this analysis are detailed in the table below. All properties are residential, sold within 12 months, and located within 1 mile of the subject property.

Additionally, environmental or locational factors affecting this property may further impact its market value.

Comparable Sales Analysis

#	ADDRESS	DISTANCE	SQFT	YEAR	SALE DATE	SALE PRICE	$/SQFT
S	25 Victoria Rd (Subject)	—	3,032	1931	—	—	—

#	ADDRESS	DISTANCE	SQFT	YEAR	SALE DATE	SALE PRICE	$/SQFT
1	96 Campfield Rd	0.4 mi	2,842	1948	1/8/2026	$205,000	$72
2	9 Deepwood Dr	0.5 mi	3,148	1942	1/9/2026	$300,000	$95
3	565 Adams St	0.5 mi	2,554	1941	12/22/2025	$320,000	$125
4	21 Saint John St	0.4 mi	3,631	1939	12/16/2025	$272,000	$75
5	60 Deerfield Dr	0.6 mi	2,668	1942	1/8/2026	$325,000	$122
6	108 Middle Tpke W	1.0 mi	2,515	1944	12/16/2025	$280,000	$111
7	21 Trebbe Dr	0.5 mi	3,097	1948	12/31/2025	$350,000	$113
8	100 Russell St	0.9 mi	3,022	1953	12/22/2025	$308,000	$102
9	123 Keeney St	1.0 mi	2,852	1950	12/8/2025	$360,000	$126
10	39 Judith Dr	0.9 mi	2,992	1958	12/1/2025	$300,000	$100
11	83 Olcott St	0.6 mi	3,024	1956	1/20/2026	$231,500	$77
12	30 Duval St	1.0 mi	2,565	1957	12/1/2025	$340,000	$133

MEDIAN SALE PRICE	25TH PCTL $/SQFT	SUBJECT SQFT	MARKET VALUE
$308,000	**$95**	**3,032**	**$288,945**

Comparable sales within 1 mile, sold within the past 12 months. All transactions are arm's-length sales from public county records.

Comparable Properties Map

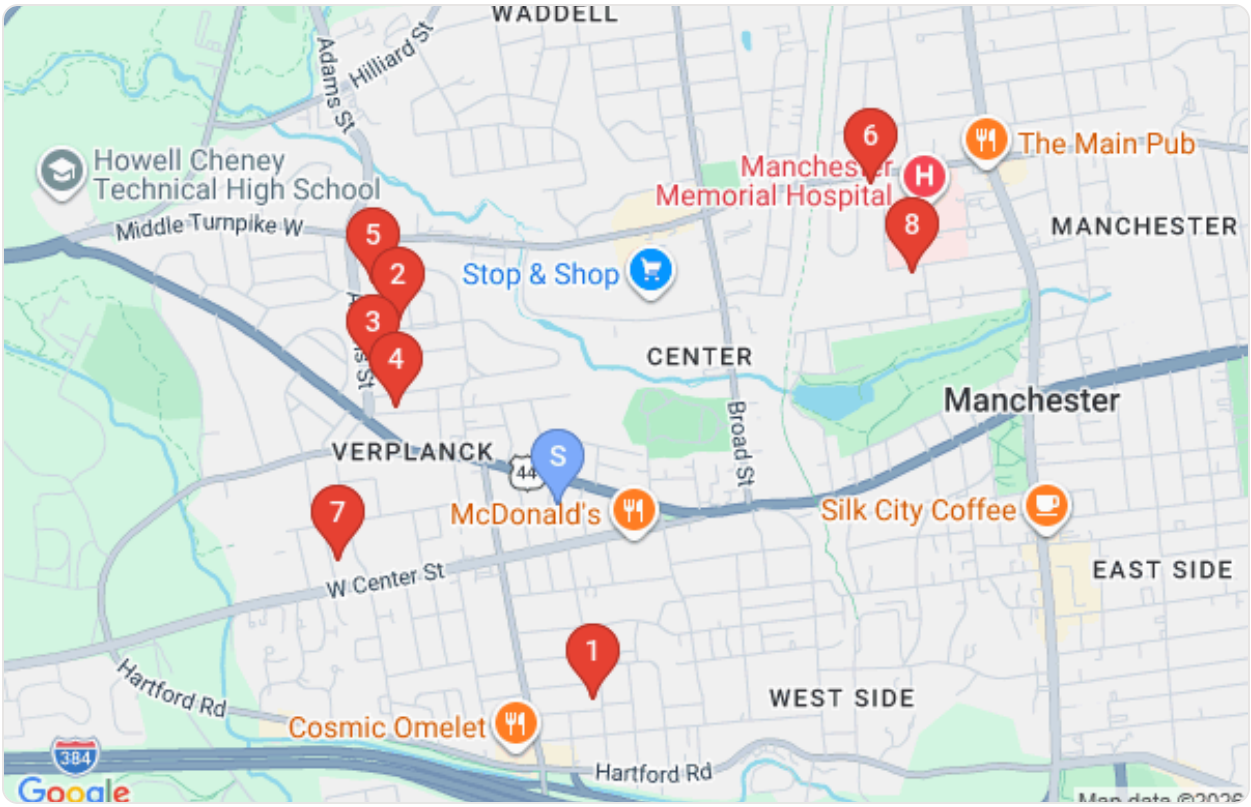

Subject property (blue pin) and comparable sales locations (red pins)

Comparable Property Details



1

SALE PRICE
$205,000

96 Campfield Rd

2,842 sqft · Built 1948 · 0.4 mi · Sold 1/8/2026 · $72/sqft



2

SALE PRICE
$300,000

9 Deepwood Dr

3,148 sqft · Built 1942 · 0.5 mi · Sold 1/9/2026 · $95/sqft

3

SALE PRICE
$320,000

565 Adams St

2,554 sqft · Built 1941 · 0.5 mi · Sold 12/22/2025 · $125/sqft

4

SALE PRICE
$272,000

21 Saint John St

3,631 sqft · Built 1939 · 0.4 mi · Sold 12/16/2025 · $75/sqft

5

SALE PRICE
$325,000

60 Deerfield Dr

2,668 sqft · Built 1942 · 0.6 mi · Sold 1/8/2026 · $122/sqft

6

SALE PRICE
$280,000

108 Middle Tpke W

2,515 sqft · Built 1944 · 1.0 mi · Sold 12/16/2025 · $111/sqft

7

SALE PRICE
$350,000

21 Trebbe Dr

3,097 sqft · Built 1948 · 0.5 mi · Sold 12/31/2025 · $113/sqft

8

SALE PRICE
$308,000

100 Russell St

3,022 sqft · Built 1953 · 0.9 mi · Sold 12/22/2025 · $102/sqft

9

SALE PRICE

$360,000

123 Keeney St

2,852 sqft · Built 1950 · 1.0 mi · Sold 12/8/2025 · $126/sqft

10

SALE PRICE

$300,000

39 Judith Dr

2,992 sqft · Built 1958 · 0.9 mi · Sold 12/1/2025 · $100/sqft

11

SALE PRICE

$231,500

83 Olcott St

3,024 sqft · Built 1956 · 0.6 mi · Sold 1/20/2026 · $77/sqft

12

SALE PRICE

$340,000

30 Duval St

2,565 sqft · Built 1957 · 1.0 mi · Sold 12/1/2025 · $133/sqft