# Property Tax Assessment Analysis

4231 Blagden Ave NW
District Of Columbia · March 7, 2026



## 4231 Blagden Ave NW

Washington, DC 20011 · Parcel: 2642 0074

| | | | |
|---|---|---|---|
| Living Area | 2,028 sqft | Lot Size | 14,273 sqft |
| Bedrooms | 3 | Bathrooms | 3 |
| Year Built | 1965 | Property Type | Residential |

## Assessment Analysis

| | |
|---|---|
| County Appraised Value | $1,329,290 |
| Market Value (Comps) | $993,584 |
| Overassessment | **$335,706** |

## Environmental & Locational Factors

The following factors were detected within 1 mile of the subject property and may support a lower assessment:

🏭 **Commercial/Industrial Zone**
8 commercial, 1 industrial, 28 retail zone(s) within 1 mile (incl. Panda Plaza, Rock Creek Park Maintenance Yard)

*Source: Census TIGERweb, FEMA National Flood Hazard Layer, OpenStreetMap*

## Valuation Analysis

The subject property at 4231 Blagden Ave NW, Washington, DC 20011 is a 2,028 sq ft Residential constructed in 1965, situated on a 14,273 sq ft lot.

A search of recent residential sales within 5 miles identified 14 comparable properties sold within the past 24 months. These properties range from 1,656 to 2,750 sq ft. The median sale price per square foot among these comparables is $673. Note: An expanded search radius was used due to limited comparable sales in the immediate area.

**Applying the 25th percentile sale price of $490 per square foot to the subject property's 2,028 sq ft yields a market value estimate of approximately $993,584. The county's current appraised value of $1,329,290 exceeds this estimate by $335,706 (25.3%). At an effective tax rate of 1.65%, this overassessment represents approximately $5,539 in excess annual property taxes.**

The comparable sales used in this analysis are detailed in the table below. All properties are residential, sold within 24 months, and located within 5 miles of the subject property.

*Additionally, environmental or locational factors affecting this property may further impact its market value. These factors are detailed in the Filing Guide included with this packet.*

# Comparable Sales Analysis

| # | ADDRESS | DISTANCE | SQFT | YEAR | SALE DATE | SALE PRICE | $/SQFT |
|---|---|---|---|---|---|---|---|
| **S** | **4231 Blagden Ave NW (Subject)** | **—** | **2,028** | **1965** | **—** | **—** | **—** |
| 1 | 3524 WILLIAMSBURG LN NW | — | 2,014 | — | 12/4/2025 | $1,895,000 | $941 |
| 2 | 4601 BLAGDEN AVE NW | — | 1,682 | — | 11/20/2025 | $1,200,000 | $713 |
| 3 | 1816 TAYLOR ST NW | — | 2,135 | — | 9/11/2025 | $1,000,000 | $468 |
| 4 | 4633 BLAGDEN AVE NW | — | 2,412 | — | 9/17/2025 | $1,075,000 | $446 |
| 5 | 2603 KLINGLE RD NW | — | 2,556 | — | 7/9/2025 | $1,750,000 | $685 |
| 6 | 1724 TAYLOR ST NW | — | 2,437 | — | 12/30/2025 | $1,665,000 | $683 |
| 7 | 4122 16TH ST NW | — | 2,445 | — | 9/12/2025 | $900,000 | $368 |
| 8 | 1715 CRESTWOOD DR NW | — | 2,552 | — | 5/14/2025 | $1,475,000 | $578 |

| # | ADDRESS | DISTANCE | SQFT | YEAR | SALE DATE | SALE PRICE | $/SQFT |
|---|---|---|---|---|---|---|---|
| 9 | 4600 BLAGDEN TER NW | — | 1,656 | — | 7/31/2025 | $1,500,000 | $906 |
| 10 | 1751 CRESTWOOD DR NW | — | 2,750 | — | 8/11/2025 | $1,850,000 | $673 |
| 11 | 1312 GALLATIN ST NW | — | 2,240 | — | 12/16/2025 | $1,535,000 | $685 |
| 12 | 1406 INGRAHAM ST NW | — | 2,235 | — | 7/22/2025 | $1,095,000 | $490 |
| 13 | 1402 EMERSON ST NW | — | 2,009 | — | 11/10/2025 | $1,350,000 | $672 |
| 14 | 4504 BLAGDEN AVE NW | — | 2,376 | — | 11/15/2024 | $1,525,000 | $642 |

| MEDIAN SALE PRICE | 25TH PCTL $/SQFT | SUBJECT SQFT | MARKET VALUE |
|---|---|---|---|
| **$1,500,000** | **$490** | **2,028** | **$993,584** |

*Comparable sales within 5 miles, sold within the past 24 months. All transactions are arm's-length sales from public county records.*

# Comparable Properties Map

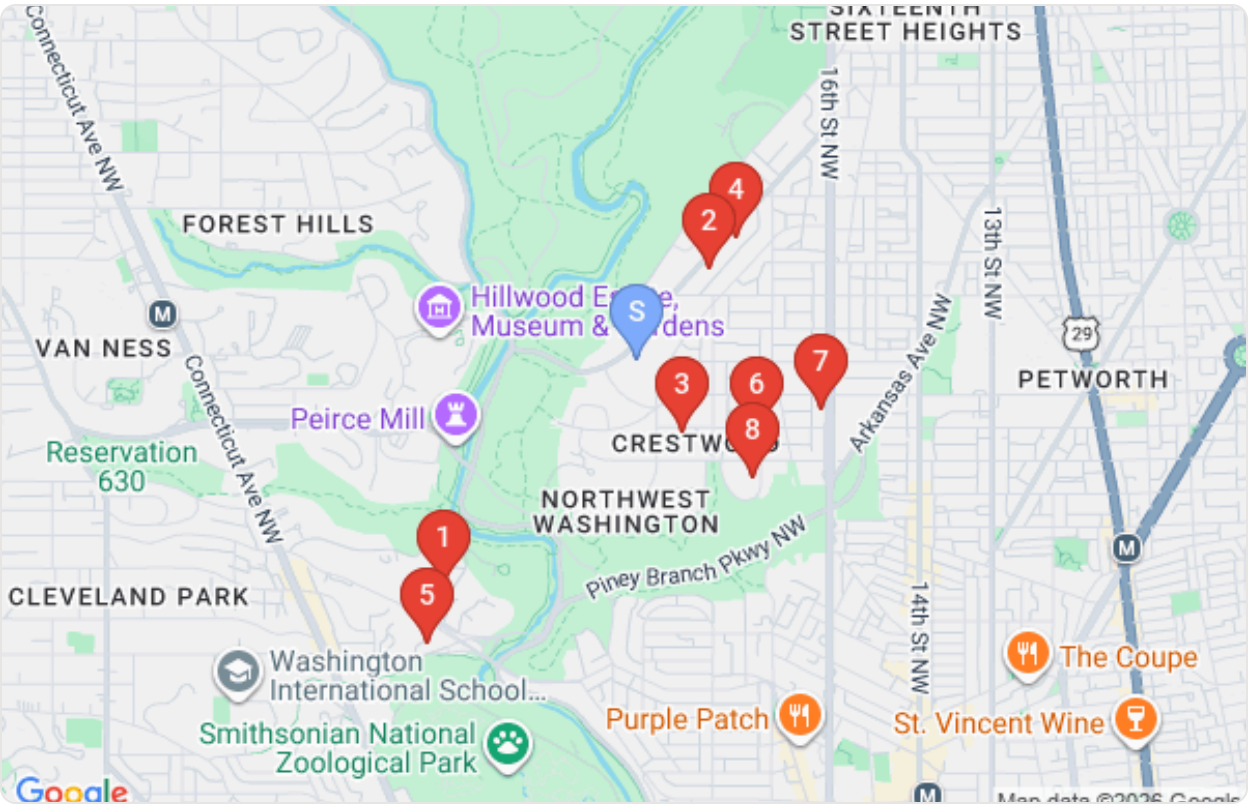


*Subject property (blue pin) and comparable sales locations (red pins)*

# Comparable Property Details



1

SALE PRICE
**$1,895,000**

### 3524 WILLIAMSBURG LN NW

2,014 sqft · Sold 12/4/2025 · $941/sqft



2

SALE PRICE
**$1,200,000**

### 4601 BLAGDEN AVE NW

1,682 sqft · Sold 11/20/2025 · $713/sqft



3

SALE PRICE
**$1,000,000**

### 1816 TAYLOR ST NW

2,135 sqft · Sold 9/11/2025 · $468/sqft



4

SALE PRICE
**$1,075,000**

### 4633 BLAGDEN AVE NW

2,412 sqft · Sold 9/17/2025 · $446/sqft

5

SALE PRICE
**$1,750,000**

### 2603 KLINGLE RD NW

2,556 sqft · Sold 7/9/2025 · $685/sqft

6

SALE PRICE
**$1,665,000**

### 1724 TAYLOR ST NW

2,437 sqft · Sold 12/30/2025 · $683/sqft



7

SALE PRICE
**$900,000**

### 4122 16TH ST NW

2,445 sqft · Sold 9/12/2025 · $368/sqft

8

SALE PRICE
**$1,475,000**

### 1715 CRESTWOOD DR NW

2,552 sqft · Sold 5/14/2025 · $578/sqft



9

SALE PRICE

**$1,500,000**

### 4600 BLAGDEN TER NW

1,656 sqft · Sold 7/31/2025 · $906/sqft

10

SALE PRICE

**$1,850,000**

### 1751 CRESTWOOD DR NW

2,750 sqft · Sold 8/11/2025 · $673/sqft

11

SALE PRICE

**$1,535,000**

### 1312 GALLATIN ST NW

2,240 sqft · Sold 12/16/2025 · $685/sqft



12

SALE PRICE

**$1,095,000**

### 1406 INGRAHAM ST NW

2,235 sqft · Sold 7/22/2025 · $490/sqft



13

SALE PRICE

**$1,350,000**

### 1402 EMERSON ST NW

2,009 sqft · Sold 11/10/2025 · $672/sqft



14

SALE PRICE

**$1,525,000**

### 4504 BLAGDEN AVE NW

2,376 sqft · Sold 11/15/2024 · $642/sqft