Property Tax Assessment Analysis

599 Deerfield Rd
St. Tammany Parish · March 7, 2026



599 Deerfield Rd

Folsom, LA 70437 · Parcel: 15108

Living Area	1,965 sqft	Lot Size	7.90 acres
Year Built	2010	Property Type	Residential

Assessment Analysis

County Appraised Value	$75,870
Assessment Ratio (LA)	10%
Taxable Assessed Value	$7,587
Market Value (Comps)	$258,703
Underassessment	-$182,833

Valuation Analysis

The subject property at 599 Deerfield Rd, Folsom, LA 70437 is a 1,965 sq ft Residential constructed in 2010, situated on a 7.90-acre lot.

A search of recent residential sales within 1.4 miles identified 13 comparable properties sold within the past 24 months. These properties range from 1,095 to 2,457 sq ft. The median sale price per square foot among these comparables is $154. Note: An expanded search radius was used due to limited comparable sales in the immediate area.

Applying the 25th percentile sale price of $132 per square foot to the subject property's 1,965 sq ft yields a market value estimate of approximately $258,703.

The comparable sales used in this analysis are detailed in the table below. All properties are residential, sold within 24 months, and located within 1.4 miles of the subject property.

Comparable Sales Analysis

#	ADDRESS	DISTANCE	SQFT	YEAR	SALE DATE	SALE PRICE	$/SQFT
S	**599 Deerfield Rd (Subject)**	**—**	**1,965**	**2010**	**—**	**—**	**—**
1	167 Keeneland Place Loop	1.4 mi	1,784	2022	10/24/2025	$299,999	$168
2	297 DEERFIELD RD	—	1,672	—	12/23/2025	$245,000	$147
3	11630 WILLIE GARRETT RD	—	1,480	—	12/2/2025	$280,000	$189
4	345 VILLAGE FARMS LN	—	2,248	—	1/5/2026	$420,000	$187
5	Near FOLSOM, LA	—	1,546	—	10/16/2025	$275,000	$178
6	130 DEERFIELD RD	—	2,148	—	11/19/2024	$480,000	$223
7	11053 BAHAM RD	—	2,079	—	7/29/2024	$181,558	$87
8	Near FOLSOM, LA	—	1,441	—	2/14/2025	$265,000	$184
9	83740 PIERRE CEMETARY RD	—	1,095	—	11/4/2024	$169,000	$154
10	87011 HIGHWAY 25	—	2,100	—	8/18/2025	$230,000	$110
11	85277 HIGHWAY 25	—	2,457	—	6/4/2025	$349,000	$142

#	ADDRESS	DISTANCE	SQFT	YEAR	SALE DATE	SALE PRICE	$/SQFT
12	85185 HIGHWAY 25	—	1,725	—	11/27/2024	$227,106	$132
13	83715 PIERRE CEMETARY RD	—	1,733	—	8/13/2025	$115,000	$66

MEDIAN SALE PRICE	25TH PCTL $/SQFT	SUBJECT SQFT	MARKET VALUE
$265,000	**$132**	**1,965**	**$258,703**

Comparable sales within 1.4 miles, sold within the past 24 months. All transactions are arm's-length sales from public county records.

Comparable Properties Map

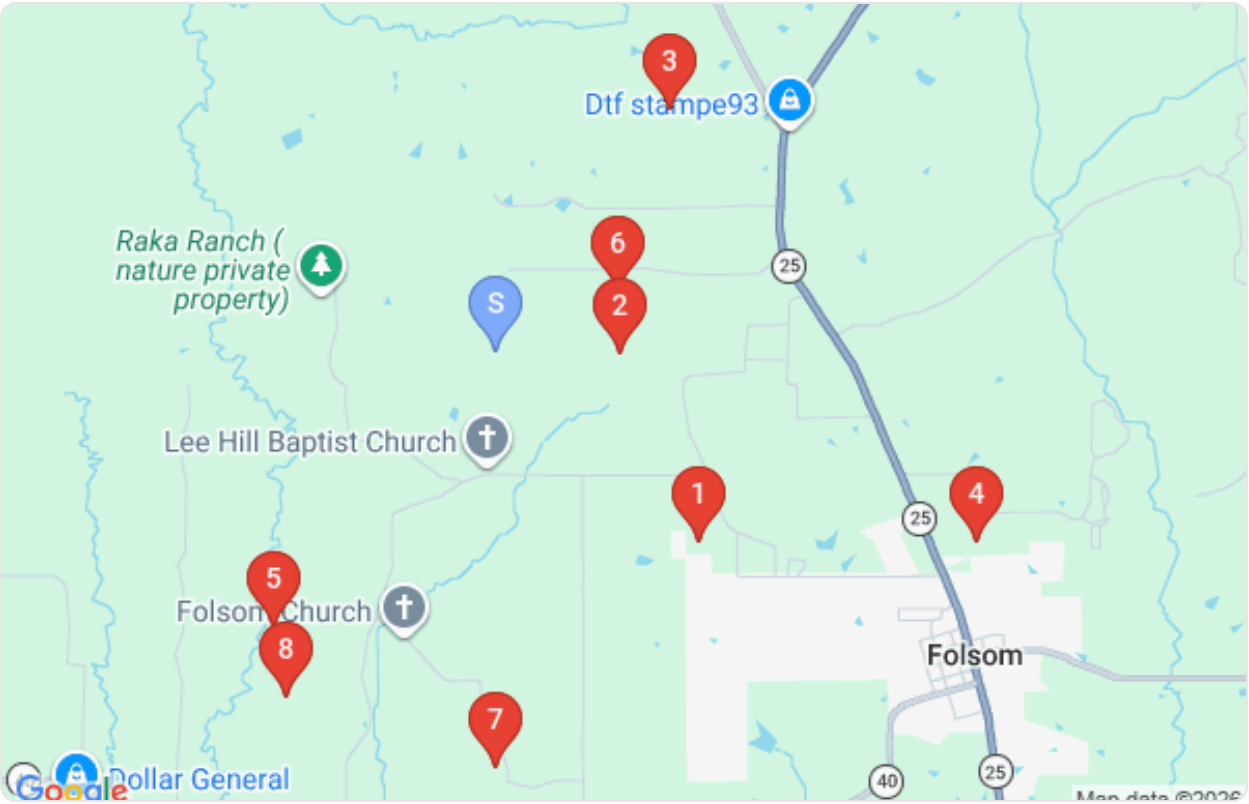

Subject property (blue pin) and comparable sales locations (red pins)

Comparable Property Details

1

SALE PRICE
$299,999

167 Keeneland Place Loop

1,784 sqft · Built 2022 · 1.4 mi · Sold 10/24/2025 · $168/sqft

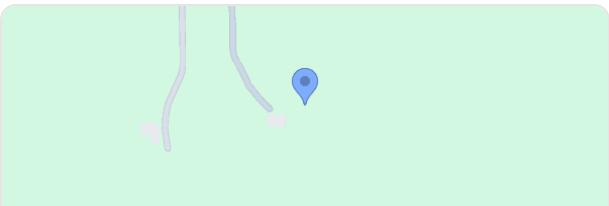

2

SALE PRICE
$245,000

297 DEERFIELD RD

1,672 sqft · Sold 12/23/2025 · $147/sqft

3

SALE PRICE
$280,000

11630 WILLIE GARRETT RD

1,480 sqft · Sold 12/2/2025 · $189/sqft

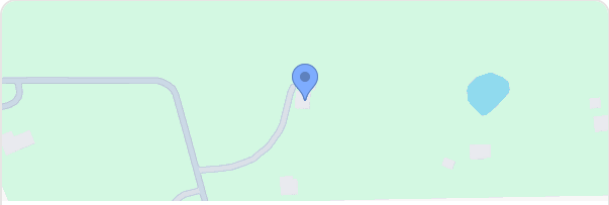

4

SALE PRICE
$420,000

345 VILLAGE FARMS LN

2,248 sqft · Sold 1/5/2026 · $187/sqft

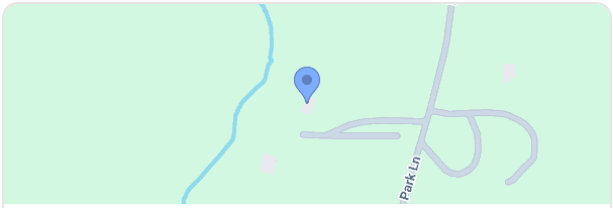

5

SALE PRICE
$275,000

Near FOLSOM, LA

1,546 sqft · Sold 10/16/2025 · $178/sqft

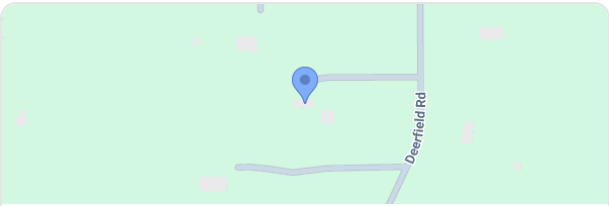

6

SALE PRICE
$480,000

130 DEERFIELD RD

2,148 sqft · Sold 11/19/2024 · $223/sqft

7

SALE PRICE
$181,558

11053 BAHAM RD

2,079 sqft · Sold 7/29/2024 · $87/sqft

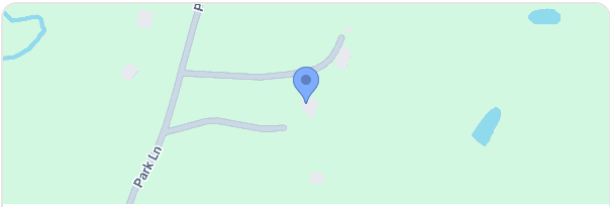

8

SALE PRICE
$265,000

Near FOLSOM, LA

1,441 sqft · Sold 2/14/2025 · $184/sqft

9

SALE PRICE

$169,000

83740 PIERRE CEMETARY RD

1,095 sqft · Sold 11/4/2024 · $154/sqft

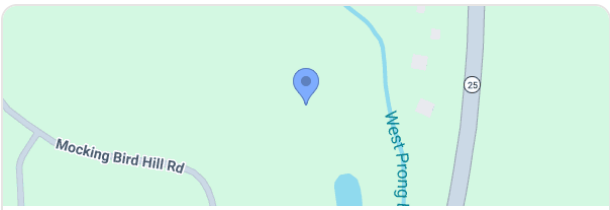

10

SALE PRICE

$230,000

87011 HIGHWAY 25

2,100 sqft · Sold 8/18/2025 · $110/sqft

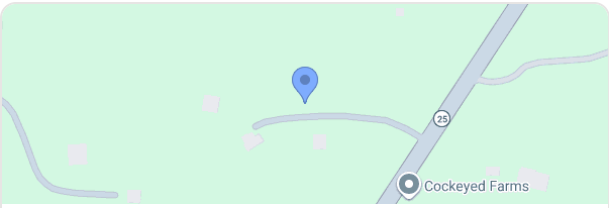

11

SALE PRICE

$349,000

85277 HIGHWAY 25

2,457 sqft · Sold 6/4/2025 · $142/sqft

12

SALE PRICE

$227,106

85185 HIGHWAY 25

1,725 sqft · Sold 11/27/2024 · $132/sqft

13

SALE PRICE

$115,000

83715 PIERRE CEMETARY RD

1,733 sqft · Sold 8/13/2025 · $66/sqft