# Property Tax Assessment Analysis

715 Rogers Way
Gallatin County · March 7, 2026



## 715 Rogers Way

Bozeman, MT 59718 · Parcel: 06-0798-02-4-17-84-5002

| | | | |
|---|---|---|---|
| Living Area | **1,908 sqft** | Lot Size | **3,180 sqft** |
| Bedrooms | **3** | Bathrooms | **2** |
| Year Built | **2023** | Property Type | **Townhouse** |

## Assessment Analysis

| | |
|---|---|
| County Appraised Value | **$631,200** |
| Market Value (Comps) | **$727,333** |
| Underassessment | **-$96,133** |

## Factors Considered in Our Analysis

The following factors were considered in our analysis of your property's value:

🏭 **Commercial/Industrial Zone**
8 commercial, 10 retail zone(s) within 1 mile (incl. Bridger Peaks Town Center)

⚡ **Power Lines**
4 high-voltage transmission line(s) within 1 mile

*Source: Census TIGERweb, FEMA National Flood Hazard Layer, OpenStreetMap*

## Valuation Analysis

The subject property at 715 Rogers Way, Bozeman, MT 59718 is a 1,908 sq ft Townhouse constructed in 2023, situated on a 3,180 sq ft lot.

A search of recent residential sales within 1.2 miles identified 4 comparable properties sold within the past 18 months. These properties range from 1,444 to 1,774 sq ft. The median estimated value per square foot among these comparables is $417. Note: An expanded search radius was used due to limited comparable sales in the immediate area.

**Applying the 25th percentile price of $381 per square foot to the subject property's 1,908 sq ft yields a market value estimate of approximately $727,333.**

The comparable properties used in this analysis are detailed in the table below. All properties are residential, sold within 18 months, and located within 1.2 miles of the subject property.

*Note: MT does not publicly disclose sale prices. Comparable values shown are estimated market values derived from property and market data.*

*Additionally, environmental or locational factors affecting this property may further impact its market value.*

# Comparable Property Analysis

| # | ADDRESS | DISTANCE | SQFT | YEAR | SALE DATE | SALE PRICE* | $/SQFT |
|---|---|---|---|---|---|---|---|
| **S** | **715 Rogers Way (Subject)** | **—** | **1,908** | **2023** | **—** | **—** | **—** |
| 1 | 1098 Ferguson Ave | 1.2 mi | 1,774 | 2014 | 1/7/2026 | $739,900 | $417 |
| 2 | 515 N 23rd Ave | 0.1 mi | 1,764 | 2002 | 12/19/2025 | $697,821 | $396 |
| 3 | 3513 Ravalli St | 1.1 mi | 1,772 | 1998 | 1/12/2026 | $599,000 | $338 |
| 4 | 123 N 10th Ave | 1.0 mi | 1,444 | 1900 | 1/7/2026 | $799,500 | $554 |

| MEDIAN PRICE | 25TH PCTL $/SQFT | SUBJECT SQFT | MARKET VALUE |
|---|---|---|---|
| $739,900 | $381 | 1,908 | $727,333 |

*Comparable sales within 1.2 miles, sold within the past 18 months. All transactions are arm's-length sales from public county records. *Estimated market value — actual sale price not publicly disclosed in this state.*

## Comparable Properties Map

*Subject property (blue pin) and comparable property locations (red pins)*

# Comparable Property Details



1

EST. MARKET VALUE

**$739,900**

### 1098 Ferguson Ave

1,774 sqft · Built 2014 · 1.2 mi · Sold 1/7/2026 · $417/sqft



2

SALE PRICE

**$697,821**

### 515 N 23rd Ave

1,764 sqft · Built 2002 · 0.1 mi · Sold 12/19/2025 · $396/sqft

3

EST. MARKET VALUE

**$599,000**

### 3513 Ravalli St

1,772 sqft · Built 1998 · 1.1 mi · Sold 1/12/2026 · $338/sqft



4

EST. MARKET VALUE

**$799,500**

### 123 N 10th Ave

1,444 sqft · Built 1900 · 1.0 mi · Sold 1/7/2026 · $554/sqft