# Property Tax Assessment Analysis

9 Shaw View Rd
Carroll County · March 7, 2026

**Data Note:** The recorded living area for this property (0 sqft) appears to be a data error. The market value shown is based on median comparable sale prices instead of price-per-square-foot calculations. We recommend verifying your home's square footage with your county assessor.

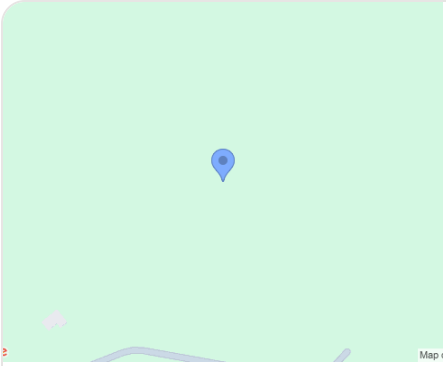

## 9 Shaw View Rd

Tuftonboro, NH 03816 · Parcel:
TUFT M:00060 B:000001 L:000028

| | | | |
|---|---|---|---|
| Living Area | **0 sqft** | Lot Size | **26.54 acres** |
| Bedrooms | **3** | Bathrooms | **2** |
| Year Built | **2022** | Property Type | **Residential** |

## Assessment Analysis

| | |
|---|---|
| County Assessed Value (capped) | **$570,686** |
| County Market Value | **$698,000** |
| Market Value (Comps) | **$583,333** |
| Overassessment | **$114,667** |

*Note: The most recent assessment data available for this property is from 2024. Current assessment values may differ. We recommend verifying your assessment with your county assessor before filing.*

### Valuation Analysis

The subject property at 9 Shaw View Rd, Tuftonboro, NH 03816 is a Residential constructed in 2022, situated on a 26.54-acre lot.

A search of recent residential sales within 1.5 miles identified 12 comparable properties sold within the past 24 months. These properties range from 1,809 to 3,436 sq ft. The median sale price per square foot among these comparables is $242. Note: An expanded search radius was used due to limited comparable sales in the immediate area.

**The county's current market value of $698,000 exceeds this estimate by $114,667 (16.4%). At an effective tax rate of 0.62%, this overassessment represents approximately $714 in excess annual property taxes.**

The comparable sales used in this analysis are detailed in the table below. All properties are residential, sold within 24 months, and located within 1.5 miles of the subject property.

## Comparable Sales Analysis

| # | ADDRESS | DISTANCE | SQFT | YEAR | SALE DATE | SALE PRICE | $/SQFT |
|---|---|---|---|---|---|---|---|
| **S** | **9 Shaw View Rd (Subject)** | **—** | **0** | **2022** | **—** | **—** | **—** |
| 1 | 23 OLD WOODS RD | — | 3,063 | — | 9/12/2025 | $637,533 | $208 |
| 2 | 172 LEDGE HILL RD | — | 3,168 | — | 9/30/2024 | $650,000 | $205 |
| 3 | 196 LEDGE HILL RD | — | 2,590 | — | 11/12/2024 | $750,000 | $290 |
| 4 | 131 DAME RD | — | 1,809 | — | 10/27/2025 | $510,000 | $282 |
| 5 | 7 HANSON RD | — | 1,881 | — | 10/30/2024 | $455,000 | $242 |
| 6 | 851 BEACH POND RD | — | 2,287 | — | 8/29/2025 | $535,000 | $234 |
| 7 | 122 MOUNTAIN RD | — | 2,063 | — | 8/21/2024 | $456,000 | $221 |
| 8 | 175 MOUNTAIN RD | — | 2,965 | — | 1/30/2026 | $465,000 | $157 |
| 9 | 39 VALLEY RD | — | 1,972 | — | 8/29/2025 | $579,933 | $294 |
| 10 | 18 BUTTERNUT LN | — | 1,937 | — | 10/2/2025 | $583,333 | $301 |
| 11 | 20 BUTTERNUT LN | — | 3,436 | — | 6/16/2025 | $685,000 | $199 |

| # | ADDRESS | DISTANCE | SQFT | YEAR | SALE DATE | SALE PRICE | $/SQFT |
|---|---|---|---|---|---|---|---|
| 12 | 59 OSSIPEE MOUNTAIN RD | — | 2,493 | — | 8/1/2025 | $648,000 | $260 |

| MEDIAN SALE PRICE | 25TH PCTL $/SQFT | SUBJECT SQFT | MARKET VALUE |
|---|---|---|---|
| **$583,333** | **$208** | **0** | **$583,333** |

*Comparable sales within 1.5 miles, sold within the past 24 months. All transactions are arm's-length sales from public county records.*

# Comparable Properties Map

*Subject property (blue pin) and comparable sales locations (red pins)*

# Comparable Property Details

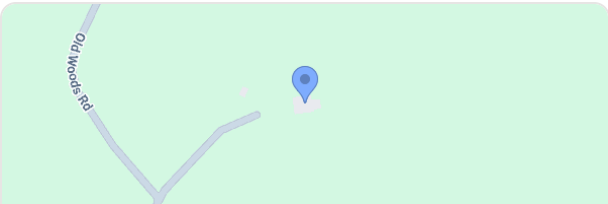


1

SALE PRICE

**$637,533**

### 23 OLD WOODS RD

3,063 sqft · Sold 9/12/2025 · $208/sqft

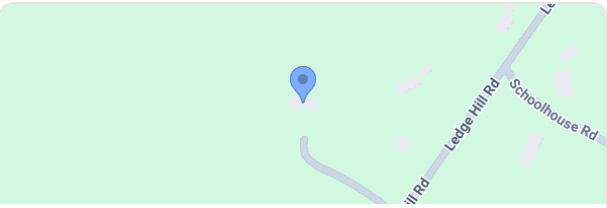


2

SALE PRICE

**$650,000**

### 172 LEDGE HILL RD

3,168 sqft · Sold 9/30/2024 · $205/sqft

3

SALE PRICE

**$750,000**

### 196 LEDGE HILL RD

2,590 sqft · Sold 11/12/2024 · $290/sqft

4

SALE PRICE

**$510,000**

### 131 DAME RD

1,809 sqft · Sold 10/27/2025 · $282/sqft

5

SALE PRICE

**$455,000**

### 7 HANSON RD

1,881 sqft · Sold 10/30/2024 · $242/sqft

6

SALE PRICE

**$535,000**

### 851 BEACH POND RD

2,287 sqft · Sold 8/29/2025 · $234/sqft

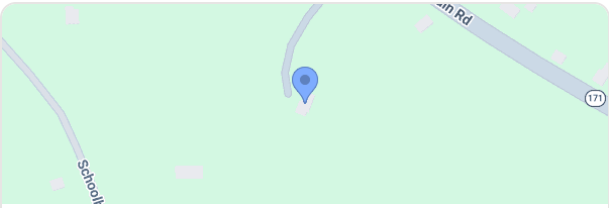


7

SALE PRICE

**$456,000**

### 122 MOUNTAIN RD

2,063 sqft · Sold 8/21/2024 · $221/sqft

8

SALE PRICE

**$465,000**

### 175 MOUNTAIN RD

2,965 sqft · Sold 1/30/2026 · $157/sqft

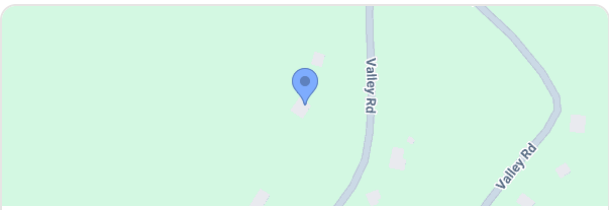


9

SALE PRICE

**$579,933**

### 39 VALLEY RD

1,972 sqft · Sold 8/29/2025 · $294/sqft

10

SALE PRICE

**$583,333**

### 18 BUTTERNUT LN

1,937 sqft · Sold 10/2/2025 · $301/sqft

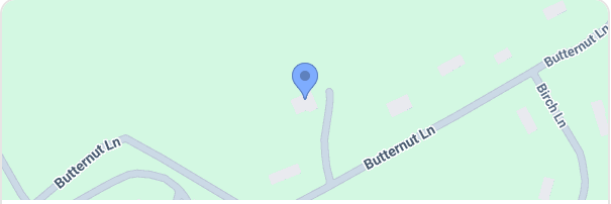


11

SALE PRICE

**$685,000**

### 20 BUTTERNUT LN

3,436 sqft · Sold 6/16/2025 · $199/sqft

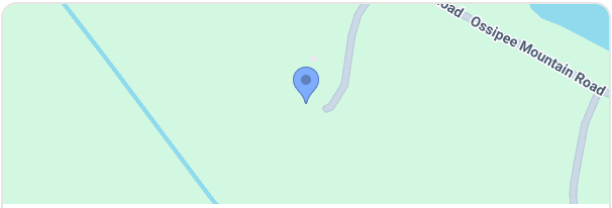


12

SALE PRICE

**$648,000**

### 59 OSSIPEE MOUNTAIN RD

2,493 sqft · Sold 8/1/2025 · $260/sqft