Property Tax Assessment Analysis

20 Dodge St
Hillsborough · March 7, 2026

20 Dodge St

Nashua, NH 03064 · Parcel: NASH M:135 L:00199

Living Area	2,250 sqft	Lot Size	9,888 sqft
Bedrooms	3	Bathrooms	1
Year Built	1960	Property Type	Residential

Assessment Analysis

County Appraised Value	$441,000
Market Value (Comps)	$419,733
Overassessment	$21,267

Environmental & Locational Factors

The following factors were detected within 1 mile of the subject property and may support a lower assessment:

🚂 **Railroad**
1 railroad(s) within 1 mile: Csx Transportation

🏭 **Commercial/Industrial Zone**
1 commercial zone(s) within 1 mile (incl. Harris Pond Office Park)

⚡ **Power Lines**
2 high-voltage transmission line(s) within 1 mile

Source: Census TIGERweb, FEMA National Flood Hazard Layer, OpenStreetMap

Valuation Analysis

The subject property at 20 Dodge St, Nashua, NH 03064 is a 2,250 sq ft Residential constructed in 1960, situated on a 9,888 sq ft lot.

A search of recent residential sales within 1.4 miles identified 10 comparable properties sold within the past 18 months. These properties range from 1,600 to 2,920 sq ft. The median sale price per square foot among these comparables is $251. Note: An expanded search radius was used due to limited comparable sales in the immediate area.

Applying the 25th percentile sale price of $187 per square foot to the subject property's 2,250 sq ft yields a market value estimate of approximately $419,733. The county's current appraised value of $441,000 exceeds this estimate by $21,267 (4.8%). At an effective tax rate of 1.51%, this overassessment represents approximately $322 in excess annual property taxes.

The comparable sales used in this analysis are detailed in the table below. All properties are residential, sold within 18 months, and located within 1.4 miles of the subject property.

Additionally, environmental or locational factors affecting this property may further impact its market value. These factors are detailed in the Filing Guide included with this packet.

Comparable Sales Analysis

#	ADDRESS	DISTANCE	SQFT	YEAR	SALE DATE	SALE PRICE	$/SQFT
S	**20 Dodge St (Subject)**	**—**	**2,250**	**1960**	**—**	**—**	**—**
1	31 Ashland St	1.4 mi	2,230	1947	12/23/2025	$450,000	$202
2	72 Wellington St	1.1 mi	2,291	1989	11/7/2025	$685,000	$299
3	11 Vespa Ln	0.9 mi	2,920	1966	1/23/2026	$475,000	$163
4	30 Burgess St	1.2 mi	1,897	1956	1/16/2026	$525,333	$277
5	Near Nashua, NH	0.1 mi	1,600	1955	12/11/2025	$440,000	$275
6	Near Nashua, NH	1.4 mi	2,066	1940	10/29/2025	$625,000	$303
7	Near Nashua, NH	1.0 mi	1,897	1961	12/2/2025	$477,000	$251
8	16 Cassandra Ln	0.3 mi	1,896	1984	12/29/2025	$460,000	$243
9	224 Manchester St	0.8 mi	2,838	1955	11/21/2025	$515,000	$181
10	71 Manchester St	1.2 mi	1,616	1945	11/21/2025	$200,000	$124

MEDIAN SALE PRICE	25TH PCTL $/SQFT	SUBJECT SQFT	MARKET VALUE
$477,000	**$187**	**2,250**	**$419,733**

Comparable sales within 1.4 miles, sold within the past 18 months. All transactions are arm's-length sales from public county records.

Comparable Properties Map

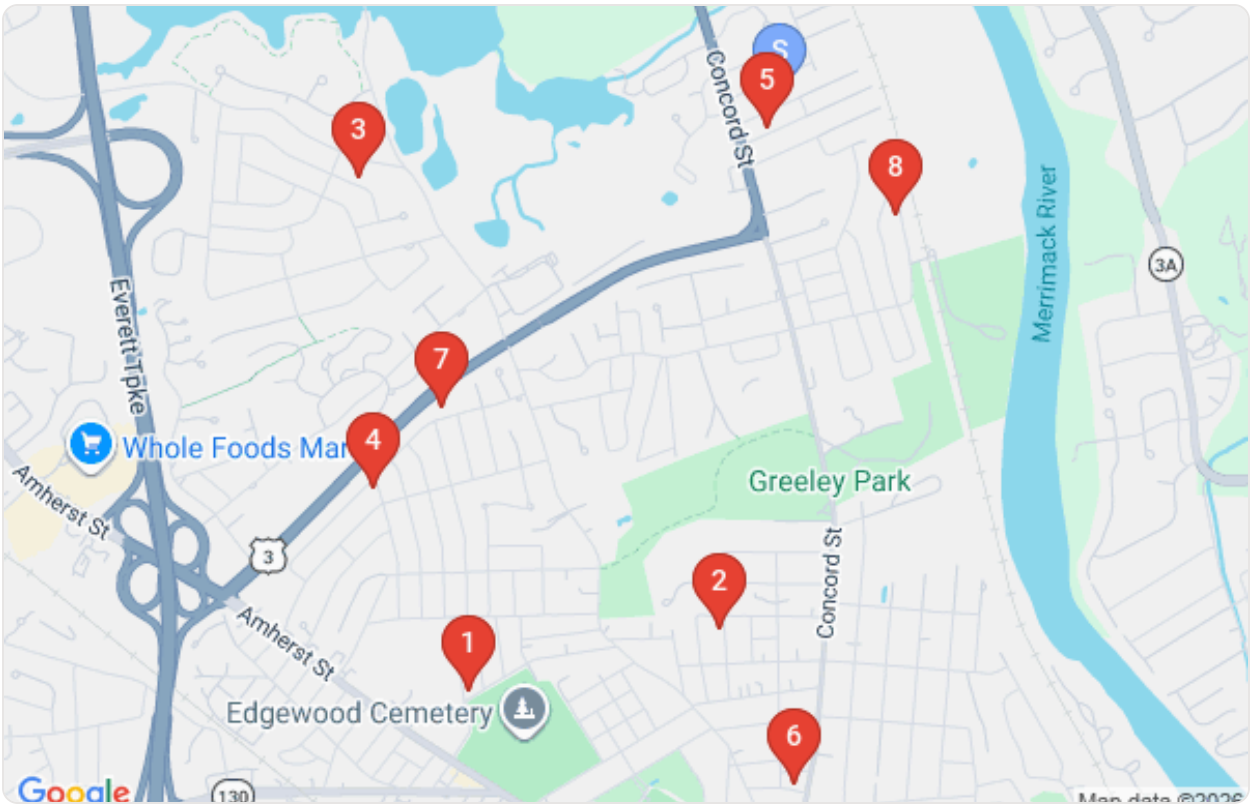

Subject property (blue pin) and comparable sales locations (red pins)

Comparable Property Details



1

SALE PRICE
$450,000

31 Ashland St

2,230 sqft · Built 1947 · 1.4 mi · Sold 12/23/2025 · $202/sqft

2

SALE PRICE
$685,000

72 Wellington St

2,291 sqft · Built 1989 · 1.1 mi · Sold 11/7/2025 · $299/sqft

3

SALE PRICE
$475,000

11 Vespa Ln

2,920 sqft · Built 1966 · 0.9 mi · Sold 1/23/2026 · $163/sqft



4

SALE PRICE
$525,333

30 Burgess St

1,897 sqft · Built 1956 · 1.2 mi · Sold 1/16/2026 · $277/sqft

5

SALE PRICE
$440,000

Near Nashua, NH

1,600 sqft · Built 1955 · 0.1 mi · Sold 12/11/2025 · $275/sqft

6

SALE PRICE
$625,000

Near Nashua, NH

2,066 sqft · Built 1940 · 1.4 mi · Sold 10/29/2025 · $303/sqft

7

SALE PRICE

$477,000

Near Nashua, NH

1,897 sqft · Built 1961 · 1.0 mi · Sold 12/2/2025 · $251/sqft

8

SALE PRICE

$460,000

16 Cassandra Ln

1,896 sqft · Built 1984 · 0.3 mi · Sold 12/29/2025 · $243/sqft

9

SALE PRICE

$515,000

224 Manchester St

2,838 sqft · Built 1955 · 0.8 mi · Sold 11/21/2025 · $181/sqft



10

SALE PRICE

$200,000

71 Manchester St

1,616 sqft · Built 1945 · 1.2 mi · Sold 11/21/2025 · $124/sqft