Property Tax Assessment Analysis

319 E Spring St
Harrison County · March 7, 2026

319 E Spring St

Cadiz, OH 43907 · Parcel: 05-0002272.000

Living Area	**1,206 sqft**	Lot Size	**13,449 sqft**
Bathrooms	**3**	Year Built	**1984**
Property Type	**Single Family**		

Assessment Analysis

County Appraised Value	**$94,940**
Assessment Ratio (OH)	**35%**
Taxable Assessed Value	**$33,229**
Market Value (Comps)	**$134,882**
Underassessment	**-$39,942**

Valuation Analysis

The subject property at 319 E Spring St, Cadiz, OH 43907 is a 1,206 sq ft Single Family constructed in 1984, situated on a 13,449 sq ft lot.

A search of recent residential sales in the surrounding area identified 15 comparable properties sold within the past 24 months. These properties range from 795 to 1,508 sq ft. The median sale price per square foot among these comparables is $123. Note: An expanded search radius was used due to limited comparable sales in the immediate area.

Applying the 25th percentile sale price of $112 per square foot to the subject property's 1,206 sq ft yields a market value estimate of approximately $134,882.

The comparable sales used in this analysis are detailed in the table below. All properties are residential, sold within 24 months, and located in the surrounding area of the subject property.

Comparable Sales Analysis

#	ADDRESS	DISTANCE	SQFT	YEAR	SALE DATE	SALE PRICE	$/SQFT
S	**319 E Spring St (Subject)**	**—**	**1,206**	**1984**	**—**	**—**	**—**
1	207 MAPLEWOOD DR	—	1,120	—	1/5/2026	$120,455	$108
2	647 KERR AVE	—	1,112	—	12/10/2025	$150,000	$135
3	254 S BUFFALO ST	—	1,036	—	1/14/2026	$155,000	$150
4	258 MAPLEWOOD DR	—	1,136	—	5/30/2025	$140,000	$123
5	412 PARK AVE	—	1,040	—	12/16/2025	$120,000	$115
6	156 LOCUST LN	—	1,344	—	7/24/2025	$168,000	$125
7	413 SAINT CLAIR AVE	—	1,245	—	2/12/2026	$151,500	$122
8	103 GREENVIEW DR	—	1,280	—	6/6/2025	$158,000	$123
9	210 HARRISON AVE	—	988	—	10/15/2025	$107,000	$108
10	647 MCCREADY AVE	—	1,008	—	6/4/2025	$142,000	$141
11	105 BUTTERNUT LN	—	1,508	—	9/5/2025	$264,000	$175

#	ADDRESS	DISTANCE	SQFT	YEAR	SALE DATE	SALE PRICE	$/SQFT
12	155 MARTIN AVE	—	1,212	—	11/20/2024	$131,000	$108
13	113 JONES AVE	—	1,098	—	3/14/2025	$145,000	$132
14	760 E MARKET ST	—	1,226	—	3/17/2025	$97,000	$79
15	508 LINCOLN AVE	—	795	—	11/13/2025	$125,000	$157

MEDIAN SALE PRICE	25TH PCTL $/SQFT	SUBJECT SQFT	MARKET VALUE
$142,000	**$112**	**1,206**	**$134,882**

Comparable sales in the surrounding area, sold within the past 24 months. All transactions are arm's-length sales from public county records.

Comparable Properties Map

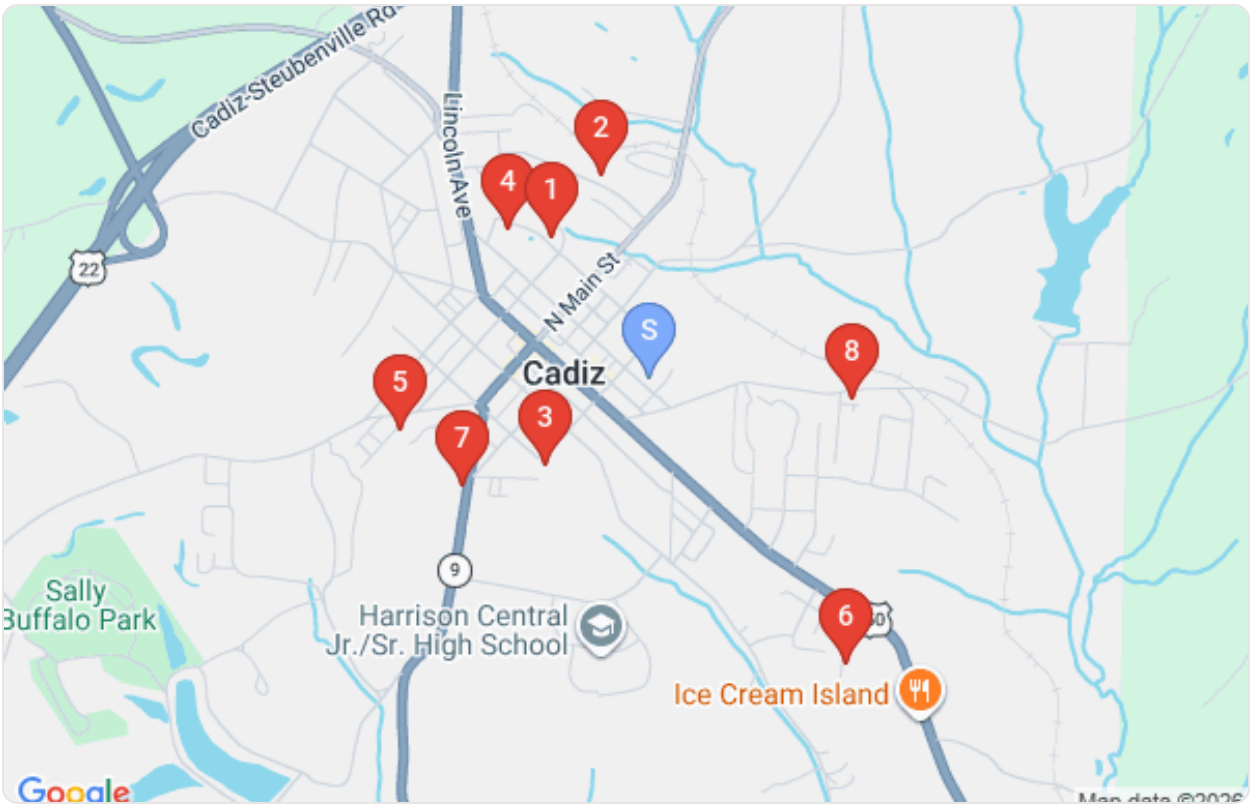

Subject property (blue pin) and comparable sales locations (red pins)

Comparable Property Details

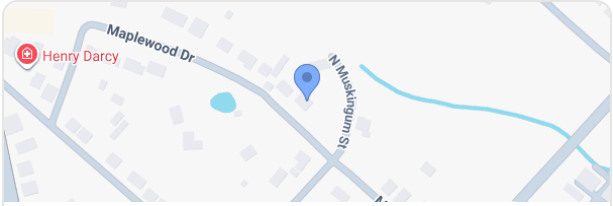

1

SALE PRICE

$120,455

207 MAPLEWOOD DR

1,120 sqft · Sold 1/5/2026 · $108/sqft



2

SALE PRICE

$150,000

647 KERR AVE

1,112 sqft · Sold 12/10/2025 · $135/sqft



3

SALE PRICE

$155,000

254 S BUFFALO ST

1,036 sqft · Sold 1/14/2026 · $150/sqft

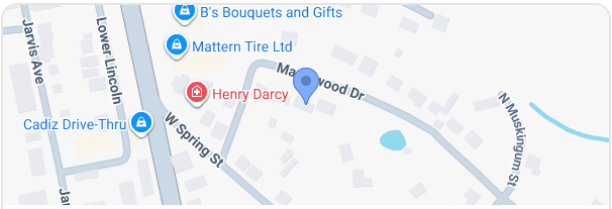

4

SALE PRICE

$140,000

258 MAPLEWOOD DR

1,136 sqft · Sold 5/30/2025 · $123/sqft



5

SALE PRICE

$120,000

412 PARK AVE

1,040 sqft · Sold 12/16/2025 · $115/sqft

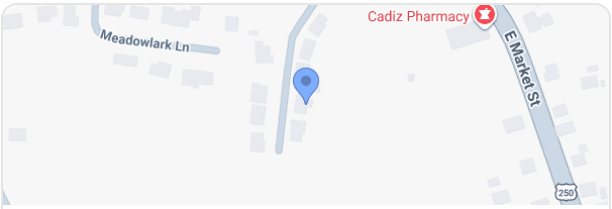

6

SALE PRICE

$168,000

156 LOCUST LN

1,344 sqft · Sold 7/24/2025 · $125/sqft

7

SALE PRICE

$151,500

413 SAINT CLAIR AVE

1,245 sqft · Sold 2/12/2026 · $122/sqft

8

SALE PRICE

$158,000

103 GREENVIEW DR

1,280 sqft · Sold 6/6/2025 · $123/sqft



9

SALE PRICE
$107,000

210 HARRISON AVE

988 sqft · Sold 10/15/2025 · $108/sqft

10

SALE PRICE
$142,000

647 MCCREADY AVE

1,008 sqft · Sold 6/4/2025 · $141/sqft



11

SALE PRICE
$264,000

105 BUTTERNUT LN

1,508 sqft · Sold 9/5/2025 · $175/sqft



12

SALE PRICE
$131,000

155 MARTIN AVE

1,212 sqft · Sold 11/20/2024 · $108/sqft



13

SALE PRICE
$145,000

113 JONES AVE

1,098 sqft · Sold 3/14/2025 · $132/sqft

14

SALE PRICE
$97,000

760 E MARKET ST

1,226 sqft · Sold 3/17/2025 · $79/sqft



15

SALE PRICE
$125,000

508 LINCOLN AVE

795 sqft · Sold 11/13/2025 · $157/sqft