Property Tax Assessment Analysis

16361 Taylor Rd
Skagit County · March 7, 2026

16361 Taylor Rd

Mount Vernon, WA 98273 · Parcel: 340530-1-008-0009

Living Area	**1,480 sqft**	Lot Size	**2.80 acres**
Bedrooms	**2**	Bathrooms	**1**
Year Built	**1961**	Property Type	**Residential**

Assessment Analysis

County Appraised Value	**$294,600**
Market Value (Comps)	**$592,158**
Underassessment	**-$297,558**

Note: The most recent assessment data available for this property is from 2024. Current assessment values may differ. We recommend verifying your assessment with your county assessor before filing.

Factors Considered in Our Analysis

The following factors were considered in our analysis of your property's value:

🏭 **Commercial/Industrial Zone**
1 industrial zone(s) within 1 mile (incl. Northwest Pipeline Group)

⚡ **Power Lines**
6 high-voltage transmission line(s) within 1 mile

Source: Census TIGERweb, FEMA National Flood Hazard Layer, OpenStreetMap

Valuation Analysis

The subject property at 16361 Taylor Rd, Mount Vernon, WA 98273 is a 1,480 sq ft Residential constructed in 1961, situated on a 2.80-acre lot.

A search of recent residential sales in the surrounding area identified 13 comparable properties sold within the past 24 months. These properties range from 1,080 to 1,928 sq ft. The median sale price per square foot among these comparables is $412. Note: An expanded search radius was used due to limited comparable sales in the immediate area.

Applying the 25th percentile sale price of $400 per square foot to the subject property's 1,480 sq ft yields a market value estimate of approximately $592,158.

The comparable sales used in this analysis are detailed in the table below. All properties are residential, sold within 24 months, and located in the surrounding area of the subject property.

Additionally, environmental or locational factors affecting this property may further impact its market value.

Comparable Sales Analysis

#	ADDRESS	DISTANCE	SQFT	YEAR	SALE DATE	SALE PRICE	$/SQFT
S	**16361 Taylor Rd (Subject)**	**—**	**1,480**	**1961**	**—**	**—**	**—**
1	16694 MOUNTAIN VIEW RD	—	1,492	—	12/19/2025	$604,000	$405
2	24955 ELK DR	—	1,865	—	8/11/2025	$772,500	$414
3	18092 MONTBORNE RD	—	1,760	—	2/6/2026	$620,000	$352
4	13633 STATE ROUTE 9	—	1,848	—	1/5/2026	$915,000	$495
5	17127 ZOYA DR	—	1,450	—	8/19/2025	$570,000	$393
6	22207 AMICK RD	—	1,560	—	4/25/2025	$640,000	$410
7	3534 S WOODLAND DR	—	1,872	—	3/7/2025	$749,000	$400
8	4208 SENECA DR	—	1,472	—	12/19/2025	$525,000	$357
9	23588 COOMA PL	—	1,689	—	7/11/2025	$750,000	$444
10	23490 PRINGLE ST	—	1,080	—	7/18/2025	$480,000	$444

#	ADDRESS	DISTANCE	SQFT	YEAR	SALE DATE	SALE PRICE	$/SQFT
11	24210 NOOKACHAMP HILLS DR	—	1,928	—	7/31/2025	$795,000	$412
12	23319 PRINGLE ST	—	1,248	—	11/14/2025	$555,000	$445
13	12761 E LAKE DR	—	1,434	—	9/27/2024	$680,000	$474

MEDIAN SALE PRICE	25TH PCTL $/SQFT	SUBJECT SQFT	MARKET VALUE
$640,000	**$400**	**1,480**	**$592,158**

Comparable sales in the surrounding area, sold within the past 24 months. All transactions are arm's-length sales from public county records.

Comparable Properties Map

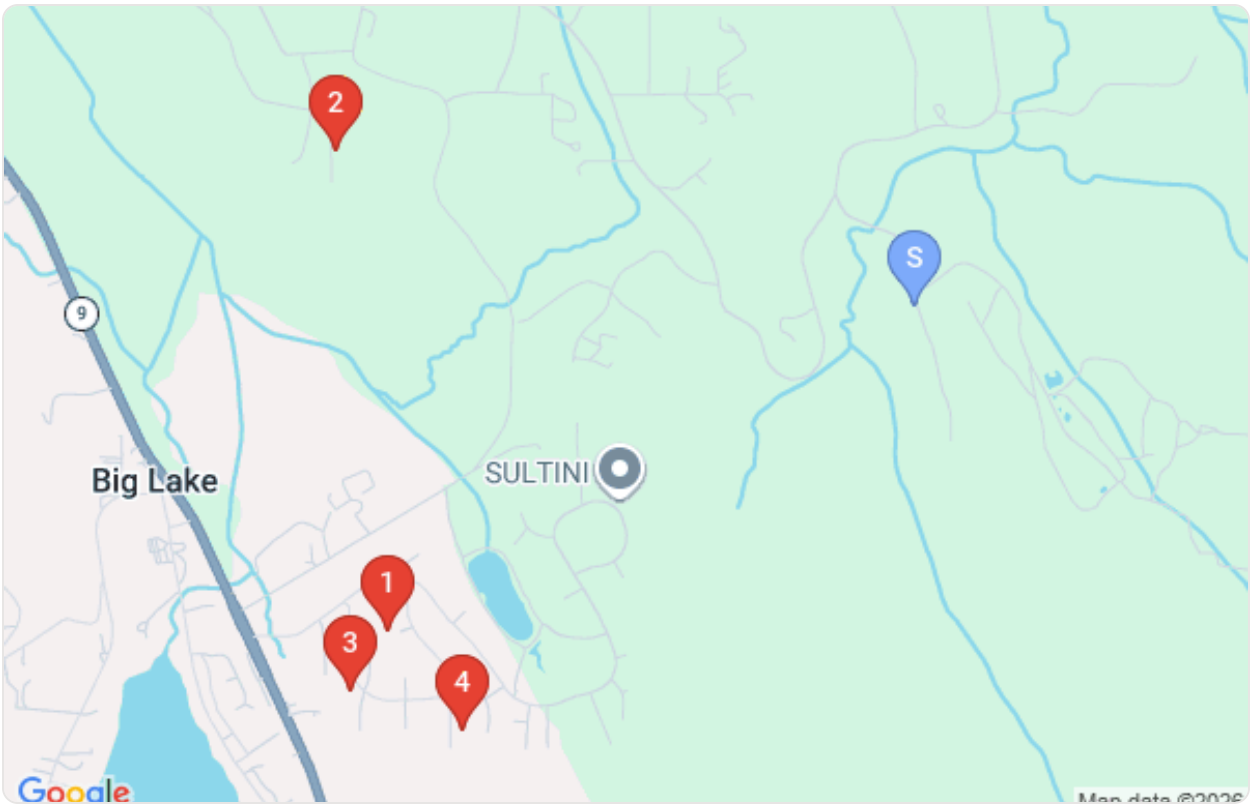

Subject property (blue pin) and comparable sales locations (red pins)

Comparable Property Details



1

SALE PRICE
$604,000

16694 MOUNTAIN VIEW RD

1,492 sqft · Sold 12/19/2025 · $405/sqft

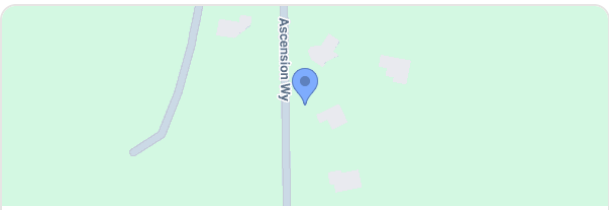

2

SALE PRICE
$772,500

24955 ELK DR

1,865 sqft · Sold 8/11/2025 · $414/sqft

3

SALE PRICE
$620,000

18092 MONTBORNE RD

1,760 sqft · Sold 2/6/2026 · $352/sqft



4

SALE PRICE
$915,000

13633 STATE ROUTE 9

1,848 sqft · Sold 1/5/2026 · $495/sqft

5

SALE PRICE
$570,000

17127 ZOYA DR

1,450 sqft · Sold 8/19/2025 · $393/sqft

6

SALE PRICE
$640,000

22207 AMICK RD

1,560 sqft · Sold 4/25/2025 · $410/sqft

7

SALE PRICE
$749,000

3534 S WOODLAND DR

1,872 sqft · Sold 3/7/2025 · $400/sqft

8

SALE PRICE
$525,000

4208 SENECA DR

1,472 sqft · Sold 12/19/2025 · $357/sqft

9

SALE PRICE
$750,000

23588 COOMA PL

1,689 sqft · Sold 7/11/2025 · $444/sqft

10

SALE PRICE
$480,000

23490 PRINGLE ST

1,080 sqft · Sold 7/18/2025 · $444/sqft

11

SALE PRICE
$795,000

24210 NOOKACHAMP HILLS DR

1,928 sqft · Sold 7/31/2025 · $412/sqft

12

SALE PRICE
$555,000

23319 PRINGLE ST

1,248 sqft · Sold 11/14/2025 · $445/sqft

13

SALE PRICE

$680,000

12761 E LAKE DR

1,434 sqft · Sold 9/27/2024 · $474/sqft