Property Tax Assessment Analysis

20 Waterfront Way
Lewis County · March 7, 2026

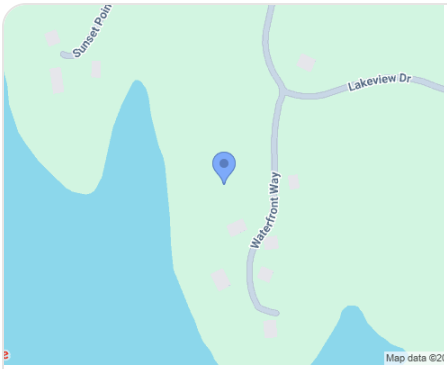

20 Waterfront Way

Horner, WV 26372 · Parcel: 21-06- 9J-0035.0010

Living Area	6,184 sqft	Lot Size	31,363 sqft
Bedrooms	5	Bathrooms	4
Year Built	2006	Property Type	Residential

Assessment Analysis

County Appraised Value	$641,500
Assessment Ratio (WV)	60%
Taxable Assessed Value	$384,900
Market Value (Comps)	$467,198
Overassessment	**$174,302**

Valuation Analysis

The subject property at 20 Waterfront Way, Horner, WV 26372 is a 6,184 sq ft Residential constructed in 2006, situated on a 31,363 sq ft lot.

A search of recent residential sales within 1 mile identified 11 comparable properties sold within the past 24 months. These properties range from 1,390 to 5,536 sq ft. The median sale price per square foot among these comparables is $78. Note: An expanded search radius was used due to limited comparable sales in the immediate area.

Applying the 25th percentile sale price of $76 per square foot to the subject property's 6,184 sq ft yields a market value estimate of approximately $467,198. The county's current appraised value of $641,500 exceeds this estimate by $174,302 (27.2%). At an effective tax rate of 0.57%, this overassessment represents approximately $992 in excess annual property taxes.

The comparable sales used in this analysis are detailed in the table below. All properties are residential, sold within 24 months, and located within 1 mile of the subject property.

Comparable Sales Analysis

#	ADDRESS	DISTANCE	SQFT	YEAR	SALE DATE	SALE PRICE	$/SQFT
S	**20 Waterfront Way (Subject)**	**—**	**6,184**	**2006**	**—**	**—**	**—**
1	581 GASTON MANOR RD	—	5,536	—	5/17/2024	$515,000	$93
2	5111 GEORGETOWN RD	—	2,840	—	1/6/2026	$204,000	$72
3	2041 OLD ROUTE 33	—	1,456	—	9/15/2025	$110,000	$76
4	85 HINZMAN ST	—	2,528	—	8/29/2025	$195,000	$77
5	1415 BERLIN RD	—	1,924	—	4/28/2025	$210,000	$109
6	114 WATERVIEW DR	—	1,680	—	2/7/2025	$235,000	$140
7	1598 BERLIN RD	—	2,688	—	4/17/2024	$210,000	$78
8	512 CENTER AVE	—	3,432	—	5/29/2025	$260,000	$76
9	277 LUNSFORD ST	—	1,640	—	8/26/2024	$170,000	$104
10	62 LUNSFORD ST	—	2,334	—	7/8/2024	$188,000	$81

#	ADDRESS	DISTANCE	SQFT	YEAR	SALE DATE	SALE PRICE	$/SQFT
11	58 SAULS RUN RD	—	1,390	—	5/29/2024	$100,000	$72

MEDIAN SALE PRICE	25TH PCTL $/SQFT	SUBJECT SQFT	MARKET VALUE
$204,000	**$76**	**6,184**	**$467,198**

Comparable sales within 1 mile, sold within the past 24 months. All transactions are arm's-length sales from public county records.

Comparable Properties Map

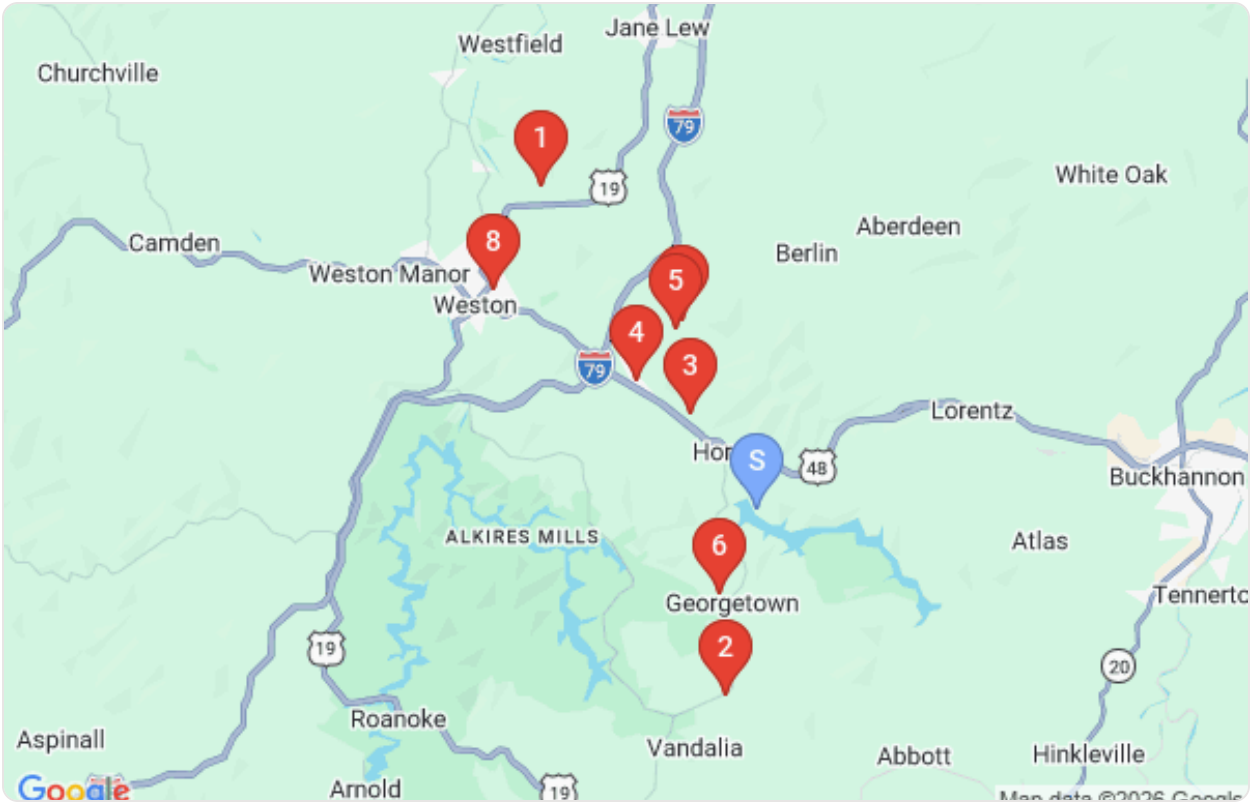

Subject property (blue pin) and comparable sales locations (red pins)

Comparable Property Details

1

SALE PRICE
$515,000

581 GASTON MANOR RD

5,536 sqft · Sold 5/17/2024 · $93/sqft

2

SALE PRICE
$204,000

5111 GEORGETOWN RD

2,840 sqft · Sold 1/6/2026 · $72/sqft

3

SALE PRICE
$110,000

2041 OLD ROUTE 33

1,456 sqft · Sold 9/15/2025 · $76/sqft

4

SALE PRICE
$195,000

85 HINZMAN ST

2,528 sqft · Sold 8/29/2025 · $77/sqft

5

SALE PRICE
$210,000

1415 BERLIN RD

1,924 sqft · Sold 4/28/2025 · $109/sqft

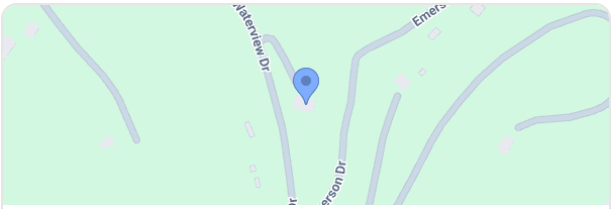

6

SALE PRICE
$235,000

114 WATERVIEW DR

1,680 sqft · Sold 2/7/2025 · $140/sqft

7

SALE PRICE
$210,000

1598 BERLIN RD

2,688 sqft · Sold 4/17/2024 · $78/sqft

8

SALE PRICE
$260,000

512 CENTER AVE

3,432 sqft · Sold 5/29/2025 · $76/sqft



9

SALE PRICE

$170,000

277 LUNSFORD ST

1,640 sqft · Sold 8/26/2024 · $104/sqft

10

SALE PRICE

$188,000

62 LUNSFORD ST

2,334 sqft · Sold 7/8/2024 · $81/sqft

11

SALE PRICE

$100,000

58 SAULS RUN RD

1,390 sqft · Sold 5/29/2024 · $72/sqft