Property Tax Assessment Analysis

115 Pine Hill Trail
Lincoln County · March 6, 2026

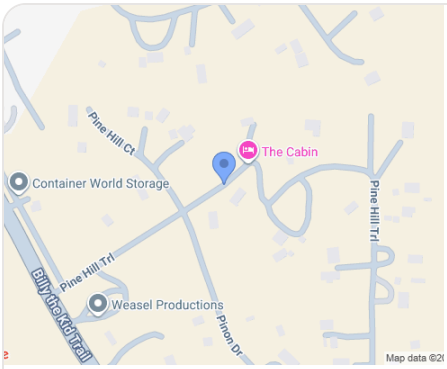

115 Pine Hill Trail

Alto, NM 88312 · Parcel: 4-072-058-216-483

Living Area	1,672 sqft	Lot Size	16,706 sqft
Bedrooms	3	Bathrooms	2
Year Built	1985	Property Type	Single Family Residential (Assumed)

Assessment Analysis

County Appraised Value	$147,747
Assessment Ratio (NM)	33.3%
Taxable Assessed Value	$49,244
Market Value (Comps)	$385,898
Underassessment	-$238,151

Valuation Analysis

The subject property at 115 Pine Hill Trail, Alto, NM 88312 is a 1,672 sq ft Single Family Residential (Assumed) constructed in 1985, situated on a 16,706 sq ft lot.

A search of recent residential sales in the surrounding area identified 12 comparable properties sold within the past 24 months. These properties range from 1,176 to 1,963 sq ft. The median estimated value per square foot among these comparables is $249. Note: An expanded search radius was used due to limited comparable sales in the immediate area.

Applying the 25th percentile price of $231 per square foot to the subject property's 1,672 sq ft yields a market value estimate of approximately $385,898.

The comparable properties used in this analysis are detailed in the table below. All properties are residential, sold within 24 months, and located in the surrounding area of the subject property.

Note: NM does not publicly disclose sale prices. Comparable values shown are estimated market values derived from property and market data.

Comparable Property Analysis

#	ADDRESS	DISTANCE	SQFT	YEAR	SALE DATE	EST. MARKET VALUE	$/SQFT
S	**115 Pine Hill Trail (Subject)**	**—**	**1,672**	**1985**	**—**	**—**	**—**
1	217 SUN VALLEY RD	—	1,464	—	11/17/2025	$340,000	$232
2	197 SUN VALLEY RD	—	1,406	—	8/14/2025	$350,000	$249
3	401 ENCHANTED FOREST LOOP	—	1,435	—	1/2/2026	$325,000	$226
4	540 ENCHANTED FOREST LOOP	—	1,824	—	2/4/2026	$360,000	$197
5	131 SNOW PARK RD	—	1,176	—	1/22/2025	$360,000	$306
6	112 ELK HORN	—	1,963	—	9/13/2024	$465,000	$237
7	156 SNOWFLAKE RD	—	1,767	—	9/24/2024	$493,700	$279
8	201 SUN VALLEY RD	—	1,475	—	10/15/2024	$385,000	$261

#	ADDRESS	DISTANCE	SQFT	YEAR	SALE DATE	EST. MARKET VALUE	$/SQFT
9	121 BIG SKY LN	—	1,567	—	10/11/2024	$425,000	$271
10	117 WINTER PARK RD	—	1,680	—	9/18/2024	$564,000	$336
11	137 PINE HILL TRL	—	1,224	—	11/1/2024	$305,000	$249
12	145 PINE HILL TRL	—	1,638	—	4/17/2024	$300,000	$183

MEDIAN EST. VALUE	25TH PCTL $/SQFT	SUBJECT SQFT	MARKET VALUE
$360,000	**$231**	**1,672**	**$385,898**

Comparable properties in the surrounding area, sold within the past 24 months. Values shown are estimated market values — NM does not publicly disclose sale prices.

Comparable Properties Map

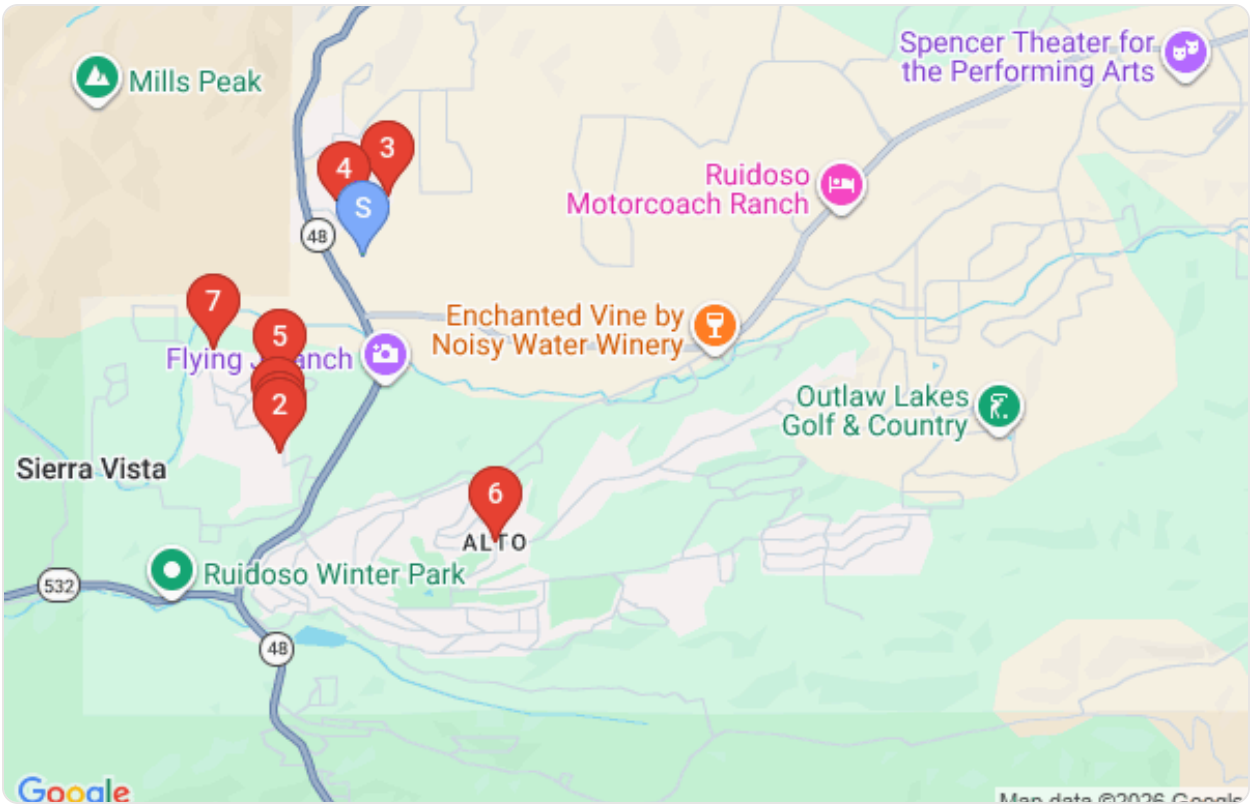

Subject property (blue pin) and comparable property locations (red pins)

Comparable Property Details

1

EST. MARKET VALUE
$340,000

217 SUN VALLEY RD

1,464 sqft · Sold 11/17/2025 · $232/sqft

2

EST. MARKET VALUE
$350,000

197 SUN VALLEY RD

1,406 sqft · Sold 8/14/2025 · $249/sqft

3

EST. MARKET VALUE
$325,000

401 ENCHANTED FOREST LOOP

1,435 sqft · Sold 1/2/2026 · $226/sqft

4

EST. MARKET VALUE
$360,000

540 ENCHANTED FOREST LOOP

1,824 sqft · Sold 2/4/2026 · $197/sqft

5

EST. MARKET VALUE
$360,000

131 SNOW PARK RD

1,176 sqft · Sold 1/22/2025 · $306/sqft

6

EST. MARKET VALUE
$465,000

112 ELK HORN

1,963 sqft · Sold 9/13/2024 · $237/sqft

7

EST. MARKET VALUE
$493,700

156 SNOWFLAKE RD

1,767 sqft · Sold 9/24/2024 · $279/sqft

8

EST. MARKET VALUE
$385,000

201 SUN VALLEY RD

1,475 sqft · Sold 10/15/2024 · $261/sqft



9

EST. MARKET VALUE

$425,000

121 BIG SKY LN

1,567 sqft · Sold 10/11/2024 · $271/sqft

10

EST. MARKET VALUE

$564,000

117 WINTER PARK RD

1,680 sqft · Sold 9/18/2024 · $336/sqft

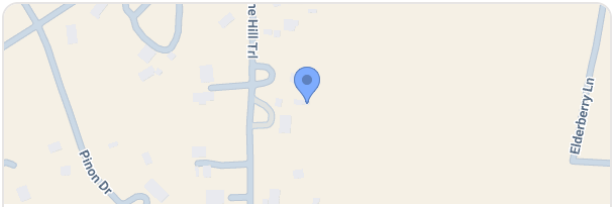

11

EST. MARKET VALUE

$305,000

137 PINE HILL TRL

1,224 sqft · Sold 11/1/2024 · $249/sqft

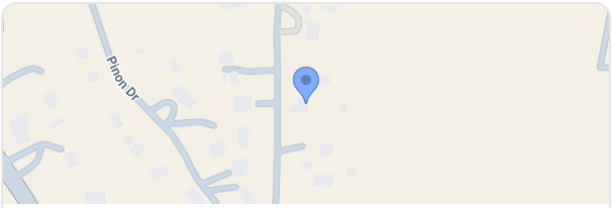

12

EST. MARKET VALUE

$300,000

145 PINE HILL TRL

1,638 sqft · Sold 4/17/2024 · $183/sqft