Property Tax Assessment Analysis

8120 Milo Fields Ln
Collin County · March 5, 2026

8120 Milo Fields Ln

Mckinney, TX 75071 · Parcel: R-12808-00D-0080-1

Living Area	**2,338 sqft**	Lot Size	**6,307 sqft**
Year Built	**2023**	Property Type	**Residential**

Assessment Analysis

County Appraised Value	**$593,304**
Market Value (Comps)	**$439,493**
Overassessment	**$153,811**

Environmental & Locational Factors

The following factors were detected within 1 mile of the subject property and may support a lower assessment:

🏭 **Commercial/Industrial Zone**
1 retail zone(s) within 1 mile

Source: Census TIGERweb, FEMA National Flood Hazard Layer, OpenStreetMap

Valuation Analysis

The subject property at 8120 Milo Fields Ln, Mckinney, TX 75071 is a 2,338 sq ft Residential constructed in 2023, situated on a 6,307 sq ft lot.

A search of recent residential sales within 0.6 miles identified 13 comparable properties sold within the past 24 months. These properties range from 1,479 to 3,369 sq ft. The median estimated value per square foot among these comparables is $210. Note: An expanded search radius was used due to limited comparable sales in the immediate area.

Applying the 25th percentile price of $188 per square foot to the subject property's 2,338 sq ft yields a market value estimate of approximately $439,493. The county's current appraised value of $593,304 exceeds this estimate by $153,811 (25.9%). At an effective tax rate of 1.10%, this overassessment represents approximately $1,697 in excess annual property taxes.

The comparable properties used in this analysis are detailed in the table below. All properties are residential, sold within 24 months, and located within 0.6 miles of the subject property.

Note: TX does not publicly disclose sale prices. Comparable values shown are estimated market values derived from property and market data.

Additionally, environmental or locational factors affecting this property may further impact its market value. These factors are detailed in the Filing Guide included with this packet.

Comparable Property Analysis

#	ADDRESS	DISTANCE	SQFT	YEAR	SALE DATE	SALE PRICE*	$/SQFT
S	**8120 Milo Fields Ln (Subject)**	**—**	**2,338**	**2023**	**—**	**—**	**—**
1	3113 Cottonwood Ln	0.6 mi	3,369	2023	1/11/2026	$633,299	$188
2	8463 Estero St	0.6 mi	1,987	2024	12/22/2025	$424,499	$214
3	8133 LEGACY TRL	—	2,144	—	3/19/2024	$561,825	$262
4	7801 WEATHERFORD TRCE	—	3,127	—	4/3/2024	$670,700	$214
5	7909 CHURCHILL ST	—	1,479	—	4/18/2024	$348,580	$236
6	8009 GREEN HERON DR	—	2,010	—	1/1/2026	$372,000	$185
7	8424 GRAY SQUIRREL LN	—	2,010	—	10/8/2025	$350,000	$174

#	ADDRESS	DISTANCE	SQFT	YEAR	SALE DATE	SALE PRICE*	$/SQFT
8	7905 LEWISVILLE LN	—	2,011	—	2/1/2026	$475,000	$236
9	6805 PIN CHERRY AVE	—	2,067	—	12/21/2025	$391,999	$190
10	1705 WESTERN HEMLOCK WAY	—	2,065	—	12/1/2025	$379,000	$184
11	8901 BRANDY BRANCH WAY	—	2,608	—	8/13/2025	$540,000	$207
12	713 SHALLOW CREEK WAY	—	2,724	—	1/14/2026	$571,368	$210
13	204 HABITAT TRL	—	2,335	—	7/21/2025	$580,000	$248

MEDIAN PRICE	25TH PCTL $/SQFT	SUBJECT SQFT	MARKET VALUE
$475,000	**$188**	**2,338**	**$439,493**

*Comparable sales within 0.6 miles, sold within the past 24 months. All transactions are arm's-length sales from public county records. *Estimated market value — actual sale price not publicly disclosed in this state.*

Comparable Properties Map

Subject property (blue pin) and comparable property locations (red pins)

Comparable Property Details



1

EST. MARKET VALUE
$633,299

3113 Cottonwood Ln

3,369 sqft · Built 2023 · 0.6 mi · Sold 1/11/2026 · $188/sqft

2

EST. MARKET VALUE
$424,499

8463 Estero St

1,987 sqft · Built 2024 · 0.6 mi · Sold 12/22/2025 · $214/sqft



3

SALE PRICE
$561,825

8133 LEGACY TRL

2,144 sqft · Sold 3/19/2024 · $262/sqft



4

SALE PRICE
$670,700

7801 WEATHERFORD TRCE

3,127 sqft · Sold 4/3/2024 · $214/sqft

5

SALE PRICE
$348,580

7909 CHURCHILL ST

1,479 sqft · Sold 4/18/2024 · $236/sqft

6

EST. MARKET VALUE
$372,000

8009 GREEN HERON DR

2,010 sqft · Sold 1/1/2026 · $185/sqft

7

EST. MARKET VALUE
$350,000

8424 GRAY SQUIRREL LN

2,010 sqft · Sold 10/8/2025 · $174/sqft

8

EST. MARKET VALUE
$475,000

7905 LEWISVILLE LN

2,011 sqft · Sold 2/1/2026 · $236/sqft

9

EST. MARKET VALUE

$391,999

6805 PIN CHERRY AVE

2,067 sqft · Sold 12/21/2025 · $190/sqft

10

EST. MARKET VALUE

$379,000

1705 WESTERN HEMLOCK WAY

2,065 sqft · Sold 12/1/2025 · $184/sqft

11

EST. MARKET VALUE

$540,000

8901 BRANDY BRANCH WAY

2,608 sqft · Sold 8/13/2025 · $207/sqft

12

EST. MARKET VALUE

$571,368

713 SHALLOW CREEK WAY

2,724 sqft · Sold 1/14/2026 · $210/sqft

13

EST. MARKET VALUE

$580,000

204 HABITAT TRL

2,335 sqft · Sold 7/21/2025 · $248/sqft