Property Tax Assessment Analysis

3994 N Parkside Dr
Cook County · March 5, 2026



3994 N Parkside Dr

Schaumburg, IL 60192 · Parcel: 01-25-202-029

Living Area	**2,251 sqft**	Lot Size	**9,188 sqft**
Bedrooms	**4**	Bathrooms	**2**
Year Built	**1977**	Property Type	**Residential**

Assessment Analysis

County Appraised Value	**$409,990**
Assessment Ratio (IL)	**10%**
Taxable Assessed Value	**$40,999**
Market Value (Comps)	**$528,030**
Underassessment	**-$118,040**

Note: The most recent assessment data available for this property is from 2023. Current assessment values may differ. We recommend verifying your assessment with your county assessor before filing.

Factors Considered in Our Analysis

The following factors were considered in our analysis of your property's value:

🏭 **Commercial/Industrial Zone**
3 retail zone(s) within 1 mile (incl. Huntington Plaza, Forest View Plaza, Village Square)

Source: Census TIGERweb, FEMA National Flood Hazard Layer, OpenStreetMap

Valuation Analysis

The subject property at 3994 N Parkside Dr, Schaumburg, IL 60192 is a 2,251 sq ft Residential constructed in 1977, situated on a 9,188 sq ft lot.

A search of recent residential sales within 0.6 miles identified 3 comparable properties sold within the past 12 months. These properties range from 2,120 to 2,591 sq ft. The median sale price per square foot among these comparables is $238. Note: An expanded search radius was used due to limited comparable sales in the immediate area.

Applying the 25th percentile sale price of $235 per square foot to the subject property's 2,251 sq ft yields a market value estimate of approximately $528,030.

The comparable sales used in this analysis are detailed in the table below. All properties are residential, sold within 12 months, and located within 0.6 miles of the subject property.

Additionally, environmental or locational factors affecting this property may further impact its market value.

Comparable Sales Analysis

#	ADDRESS	DISTANCE	SQFT	YEAR	SALE DATE	SALE PRICE	$/SQFT
S	**3994 N Parkside Dr (Subject)**	**—**	**2,251**	**1977**	**—**	**—**	**—**
1	4320 Lombardy Ln	0.6 mi	2,315	1983	12/14/2025	$550,000	$238
2	3835 Huntington Blvd	0.3 mi	2,591	1984	2/4/2026	$600,000	$232
3	1565 Brittany Ln	0.4 mi	2,120	1989	2/5/2026	$650,000	$307

MEDIAN SALE PRICE	25TH PCTL $/SQFT	SUBJECT SQFT	MARKET VALUE
$600,000	$235	2,251	$528,030

Comparable sales within 0.6 miles, sold within the past 12 months. All transactions are arm's-length sales from public county records.

Comparable Properties Map

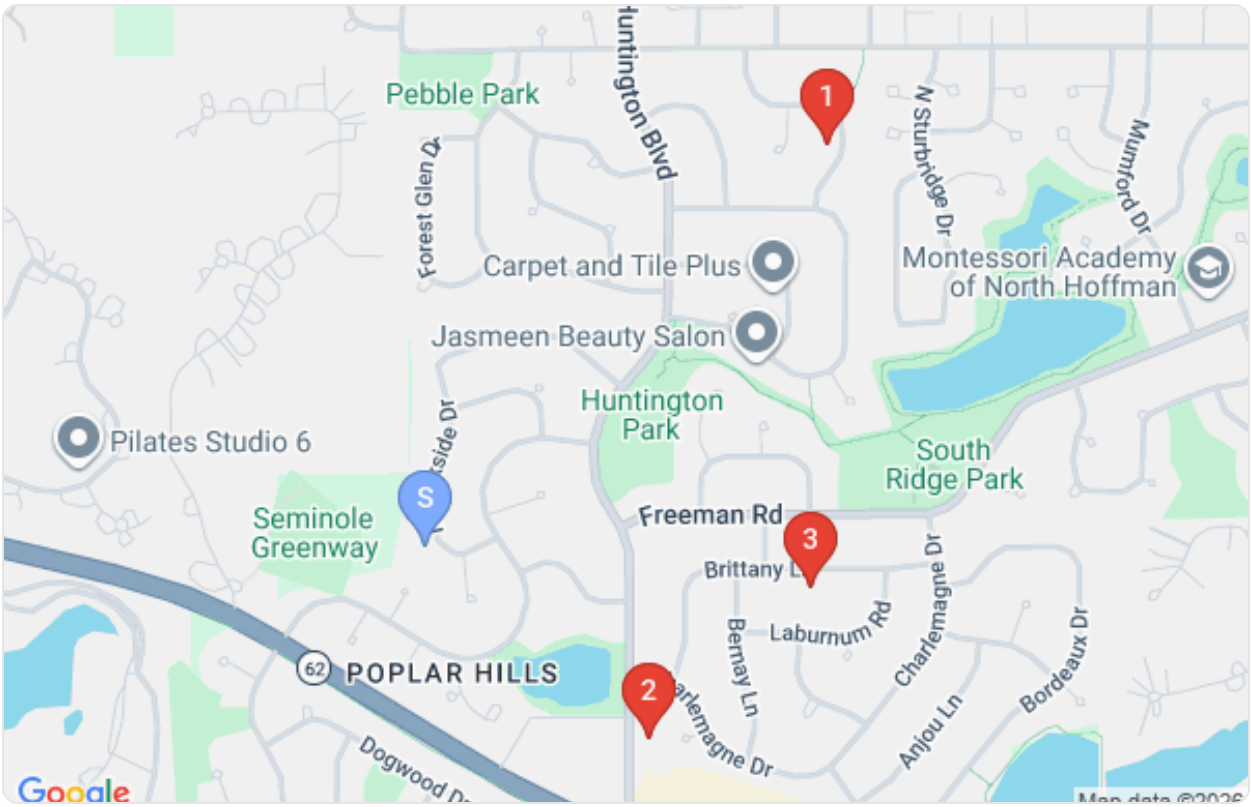

Subject property (blue pin) and comparable sales locations (red pins)

Comparable Property Details



1

SALE PRICE

$550,000

4320 Lombardy Ln

2,315 sqft · Built 1983 · 0.6 mi · Sold 12/14/2025 · $238/sqft



2

SALE PRICE

$600,000

3835 Huntington Blvd

2,591 sqft · Built 1984 · 0.3 mi · Sold 2/4/2026 · $232/sqft

3

SALE PRICE

$650,000

1565 Brittany Ln

2,120 sqft · Built 1989 · 0.4 mi · Sold 2/5/2026 · $307/sqft