Property Tax Assessment Analysis

91 Delafield Avenue
Richmond County · March 5, 2026



91 Delafield Avenue

Staten Island, NY 10301 · Parcel: 00137-0063

Living Area	3,450 sqft	Lot Size	8,745 sqft
Bedrooms	6	Bathrooms	3
Year Built	1985	Property Type	Duplex

Assessment Analysis

County Assessed Value (capped)	$33,079
County Market Value	$1,041,000
Market Value (Comps)	$849,155
Overassessment	**$191,845**

Valuation Analysis

The subject property at 91 Delafield Avenue, Staten Island, NY 10301 is a 3,450 sq ft Duplex constructed in 1985, situated on a 8,745 sq ft lot.

A search of recent residential sales in the surrounding area identified 15 comparable properties sold within the past 24 months. These properties range from 1,868 to 4,200 sq ft. The median sale price per square foot among these comparables is $274. Note: An expanded search radius was used due to limited comparable sales in the immediate area.

Applying the 25th percentile sale price of $246 per square foot to the subject property's 3,450 sq ft yields a market value estimate of approximately $849,155. The county's current market value of $1,041,000 exceeds this estimate by $191,845 (18.4%). At an effective tax rate of 0.64%, this overassessment represents approximately $1,224 in excess annual property taxes.

The comparable sales used in this analysis are detailed in the table below. All properties are residential, sold within 24 months, and located in the surrounding area of the subject property.

Comparable Sales Analysis

#	ADDRESS	DISTANCE	SQFT	YEAR	SALE DATE	SALE PRICE	$/SQFT
S	**91 Delafield Avenue (Subject)**	**—**	**3,450**	**1985**	**—**	**—**	**—**
1	354 HOYT AVE	—	3,244	—	2/10/2026	$890,000	$274
2	450 KISSEL AVE	—	3,656	—	5/12/2025	$975,000	$267
3	47 KIRBY CT	—	2,783	—	1/19/2026	$760,000	$273
4	265 BEMENT AVE	—	2,288	—	6/5/2025	$840,000	$367
5	40 CASSIDY PL	—	3,110	—	5/6/2025	$950,000	$305
6	25 ELIZABETH ST	—	3,040	—	8/19/2025	$738,000	$243
7	271 OAKLAND AVE	—	2,474	—	1/15/2025	$889,000	$359
8	79 LAFAYETTE AVE	—	3,168	—	6/16/2025	$790,000	$249
9	1756 RICHMOND TER	—	2,527	—	7/15/2025	$605,000	$239
10	187 BEMENT CT	—	3,344	—	8/25/2024	$1,300,000	$389

#	ADDRESS	DISTANCE	SQFT	YEAR	SALE DATE	SALE PRICE	$/SQFT
11	14 ELWOOD PL	—	2,200	—	5/12/2025	$815,000	$370
12	25 PELTON AVE	—	2,400	—	7/13/2025	$582,948	$243
13	15-21 W WEST ST	—	4,200	—	12/12/2024	$998,000	$238
14	47 HUNTER PL	—	2,000	—	4/16/2025	$925,000	$463
15	175 FILLMORE ST	—	1,868	—	9/2/2025	$700,000	$375

MEDIAN SALE PRICE	25TH PCTL $/SQFT	SUBJECT SQFT	MARKET VALUE
$840,000	**$246**	**3,450**	**$849,155**

Comparable sales in the surrounding area, sold within the past 24 months. All transactions are arm's-length sales from public county records.

Comparable Properties Map

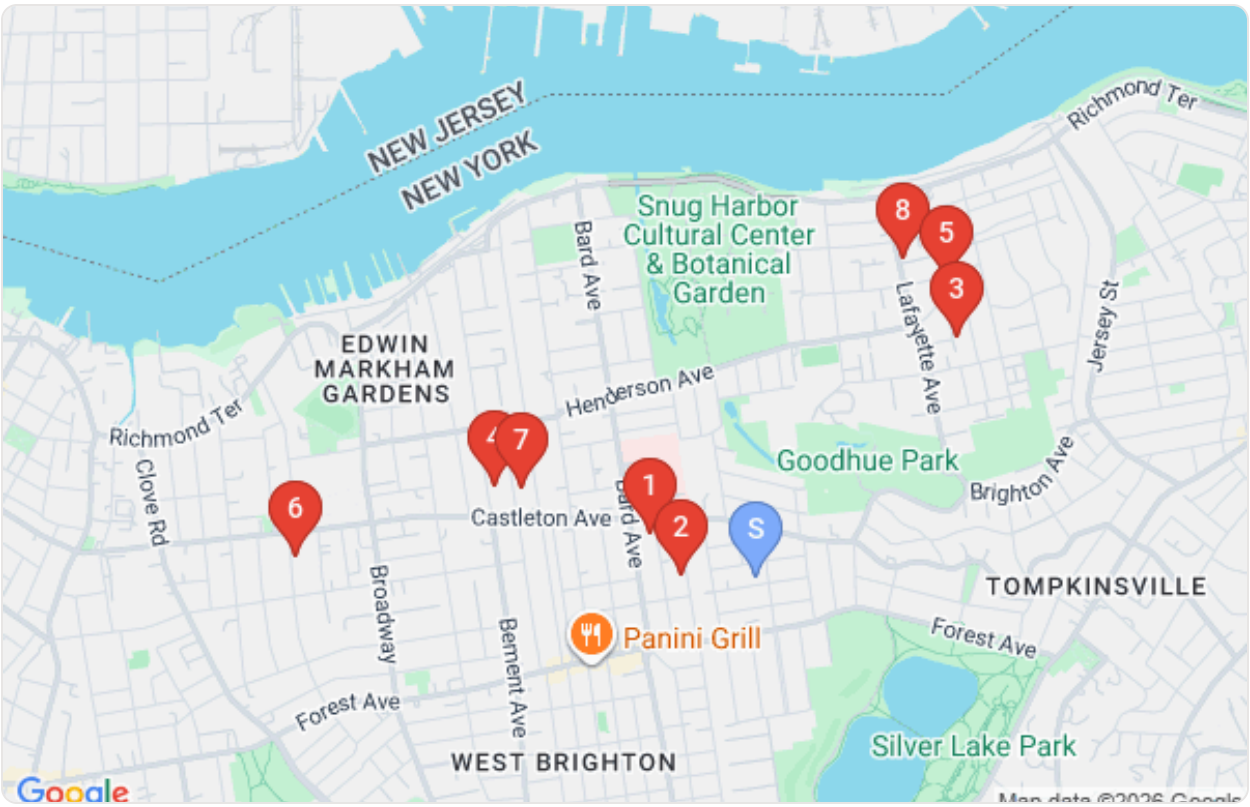

Subject property (blue pin) and comparable sales locations (red pins)

Comparable Property Details

1

SALE PRICE
$890,000

354 HOYT AVE

3,244 sqft · Sold 2/10/2026 · $274/sqft



2

SALE PRICE
$975,000

450 KISSEL AVE

3,656 sqft · Sold 5/12/2025 · $267/sqft

3

SALE PRICE
$760,000

47 KIRBY CT

2,783 sqft · Sold 1/19/2026 · $273/sqft

4

SALE PRICE
$840,000

265 BEMENT AVE

2,288 sqft · Sold 6/5/2025 · $367/sqft

5

SALE PRICE
$950,000

40 CASSIDY PL

3,110 sqft · Sold 5/6/2025 · $305/sqft



6

SALE PRICE
$738,000

25 ELIZABETH ST

3,040 sqft · Sold 8/19/2025 · $243/sqft

7

SALE PRICE
$889,000

271 OAKLAND AVE

2,474 sqft · Sold 1/15/2025 · $359/sqft



8

SALE PRICE
$790,000

79 LAFAYETTE AVE

3,168 sqft · Sold 6/16/2025 · $249/sqft



9

SALE PRICE

$605,000

1756 RICHMOND TER

2,527 sqft · Sold 7/15/2025 · $239/sqft



10

SALE PRICE

$1,300,000

187 BEMENT CT

3,344 sqft · Sold 8/25/2024 · $389/sqft



11

SALE PRICE

$815,000

14 ELWOOD PL

2,200 sqft · Sold 5/12/2025 · $370/sqft

12

SALE PRICE

$582,948

25 PELTON AVE

2,400 sqft · Sold 7/13/2025 · $243/sqft

13

SALE PRICE

$998,000

15-21 W WEST ST

4,200 sqft · Sold 12/12/2024 · $238/sqft

14

SALE PRICE

$925,000

47 HUNTER PL

2,000 sqft · Sold 4/16/2025 · $463/sqft

15

SALE PRICE

$700,000

175 FILLMORE ST

1,868 sqft · Sold 9/2/2025 · $375/sqft