Property Tax Assessment Analysis

1020 Reunion Pl Sw
Fulton County · March 5, 2026



1020 Reunion Pl Sw

Atlanta, GA 30331 · Parcel: 14F004700020263

Living Area	1,786 sqft	Lot Size	12,197 sqft
Bedrooms	3	Bathrooms	2
Year Built	1995	Property Type	Residential

Assessment Analysis

County Appraised Value	$271,500
Assessment Ratio (GA)	40%
Taxable Assessed Value	$108,600
Market Value (Comps)	$253,967
Overassessment	**$17,533**

Environmental & Locational Factors

The following factors were detected within 1 mile of the subject property and may support a lower assessment:

🚂 **Railroad**
1 railroad(s) within 1 mile: Csx Transportation

🏭 **Commercial/Industrial Zone**
5 commercial, 1 industrial zone(s) within 1 mile

⚡ **Power Lines**
1 high-voltage transmission line(s) within 1 mile

Source: Census TIGERweb, FEMA National Flood Hazard Layer, OpenStreetMap

Valuation Analysis

The subject property at 1020 Reunion Pl Sw, Atlanta, GA 30331 is a 1,786 sq ft Residential constructed in 1995, situated on a 12,197 sq ft lot.

A search of recent residential sales within 1.5 miles identified 4 comparable properties sold within the past 18 months. These properties range from 1,256 to 1,744 sq ft. The median sale price per square foot among these comparables is $182. Note: An expanded search radius was used due to limited comparable sales in the immediate area.

Applying the 25th percentile sale price of $142 per square foot to the subject property's 1,786 sq ft yields a market value estimate of approximately $253,967. The county's current appraised value of $271,500 exceeds this estimate by $17,533 (6.5%). At GA's 40% assessment ratio, this overassessment represents approximately $438 in estimated excess annual property taxes.

The comparable sales used in this analysis are detailed in the table below. All properties are residential, sold within 18 months, and located within 1.5 miles of the subject property.

Additionally, environmental or locational factors affecting this property may further impact its market value. These factors are detailed in the Filing Guide included with this packet.

Comparable Sales Analysis

#	ADDRESS	DISTANCE	SQFT	YEAR	SALE DATE	SALE PRICE	$/SQFT
S	**1020 Reunion Pl Sw (Subject)**	**—**	**1,786**	**1995**	**—**	**—**	**—**
1	488 Plainville Dr Sw	1.2 mi	1,256	1999	12/14/2025	$230,000	$183
2	4555 Danforth Rd Sw	0.5 mi	1,648	1992	10/16/2025	$300,000	$182
3	3829 Mays Ct Sw	1.0 mi	1,744	1993	12/8/2025	$250,000	$143
4	3677 Utoy Dr Sw # 56	1.5 mi	1,600	2006	9/30/2025	$222,000	$139

MEDIAN SALE PRICE	25TH PCTL $/SQFT	SUBJECT SQFT	MARKET VALUE
$250,000	**$142**	**1,786**	**$253,967**

Comparable sales within 1.5 miles, sold within the past 18 months. All transactions are arm's-length sales from public county records.

Comparable Properties Map

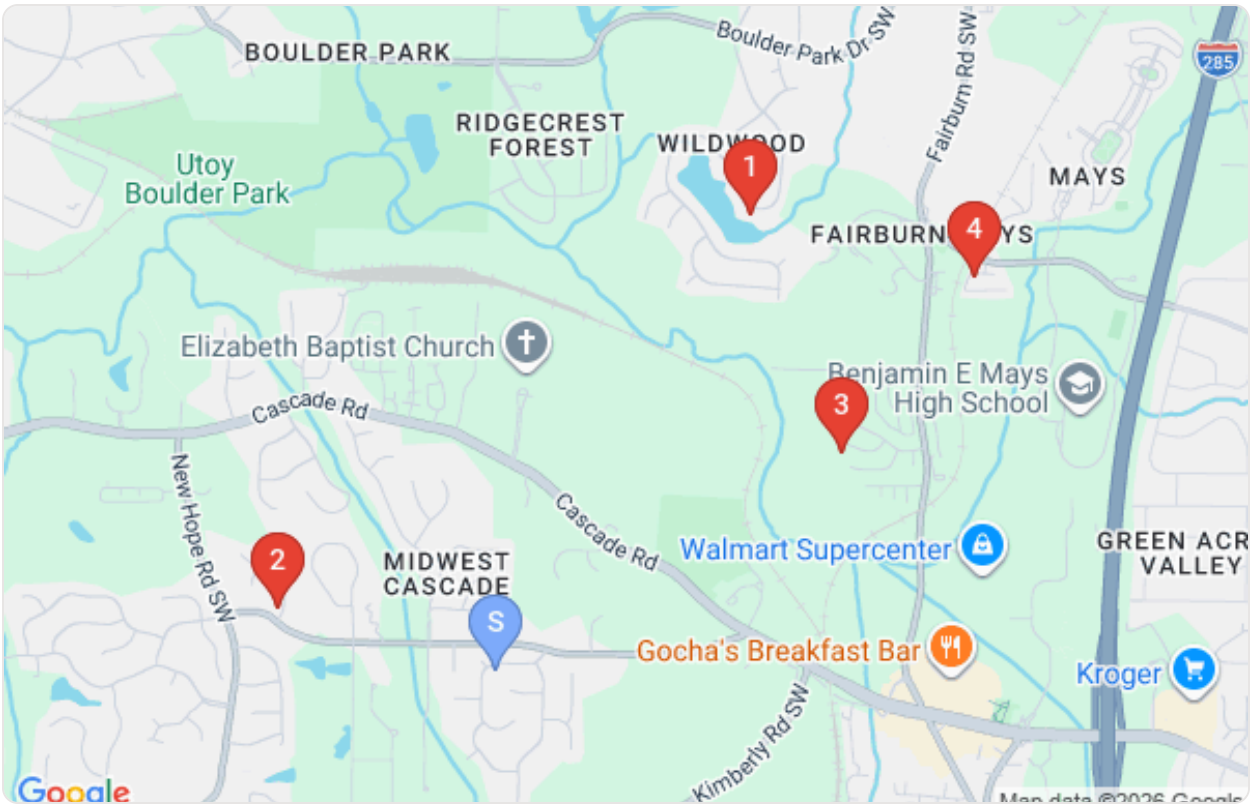

Subject property (blue pin) and comparable sales locations (red pins)

Comparable Property Details

1

SALE PRICE

$230,000

488 Plainville Dr Sw

1,256 sqft · Built 1999 · 1.2 mi · Sold 12/14/2025 · $183/sqft

2

SALE PRICE

$300,000

4555 Danforth Rd Sw

1,648 sqft · Built 1992 · 0.5 mi · Sold 10/16/2025 · $182/sqft



3

SALE PRICE

$250,000

3829 Mays Ct Sw

1,744 sqft · Built 1993 · 1.0 mi · Sold 12/8/2025 · $143/sqft

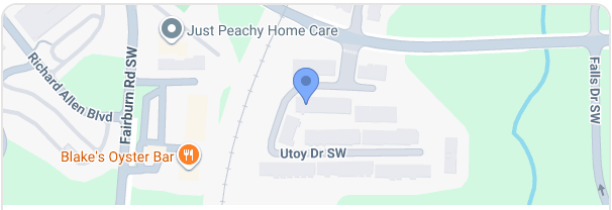

4

SALE PRICE

$222,000

3677 Utoy Dr Sw # 56

1,600 sqft · Built 2006 · 1.5 mi · Sold 9/30/2025 · $139/sqft