Property Tax Assessment Analysis

6524 Silent Creek Ave Se
King County · March 5, 2026

6524 Silent Creek Ave Se

Snoqualmie, WA 98065 · Parcel: 785327-1080

Living Area	1,980 sqft	Lot Size	4,557 sqft
Bedrooms	3	Bathrooms	2
Year Built	2005	Property Type	Residential

Assessment Analysis

County Appraised Value	$865,000
Market Value (Comps)	$979,898
Underassessment	-$114,898

Note: The most recent assessment data available for this property is from 2024. Current assessment values may differ. We recommend verifying your assessment with your county assessor before filing.

Factors Considered in Our Analysis

The following factors were considered in our analysis of your property's value:

Power Lines
3 high-voltage transmission line(s) within 1 mile

Source: Census TIGERweb, FEMA National Flood Hazard Layer, OpenStreetMap

Valuation Analysis

The subject property at 6524 Silent Creek Ave Se, Snoqualmie, WA 98065 is a 1,980 sq ft Residential constructed in 2005, situated on a 4,557 sq ft lot.

A search of recent residential sales within 0.9 miles identified 3 comparable properties sold within the past 12 months. These properties range from 1,780 to 1,960 sq ft. The median estimated value per square foot among these comparables is $536. Note: An expanded search radius was used due to limited comparable sales in the immediate area.

Applying the 25th percentile price of $495 per square foot to the subject property's 1,980 sq ft yields a market value estimate of approximately $979,898.

The comparable properties used in this analysis are detailed in the table below. All properties are residential, sold within 12 months, and located within 0.9 miles of the subject property.

Note: WA does not publicly disclose sale prices. Comparable values shown are estimated market values derived from property and market data.

Additionally, environmental or locational factors affecting this property may further impact its market value.

Comparable Property Analysis

#	ADDRESS	DISTANCE	SQFT	YEAR	SALE DATE	SALE PRICE*	$/SQFT
S	**6524 Silent Creek Ave Se (Subject)**	**—**	**1,980**	**2005**	**—**	**—**	**—**
1	7605 Dogwood Ln Se	0.9 mi	1,960	2001	11/30/2025	$970,000	$495
2	7210 Douglas Ave Se	0.4 mi	1,780	1999	11/2/2025	$1,015,000	$570
3	7902 Douglas Ave Se	0.8 mi	1,920	1999	10/7/2025	$1,029,000	$536

MEDIAN PRICE	25TH PCTL $/SQFT	SUBJECT SQFT	MARKET VALUE
$1,015,000	$495	1,980	$979,898

*Comparable sales within 0.9 miles, sold within the past 12 months. All transactions are arm's-length sales from public county records. *Estimated market value — actual sale price not publicly disclosed in this state.*

Comparable Properties Map

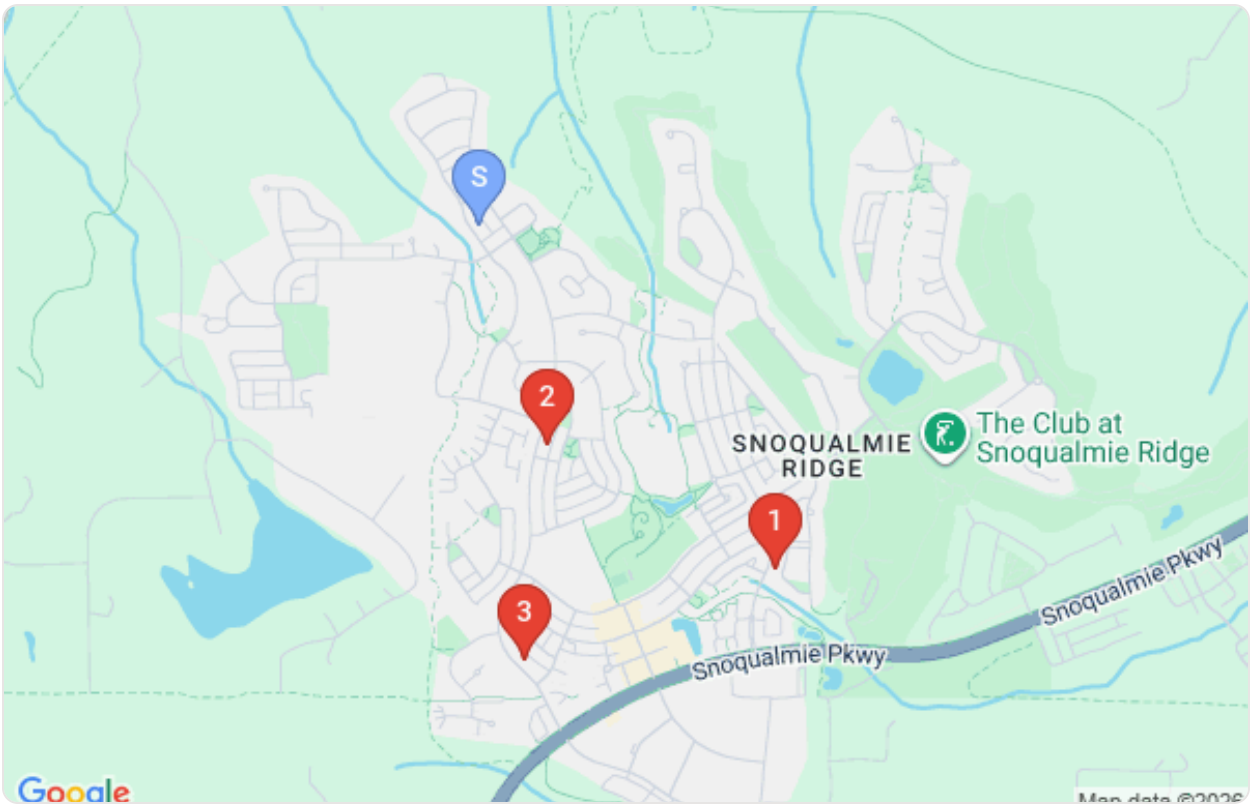

Subject property (blue pin) and comparable property locations (red pins)

Comparable Property Details

1

SALE PRICE

$970,000

7605 Dogwood Ln Se

1,960 sqft · Built 2001 · 0.9 mi · Sold 11/30/2025 · $495/sqft



2

SALE PRICE

$1,015,000

7210 Douglas Ave Se

1,780 sqft · Built 1999 · 0.4 mi · Sold 11/2/2025 · $570/sqft



3

EST. MARKET VALUE

$1,029,000

7902 Douglas Ave Se

1,920 sqft · Built 1999 · 0.8 mi · Sold 10/7/2025 · $536/sqft