Property Tax Assessment Analysis

3973 W Parkland Ave
Milwaukee County · March 5, 2026



3973 W Parkland Ave

Milwaukee, WI 53209 · Parcel: 086-8958

Living Area	1,450 sqft	Lot Size	21,780 sqft
Bedrooms	3	Bathrooms	1.5
Year Built	1960	Property Type	Residential

Assessment Analysis

County Appraised Value	$130,900
Market Value (Comps)	$279,121
Underassessment	-$148,221

Note: The most recent assessment data available for this property is from 2024. Current assessment values may differ. We recommend verifying your assessment with your county assessor before filing.

Valuation Analysis

The subject property at 3973 W Parkland Ave, Milwaukee, WI 53209 is a 1,450 sq ft Residential constructed in 1960, situated on a 21,780 sq ft lot.

A search of recent residential sales in the surrounding area identified 15 comparable properties sold within the past 24 months. These properties range from 1,068 to 1,733 sq ft. The median sale price per square foot among these comparables is $198. Note: An expanded search radius was used due to limited comparable sales in the immediate area.

Applying the 25th percentile sale price of $192 per square foot to the subject property's 1,450 sq ft yields a market value estimate of approximately $279,121.

The comparable sales used in this analysis are detailed in the table below. All properties are residential, sold within 24 months, and located in the surrounding area of the subject property.

Comparable Sales Analysis

#	ADDRESS	DISTANCE	SQFT	YEAR	SALE DATE	SALE PRICE	$/SQFT
S	**3973 W Parkland Ave (Subject)**	**—**	**1,450**	**1960**	**—**	**—**	**—**
1	7609 N 51ST ST	—	1,721	—	11/3/2025	$335,000	$195
2	8067 N 54TH ST	—	1,408	—	12/21/2025	$270,000	$192
3	5306 W CALUMET RD	—	1,068	—	11/11/2025	$250,000	$234
4	7828 N BERWYN AVE	—	1,733	—	10/15/2025	$383,000	$221
5	5501 W SPRING LN	—	1,464	—	11/12/2025	$300,000	$205
6	7501 N 41ST ST	—	1,556	—	12/10/2025	$280,000	$180
7	8282 N 49TH ST	—	1,414	—	6/1/2025	$290,000	$205
8	7416 N 42ND ST	—	1,330	—	12/9/2025	$257,000	$193
9	7822 N 53RD ST	—	1,493	—	8/10/2025	$250,000	$167
10	8105 N GREEN BAY RD	—	1,288	—	6/3/2025	$325,000	$252
11	7416 N 43RD ST	—	1,164	—	10/14/2025	$230,000	$198

#	ADDRESS	DISTANCE	SQFT	YEAR	SALE DATE	SALE PRICE	$/SQFT
12	7680 N 44TH ST	—	1,376	—	9/9/2025	$255,000	$185
13	7644 N 48TH ST	—	1,626	—	10/2/2025	$320,000	$197
14	7769 N DELTA PL	—	1,388	—	1/28/2026	$305,000	$220
15	8031 N 45TH ST	—	1,490	—	7/2/2025	$335,000	$225

MEDIAN SALE PRICE	25TH PCTL $/SQFT	SUBJECT SQFT	MARKET VALUE
$290,000	**$192**	**1,450**	**$279,121**

Comparable sales in the surrounding area, sold within the past 24 months. All transactions are arm's-length sales from public county records.

Comparable Properties Map

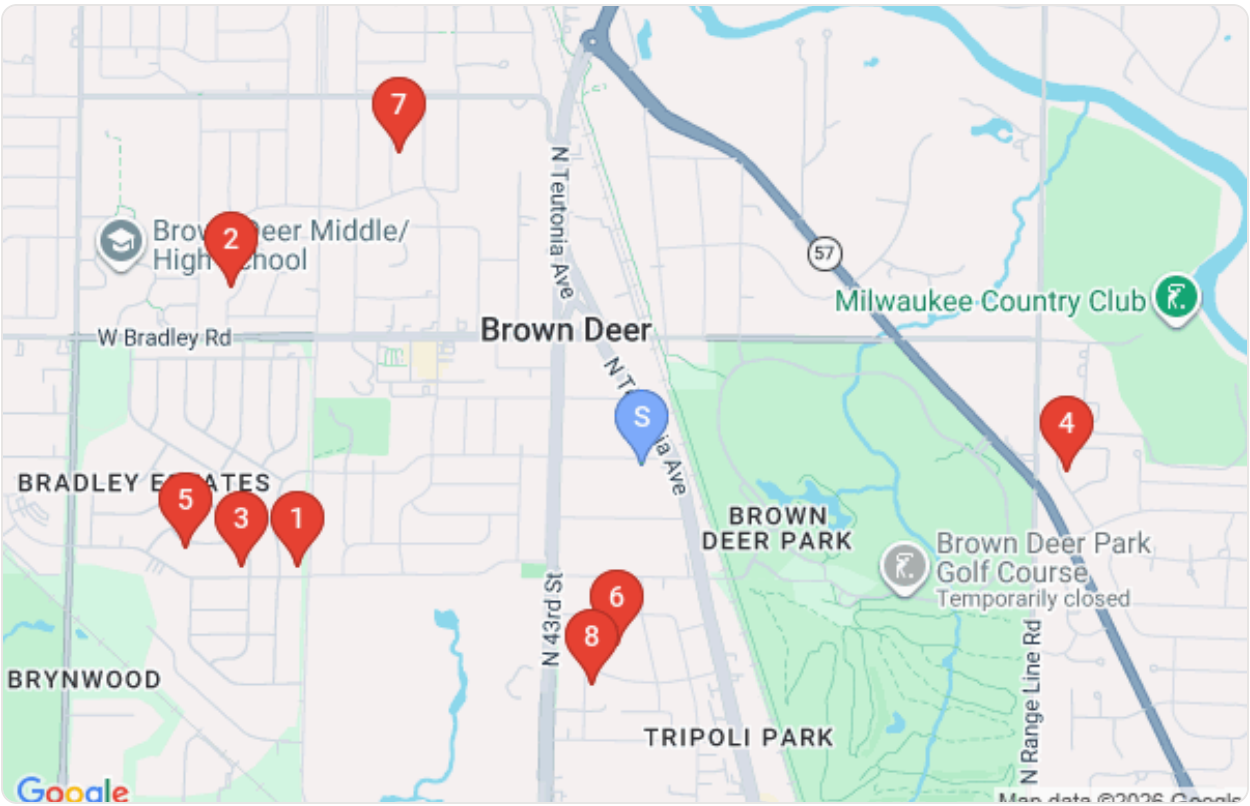

Subject property (blue pin) and comparable sales locations (red pins)

Comparable Property Details

1

SALE PRICE
$335,000

7609 N 51ST ST

1,721 sqft · Sold 11/3/2025 · $195/sqft



2

SALE PRICE
$270,000

8067 N 54TH ST

1,408 sqft · Sold 12/21/2025 · $192/sqft

3

SALE PRICE
$250,000

5306 W CALUMET RD

1,068 sqft · Sold 11/11/2025 · $234/sqft

4

SALE PRICE
$383,000

7828 N BERWYN AVE

1,733 sqft · Sold 10/15/2025 · $221/sqft

5

SALE PRICE
$300,000

5501 W SPRING LN

1,464 sqft · Sold 11/12/2025 · $205/sqft

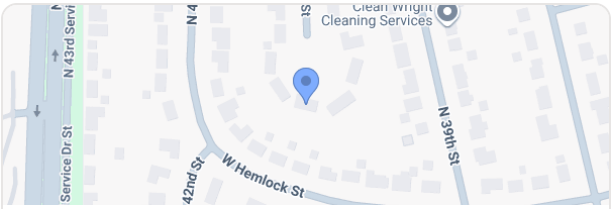

6

SALE PRICE
$280,000

7501 N 41ST ST

1,556 sqft · Sold 12/10/2025 · $180/sqft



7

SALE PRICE
$290,000

8282 N 49TH ST

1,414 sqft · Sold 6/1/2025 · $205/sqft



8

SALE PRICE
$257,000

7416 N 42ND ST

1,330 sqft · Sold 12/9/2025 · $193/sqft



9

SALE PRICE

$250,000

7822 N 53RD ST

1,493 sqft · Sold 8/10/2025 · $167/sqft



10

SALE PRICE

$325,000

8105 N GREEN BAY RD

1,288 sqft · Sold 6/3/2025 · $252/sqft

11

SALE PRICE

$230,000

7416 N 43RD ST

1,164 sqft · Sold 10/14/2025 · $198/sqft

12

SALE PRICE

$255,000

7680 N 44TH ST

1,376 sqft · Sold 9/9/2025 · $185/sqft

13

SALE PRICE

$320,000

7644 N 48TH ST

1,626 sqft · Sold 10/2/2025 · $197/sqft

14

SALE PRICE

$305,000

7769 N DELTA PL

1,388 sqft · Sold 1/28/2026 · $220/sqft

15

SALE PRICE

$335,000

8031 N 45TH ST

1,490 sqft · Sold 7/2/2025 · $225/sqft