Property Tax Assessment Analysis

2511 N 129Th St
Douglas County · March 5, 2026



2511 N 129Th St

Omaha, NE 68164 · Parcel: 2538394002

Living Area	1,640 sqft	Lot Size	5,200 sqft
Bedrooms	3	Bathrooms	2.5
Year Built	1981	Property Type	Residential

Assessment Analysis

County Appraised Value	$250,800
Market Value (Comps)	$233,165
Overassessment	$17,635

Environmental & Locational Factors

The following factors were detected within 1 mile of the subject property and may support a lower assessment:

Power Lines
1 high-voltage transmission line(s) within 1 mile

Source: Census TIGERweb, FEMA National Flood Hazard Layer, OpenStreetMap

Valuation Analysis

The subject property at 2511 N 129Th St, Omaha, NE 68164 is a 1,640 sq ft Residential constructed in 1981, situated on a 5,200 sq ft lot.

A search of recent residential sales within 0.6 miles identified 6 comparable properties sold within the past 12 months. These properties range from 1,544 to 1,911 sq ft. The median sale price per square foot among these comparables is $175. Note: An expanded search radius was used due to limited comparable sales in the immediate area.

Applying the 25th percentile sale price of $142 per square foot to the subject property's 1,640 sq ft yields a market value estimate of approximately $233,165. The county's current appraised value of $250,800 exceeds this estimate by $17,635 (7.0%). At an effective tax rate of 1.66%, this overassessment represents approximately $293 in excess annual property taxes.

The comparable sales used in this analysis are detailed in the table below. All properties are residential, sold within 12 months, and located within 0.6 miles of the subject property.

Additionally, environmental or locational factors affecting this property may further impact its market value. These factors are detailed in the Filing Guide included with this packet.

Comparable Sales Analysis

#	ADDRESS	DISTANCE	SQFT	YEAR	SALE DATE	SALE PRICE	$/SQFT
S	**2511 N 129Th St (Subject)**	**—**	**1,640**	**1981**	**—**	**—**	**—**
1	2223 N 127th Cir	0.2 mi	1,544	1979	2/4/2026	$160,000	$104
2	12515 Binney St	0.5 mi	1,632	1988	1/11/2026	$298,000	$183
3	12424 Binney St	0.5 mi	1,564	1989	2/12/2026	$210,000	$134
4	12523 Eagle Run Dr	0.6 mi	1,756	1996	12/28/2025	$437,000	$249
5	12123 Parker Cir	0.6 mi	1,881	1979	1/21/2026	$330,000	$175
6	1512 N 126th St	0.6 mi	1,911	1998	1/5/2026	$317,000	$166

MEDIAN SALE PRICE	25TH PCTL $/SQFT	SUBJECT SQFT	MARKET VALUE
$317,000	**$142**	**1,640**	**$233,165**

Comparable sales within 0.6 miles, sold within the past 12 months. All transactions are arm's-length sales from public county records.

Comparable Properties Map

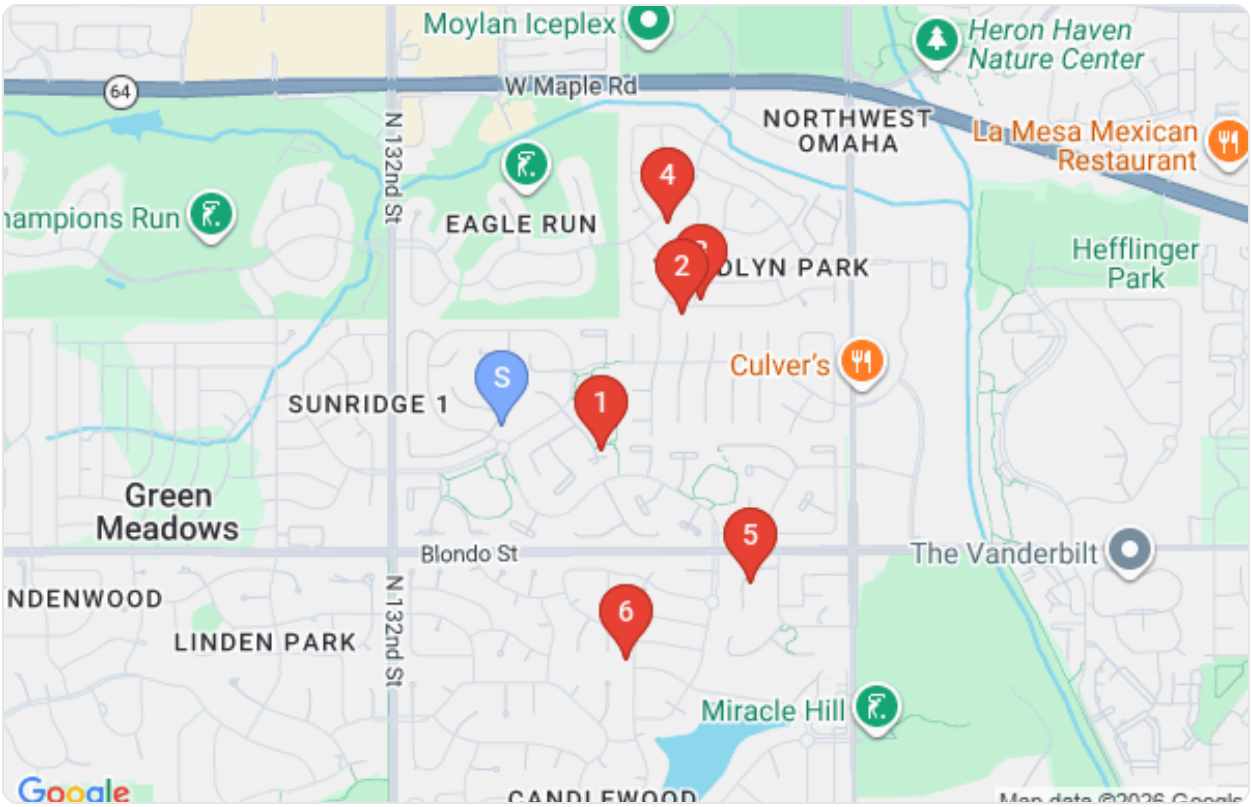

Subject property (blue pin) and comparable sales locations (red pins)

Comparable Property Details



1

SALE PRICE
$160,000

2223 N 127th Cir

1,544 sqft · Built 1979 · 0.2 mi · Sold 2/4/2026 · $104/sqft



2

SALE PRICE
$298,000

12515 Binney St

1,632 sqft · Built 1988 · 0.5 mi · Sold 1/11/2026 · $183/sqft

3

SALE PRICE
$210,000

12424 Binney St

1,564 sqft · Built 1989 · 0.5 mi · Sold 2/12/2026 · $134/sqft

4

SALE PRICE
$437,000

12523 Eagle Run Dr

1,756 sqft · Built 1996 · 0.6 mi · Sold 12/28/2025 · $249/sqft

5

SALE PRICE
$330,000

12123 Parker Cir

1,881 sqft · Built 1979 · 0.6 mi · Sold 1/21/2026 · $175/sqft

6

SALE PRICE
$317,000

1512 N 126th St

1,911 sqft · Built 1998 · 0.6 mi · Sold 1/5/2026 · $166/sqft