Property Tax Assessment Analysis

8923 Hampton Ave Ne
Bernalillo County · March 5, 2026



8923 Hampton Ave Ne

Albuquerque, NM 87122 · Parcel: 1-020-064-236-305-2-12-08

Living Area	2,347 sqft	Lot Size	5,053 sqft
Bedrooms	4	Bathrooms	2
Year Built	2005	Property Type	Residential

Assessment Analysis

County Appraised Value	$440,985
Assessment Ratio (NM)	33.3%
Taxable Assessed Value	$146,980
Market Value (Comps)	$561,199
Underassessment	-$120,214

Valuation Analysis

The subject property at 8923 Hampton Ave Ne, Albuquerque, NM 87122 is a 2,347 sq ft Residential constructed in 2005, situated on a 5,053 sq ft lot.

A search of recent residential sales within 5 miles identified 12 comparable properties sold within the past 24 months. These properties range from 1,822 to 2,572 sq ft. The median estimated value per square foot among these comparables is $259. Note: An expanded search radius was used due to limited comparable sales in the immediate area.

Applying the 25th percentile price of $239 per square foot to the subject property's 2,347 sq ft yields a market value estimate of approximately $561,199.

The comparable properties used in this analysis are detailed in the table below. All properties are residential, sold within 24 months, and located within 5 miles of the subject property.

Note: NM does not publicly disclose sale prices. Comparable values shown are estimated market values derived from property and market data.

Comparable Property Analysis

#	ADDRESS	DISTANCE	SQFT	YEAR	SALE DATE	EST. MARKET VALUE	$/SQFT
S	**8923 Hampton Ave Ne (Subject)**	**—**	**2,347**	**2005**	**—**	**—**	**—**
1	8912 DESERT FOX WAY NE	—	1,892	—	8/24/2025	$550,000	$291
2	8009 OSO RICO RD NE	—	2,260	—	7/29/2025	$566,000	$250
3	8823 DESERT FOX WAY NE	—	1,868	—	6/23/2025	$580,000	$310
4	9240 BLUEWOOD LN NE	—	1,822	—	6/25/2025	$477,000	$262
5	9228 APACHE PINE WAY NE	—	2,390	—	9/22/2025	$505,000	$211
6	9208 BERRYESSA RD NE	—	2,278	—	9/23/2025	$625,000	$274
7	8508 VILLA FIRENZE LN NE	—	2,540	—	12/7/2025	$646,613	$255
8	8201 GRAPE HARVEST CT NE	—	2,445	—	9/22/2025	$690,000	$282
9	9112 BERRYESSA RD NE	—	2,572	—	7/8/2025	$615,000	$239

#	ADDRESS	DISTANCE	SQFT	YEAR	SALE DATE	EST. MARKET VALUE	$/SQFT
10	8420 ASHTON PL NE	—	2,350	—	5/1/2025	$609,000	$259
11	7901 WILLIAM MOYERS AVE NE	—	2,101	—	11/5/2025	$469,000	$223
12	7620 BUCKBOARD AVE NE	—	2,244	—	8/13/2025	$422,000	$188

MEDIAN EST. VALUE	25TH PCTL $/SQFT	SUBJECT SQFT	MARKET VALUE
$580,000	**$239**	**2,347**	**$561,199**

Comparable properties within 5 miles, sold within the past 24 months. Values shown are estimated market values — NM does not publicly disclose sale prices.

Comparable Properties Map

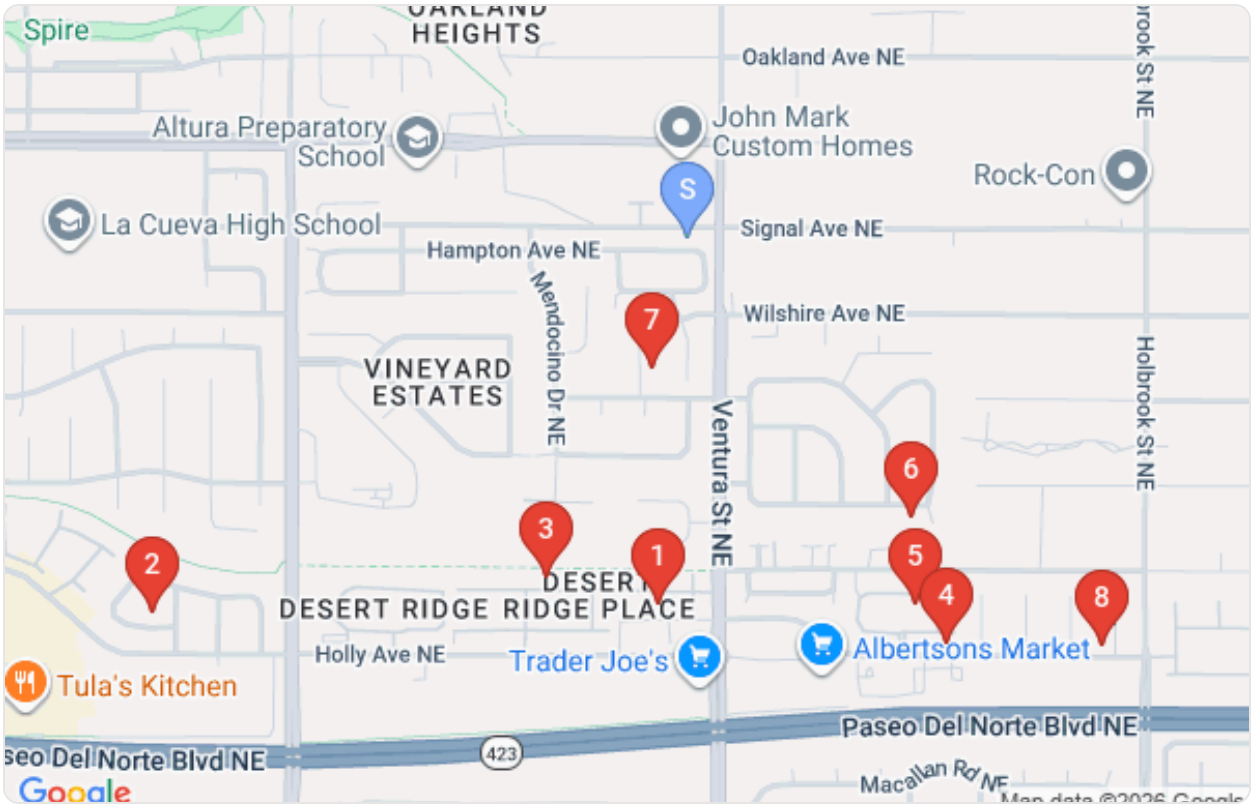

Subject property (blue pin) and comparable property locations (red pins)

Comparable Property Details

1

EST. MARKET VALUE

$550,000

8912 DESERT FOX WAY NE

1,892 sqft · Sold 8/24/2025 · $291/sqft

2

EST. MARKET VALUE

$566,000

8009 OSO RICO RD NE

2,260 sqft · Sold 7/29/2025 · $250/sqft

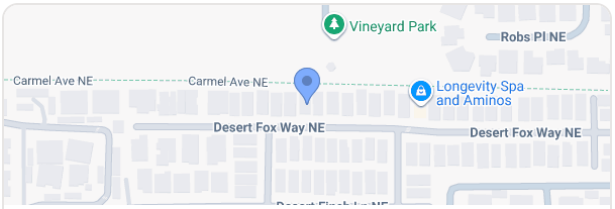

3

EST. MARKET VALUE

$580,000

8823 DESERT FOX WAY NE

1,868 sqft · Sold 6/23/2025 · $310/sqft



4

EST. MARKET VALUE

$477,000

9240 BLUEWOOD LN NE

1,822 sqft · Sold 6/25/2025 · $262/sqft

5

EST. MARKET VALUE

$505,000

9228 APACHE PINE WAY NE

2,390 sqft · Sold 9/22/2025 · $211/sqft

6

EST. MARKET VALUE

$625,000

9208 BERRYESSA RD NE

2,278 sqft · Sold 9/23/2025 · $274/sqft

7

EST. MARKET VALUE

$646,613

8508 VILLA FIRENZE LN NE

2,540 sqft · Sold 12/7/2025 · $255/sqft

8

EST. MARKET VALUE

$690,000

8201 GRAPE HARVEST CT NE

2,445 sqft · Sold 9/22/2025 · $282/sqft

9

EST. MARKET VALUE

$615,000

9112 BERRYESSA RD NE

2,572 sqft · Sold 7/8/2025 · $239/sqft

10

EST. MARKET VALUE

$609,000

8420 ASHTON PL NE

2,350 sqft · Sold 5/1/2025 · $259/sqft

11

EST. MARKET VALUE

$469,000

7901 WILLIAM MOYERS AVE NE

2,101 sqft · Sold 11/5/2025 · $223/sqft

12

EST. MARKET VALUE

$422,000

7620 BUCKBOARD AVE NE

2,244 sqft · Sold 8/13/2025 · $188/sqft