Property Tax Assessment Analysis

56 Chelsea Rd
Orange County · March 5, 2026

56 Chelsea Rd

Bradford, VT 05033 · Parcel: (022) 04-01-0028

Living Area	**1,356 sqft**	Lot Size	**2.10 acres**
Bedrooms	**2**	Bathrooms	**1**
Year Built	**1981**	Property Type	**Residential**

Assessment Analysis

County Assessed Value (capped)	**$151,500**
County Market Value	**$292,000**
Market Value (Comps)	**$205,738**
Overassessment	**$86,262**

Note: The most recent assessment data available for this property is from 2024. Current assessment values may differ. We recommend verifying your assessment with your county assessor before filing.

Valuation Analysis

The subject property at 56 Chelsea Rd, Bradford, VT 05033 is a 1,356 sq ft Residential constructed in 1981, situated on a 2.10-acre lot.

A search of recent residential sales within 0.5 miles identified 17 comparable properties sold within the past 24 months. These properties range from 600 to 1,994 sq ft. The median sale price per square foot among these comparables is $250. Note: An expanded search radius was used due to limited comparable sales in the immediate area.

Applying the 25th percentile sale price of $152 per square foot to the subject property's 1,356 sq ft yields a market value estimate of approximately $205,738. The county's current market value of $292,000 exceeds this estimate by $86,262 (29.5%). At an effective tax rate of 1.57%, this overassessment represents approximately $1,357 in excess annual property taxes.

The comparable sales used in this analysis are detailed in the table below. All properties are residential, sold within 24 months, and located within 0.5 miles of the subject property.

Comparable Sales Analysis

#	ADDRESS	DISTANCE	SQFT	YEAR	SALE DATE	SALE PRICE	$/SQFT
S	**56 Chelsea Rd (Subject)**	**—**	**1,356**	**1981**	**—**	**—**	**—**
1	5546 Waits River Rd	0.5 mi	725	1964	10/28/2025	$110,000	$152
2	429 Flanders Brook Rd	0.5 mi	1,512	2005	8/19/2025	$222,500	$147
3	161 OLD POST RD	—	1,616	—	7/8/2025	$489,000	$303
4	532 ROGERS HILL RD	—	1,176	—	3/17/2025	$300,000	$255
5	660 CHASE HOLLOW RD	—	1,152	—	12/23/2024	$110,000	$95
6	1496 FAIRGROUND RD	—	1,186	—	9/7/2025	$275,000	$232
7	5001 SOUTH RD	—	1,020	—	5/7/2024	$255,000	$250
8	283 WRIGHTS MOUNTAIN RD	—	600	—	12/30/2025	$245,000	$408
9	2283 CHASE HOLLOW RD	—	1,500	—	9/7/2025	$397,000	$265
10	820 VILLAGE RD	—	1,056	—	12/1/2025	$227,500	$215

#	ADDRESS	DISTANCE	SQFT	YEAR	SALE DATE	SALE PRICE	$/SQFT
11	1160 GOOSE GREEN RD	—	1,092	—	6/9/2025	$330,000	$302
12	599 GOOSE GREEN RD	—	1,232	—	4/9/2025	$103,500	$84
13	405 CROSS RD	—	1,392	—	7/8/2025	$321,432	$231
14	432 FULTON RD	—	1,920	—	9/18/2024	$165,000	$86
15	1757 FAIRGROUND RD	—	1,248	—	4/24/2025	$385,000	$308
16	1978 SOUTH RD	—	1,994	—	7/28/2025	$610,000	$306
17	602 BRANCH RD	—	1,232	—	11/13/2024	$370,000	$300

MEDIAN SALE PRICE	25TH PCTL $/SQFT	SUBJECT SQFT	MARKET VALUE
$275,000	$152	1,356	$205,738

Comparable sales within 0.5 miles, sold within the past 24 months. All transactions are arm's-length sales from public county records.

Comparable Properties Map

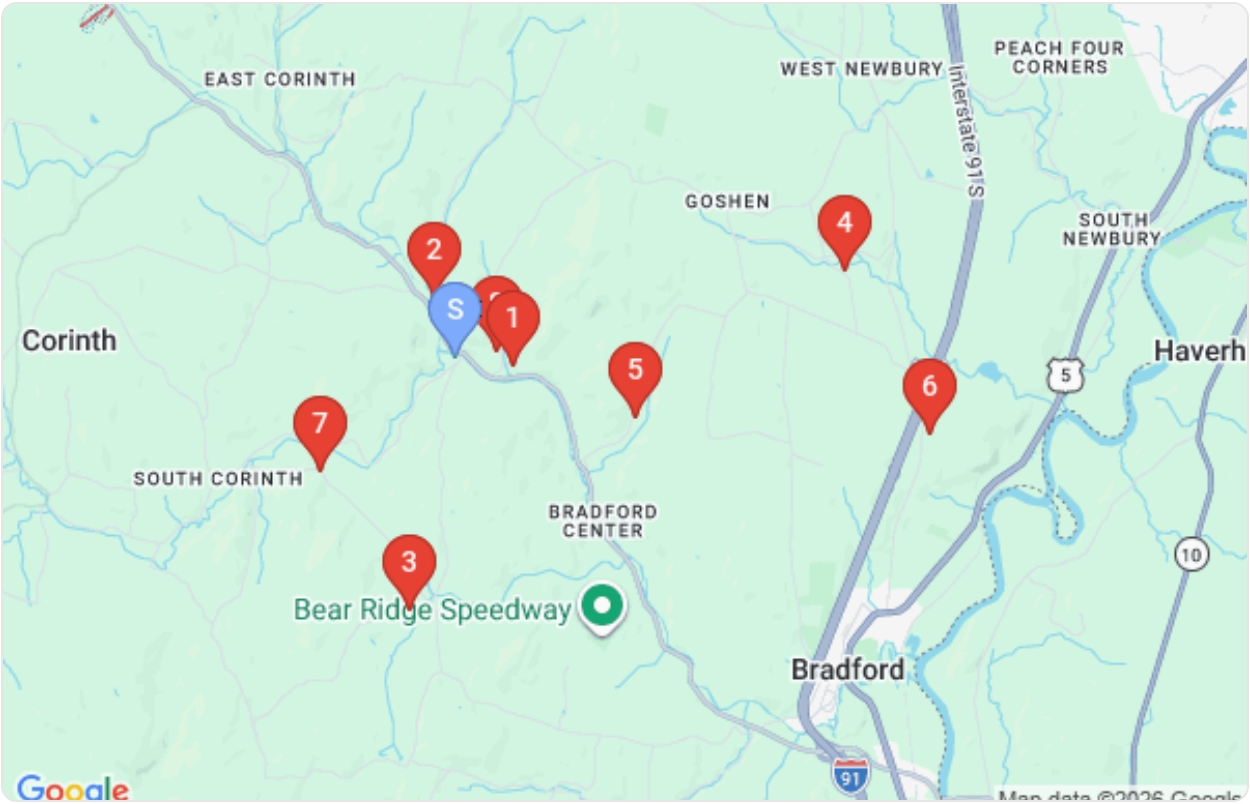

Subject property (blue pin) and comparable sales locations (red pins)

Comparable Property Details

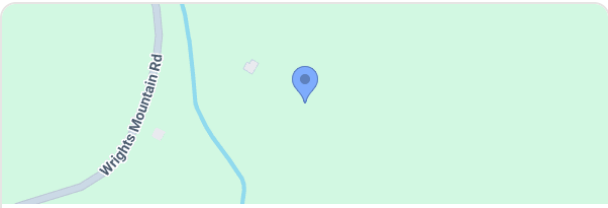

1

SALE PRICE
$110,000

5546 Waits River Rd

725 sqft · Built 1964 · 0.5 mi · Sold 10/28/2025 · $152/sqft

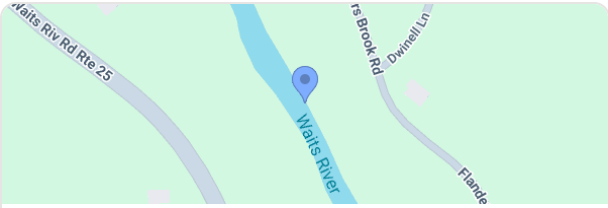

2

SALE PRICE
$222,500

429 Flanders Brook Rd

1,512 sqft · Built 2005 · 0.5 mi · Sold 8/19/2025 · $147/sqft

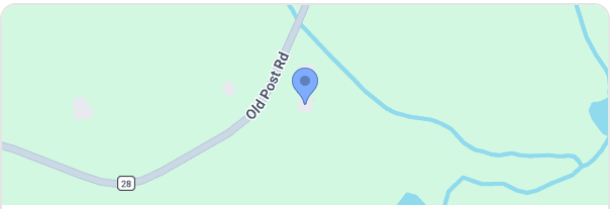

3

SALE PRICE
$489,000

161 OLD POST RD

1,616 sqft · Sold 7/8/2025 · $303/sqft

4

SALE PRICE
$300,000

532 ROGERS HILL RD

1,176 sqft · Sold 3/17/2025 · $255/sqft

5

SALE PRICE
$110,000

660 CHASE HOLLOW RD

1,152 sqft · Sold 12/23/2024 · $95/sqft

6

SALE PRICE
$275,000

1496 FAIRGROUND RD

1,186 sqft · Sold 9/7/2025 · $232/sqft

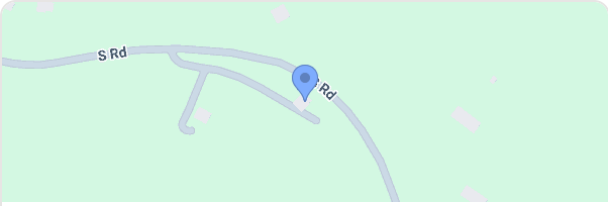

7

SALE PRICE
$255,000

5001 SOUTH RD

1,020 sqft · Sold 5/7/2024 · $250/sqft

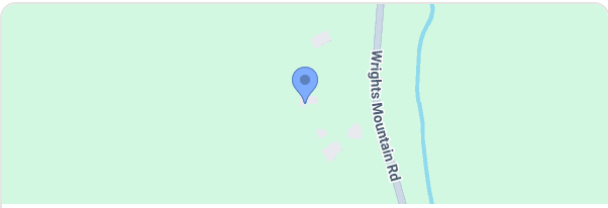

8

SALE PRICE
$245,000

283 WRIGHTS MOUNTAIN RD

600 sqft · Sold 12/30/2025 · $408/sqft

9

SALE PRICE
$397,000

2283 CHASE HOLLOW RD

1,500 sqft · Sold 9/7/2025 · $265/sqft



10

SALE PRICE
$227,500

820 VILLAGE RD

1,056 sqft · Sold 12/1/2025 · $215/sqft

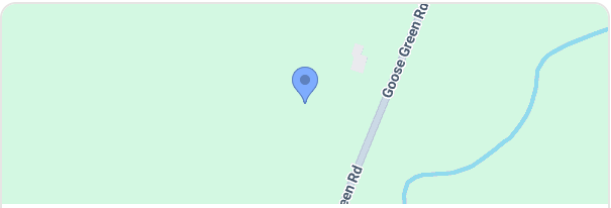

11

SALE PRICE
$330,000

1160 GOOSE GREEN RD

1,092 sqft · Sold 6/9/2025 · $302/sqft

12

SALE PRICE
$103,500

599 GOOSE GREEN RD

1,232 sqft · Sold 4/9/2025 · $84/sqft

13

SALE PRICE
$321,432

405 CROSS RD

1,392 sqft · Sold 7/8/2025 · $231/sqft

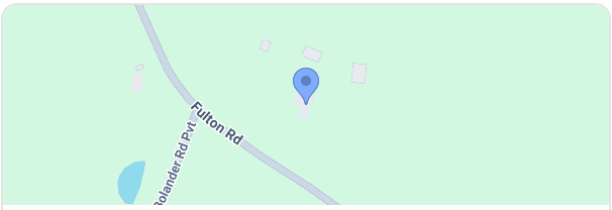

14

SALE PRICE
$165,000

432 FULTON RD

1,920 sqft · Sold 9/18/2024 · $86/sqft

15

SALE PRICE
$385,000

1757 FAIRGROUND RD

1,248 sqft · Sold 4/24/2025 · $308/sqft



16

SALE PRICE
$610,000

1978 SOUTH RD

1,994 sqft · Sold 7/28/2025 · $306/sqft

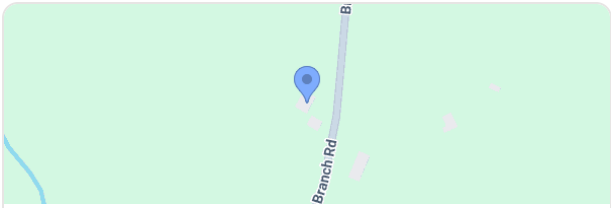

17

SALE PRICE

$370,000

602 BRANCH RD

1,232 sqft · Sold 11/13/2024 · $300/sqft