# Property Tax Assessment Analysis

207 S Anniston Ave
Talladega County · March 5, 2026

## 207 S Anniston Ave

Sylacauga, AL 35150 · Parcel: 27-09-32-2-024-006.000

| | | | |
|---|---|---|---|
| Living Area | **2,920 sqft** | Lot Size | **984 sqft** |
| Bathrooms | **3** | Year Built | **1953** |
| Property Type | **Residential** | | |

## Assessment Analysis

| | |
|---|---|
| County Appraised Value | **$240,600** |
| Assessment Ratio (AL) | **10%** |
| Taxable Assessed Value | **$24,060** |
| Market Value (Comps) | **$252,346** |
| Underassessment | **-$11,746** |

## Factors Considered in Our Analysis

The following factors were considered in our analysis of your property's value:

🚂 **Railroad**
2 railroad(s) within 1 mile: Bnsf, Csx Transportation

*Source: Census TIGERweb, FEMA National Flood Hazard Layer, OpenStreetMap*

### Valuation Analysis

The subject property at 207 S Anniston Ave, Sylacauga, AL 35150 is a 2,920 sq ft Residential constructed in 1953, situated on a 984 sq ft lot.

A search of recent residential sales within 5 miles identified 15 comparable properties sold within the past 24 months. These properties range from 1,620 to 4,045 sq ft. The median estimated value per square foot among these comparables is $97. Note: An expanded search radius was used due to limited comparable sales in the immediate area.

**Applying the 25th percentile price of $86 per square foot to the subject property's 2,920 sq ft yields a market value estimate of approximately $252,346.**

The comparable properties used in this analysis are detailed in the table below. All properties are residential, sold within 24 months, and located within 5 miles of the subject property.

*Note: AL does not publicly disclose sale prices. Comparable values shown are estimated market values derived from property and market data.*

*Additionally, environmental or locational factors affecting this property may further impact its market value.*

## Comparable Property Analysis

| # | ADDRESS | DISTANCE | SQFT | YEAR | SALE DATE | EST. MARKET VALUE | $/SQFT |
|---|---|---|---|---|---|---|---|
| **S** | **207 S Anniston Ave (Subject)** | **—** | **2,920** | **1953** | **—** | **—** | **—** |
| 1 | 1 N MAIN AVE | — | 3,048 | — | 7/31/2025 | $315,000 | $103 |
| 2 | 418 ALLEN DR | — | 1,954 | — | 12/30/2025 | $190,000 | $97 |
| 3 | 910 CHEROKEE DR | — | 2,051 | — | 8/19/2025 | $235,000 | $115 |
| 4 | 12 MONTGOMERY AVE | — | 1,969 | — | 10/9/2025 | $194,500 | $99 |
| 5 | 702 S NORTON AVE | — | 2,338 | — | 12/9/2024 | $210,000 | $90 |
| 6 | 908 HERITAGE DR | — | 1,850 | — | 12/18/2025 | $216,000 | $117 |
| 7 | 207 S ELM AVE | — | 4,045 | — | 11/13/2025 | $295,000 | $73 |
| 8 | 404 W WALNUT ST | — | 2,862 | — | 11/6/2024 | $165,000 | $58 |

| # | ADDRESS | DISTANCE | SQFT | YEAR | SALE DATE | EST. MARKET VALUE | $/SQFT |
|---|---|---|---|---|---|---|---|
| 9 | 403 S NORTON AVE | — | 2,091 | — | 11/13/2025 | $193,000 | $92 |
| 10 | 112 MORNING CIR | — | 2,994 | — | 8/28/2025 | $335,000 | $112 |
| 11 | Near SYLACAUGA, AL | — | 2,464 | — | 1/12/2025 | $267,000 | $108 |
| 12 | 906 HERITAGE DR | — | 3,192 | — | 6/13/2024 | $196,000 | $61 |
| 13 | 418 W WALNUT ST | — | 2,811 | — | 4/3/2025 | $260,000 | $92 |
| 14 | 204 SARA LYNN DR | — | 1,620 | — | 12/9/2025 | $140,000 | $86 |
| 15 | 116 S CANNON AVE | — | 1,945 | — | 12/5/2024 | $220,000 | $113 |

| MEDIAN EST. VALUE | 25TH PCTL $/SQFT | SUBJECT SQFT | MARKET VALUE |
|---|---|---|---|
| **$216,000** | **$86** | **2,920** | **$252,346** |

*Comparable properties within 5 miles, sold within the past 24 months. Values shown are estimated market values — AL does not publicly disclose sale prices.*

## Comparable Properties Map

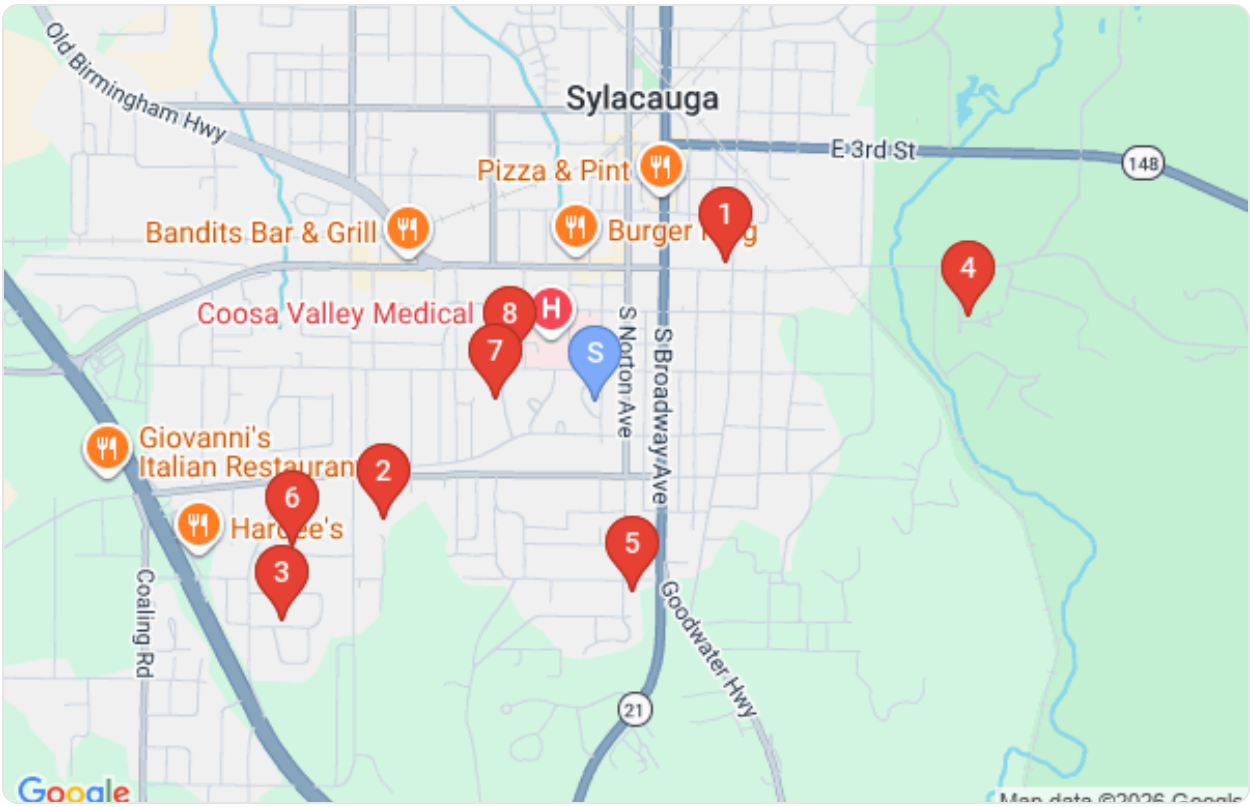


*Subject property (blue pin) and comparable property locations (red pins)*

# Comparable Property Details

1

EST. MARKET VALUE
**$315,000**

### 1 N MAIN AVE

3,048 sqft · Sold 7/31/2025 · $103/sqft

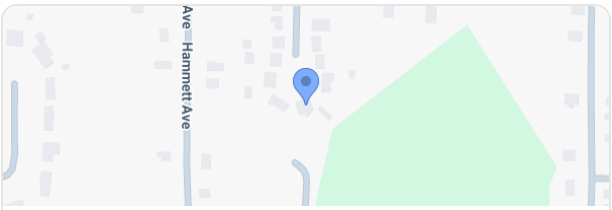


2

EST. MARKET VALUE
**$190,000**

### 418 ALLEN DR

1,954 sqft · Sold 12/30/2025 · $97/sqft

3

EST. MARKET VALUE
**$235,000**

### 910 CHEROKEE DR

2,051 sqft · Sold 8/19/2025 · $115/sqft

4

EST. MARKET VALUE
**$194,500**

### 12 MONTGOMERY AVE

1,969 sqft · Sold 10/9/2025 · $99/sqft

5

EST. MARKET VALUE
**$210,000**

### 702 S NORTON AVE

2,338 sqft · Sold 12/9/2024 · $90/sqft

6

EST. MARKET VALUE
**$216,000**

### 908 HERITAGE DR

1,850 sqft · Sold 12/18/2025 · $117/sqft

7

EST. MARKET VALUE
**$295,000**

### 207 S ELM AVE

4,045 sqft · Sold 11/13/2025 · $73/sqft

8

EST. MARKET VALUE
**$165,000**

### 404 W WALNUT ST

2,862 sqft · Sold 11/6/2024 · $58/sqft

9

EST. MARKET VALUE
**$193,000**

### 403 S NORTON AVE

2,091 sqft · Sold 11/13/2025 · $92/sqft



10

EST. MARKET VALUE
**$335,000**

### 112 MORNING CIR

2,994 sqft · Sold 8/28/2025 · $112/sqft

11

EST. MARKET VALUE
**$267,000**

### Near SYLACAUGA, AL

2,464 sqft · Sold 1/12/2025 · $108/sqft

12

EST. MARKET VALUE
**$196,000**

### 906 HERITAGE DR

3,192 sqft · Sold 6/13/2024 · $61/sqft

13

EST. MARKET VALUE
**$260,000**

### 418 W WALNUT ST

2,811 sqft · Sold 4/3/2025 · $92/sqft

14

EST. MARKET VALUE
**$140,000**

### 204 SARA LYNN DR

1,620 sqft · Sold 12/9/2025 · $86/sqft

15

EST. MARKET VALUE
**$220,000**

### 116 S CANNON AVE

1,945 sqft · Sold 12/5/2024 · $113/sqft