Property Tax Assessment Analysis

3446 Williams Rd
Pondera County · March 5, 2026



3446 Williams Rd

Valier, MT 59486 · Parcel: 26-4098-09-4-03-04-0000

Living Area	1,792 sqft	Lot Size	320.00 acres
Bedrooms	3	Bathrooms	1
Year Built	1966	Property Type	Residential

Assessment Analysis

County Appraised Value	$355,423
Market Value (Comps)	$217,531
Overassessment	**$137,892**

Environmental & Locational Factors

The following factors were detected within 1 mile of the subject property and may support a lower assessment:

🚂 **Railroad**
1 railroad(s) within 1 mile: Bnsf

Source: Census TIGERweb, FEMA National Flood Hazard Layer, OpenStreetMap

Valuation Analysis

The subject property at 3446 Williams Rd, Valier, MT 59486 is a 1,792 sq ft Residential constructed in 1966, situated on a 320.00-acre lot.

A search of recent residential sales within 5 miles identified 15 comparable properties sold within the past 24 months. These properties range from 1,100 to 2,964 sq ft. The median estimated value per square foot among these comparables is $159. Note: An expanded search radius was used due to limited comparable sales in the immediate area.

Applying the 25th percentile price of $121 per square foot to the subject property's 1,792 sq ft yields a market value estimate of approximately $217,531. The county's current appraised value of $355,423 exceeds this estimate by $137,892 (38.8%). At an effective tax rate of 0.59%, this overassessment represents approximately $813 in excess annual property taxes.

The comparable properties used in this analysis are detailed in the table below. All properties are residential, sold within 24 months, and located within 5 miles of the subject property.

Note: MT does not publicly disclose sale prices. Comparable values shown are estimated market values derived from property and market data.

Additionally, environmental or locational factors affecting this property may further impact its market value. These factors are detailed in the Filing Guide included with this packet.

Comparable Property Analysis

#	ADDRESS	DISTANCE	SQFT	YEAR	SALE DATE	EST. MARKET VALUE	$/SQFT
S	**3446 Williams Rd (Subject)**	**—**	**1,792**	**1966**	**—**	**—**	**—**
1	Near VALIER, MT	—	2,134	—	6/4/2025	$364,600	$171
2	502 ILLINOIS AVE	—	2,016	—	10/15/2025	$320,000	$159
3	10679 VALIER HWY	—	2,530	—	9/10/2024	$286,000	$113
4	301 ILLINOIS AVE	—	2,216	—	7/30/2025	$269,000	$121
5	10 DUPUYER AVE	—	1,756	—	4/6/2025	$439,900	$251
6	8745 US HIGHWAY 91 HWY N	—	1,727	—	11/6/2025	$450,000	$261
7	813 MARIAS AVE	—	2,400	—	12/10/2024	$669,000	$279

#	ADDRESS	DISTANCE	SQFT	YEAR	SALE DATE	EST. MARKET VALUE	$/SQFT
8	805 TETON AVE	—	1,604	—	11/24/2025	$255,000	$159
9	3811 SWANSON RD	—	2,534	—	2/2/2026	$395,000	$156
10	614 ILLINOIS AVE	—	1,519	—	11/16/2025	$165,000	$109
11	729 CHOTEAU AVE	—	1,100	—	10/9/2025	$230,000	$209
12	504 SWANSON RD	—	1,266	—	5/21/2025	$200,000	$158
13	515 MARIAS AVE	—	2,336	—	6/27/2024	$395,000	$169
14	203 CHOTEAU AVE	—	2,964	—	6/25/2025	$295,000	$100
15	Near VALIER, MT	—	1,152	—	6/26/2025	$180,000	$156

MEDIAN EST. VALUE	25TH PCTL $/SQFT	SUBJECT SQFT	MARKET VALUE
$295,000	**$121**	**1,792**	**$217,531**

Comparable properties within 5 miles, sold within the past 24 months. Values shown are estimated market values — MT does not publicly disclose sale prices.

Comparable Properties Map

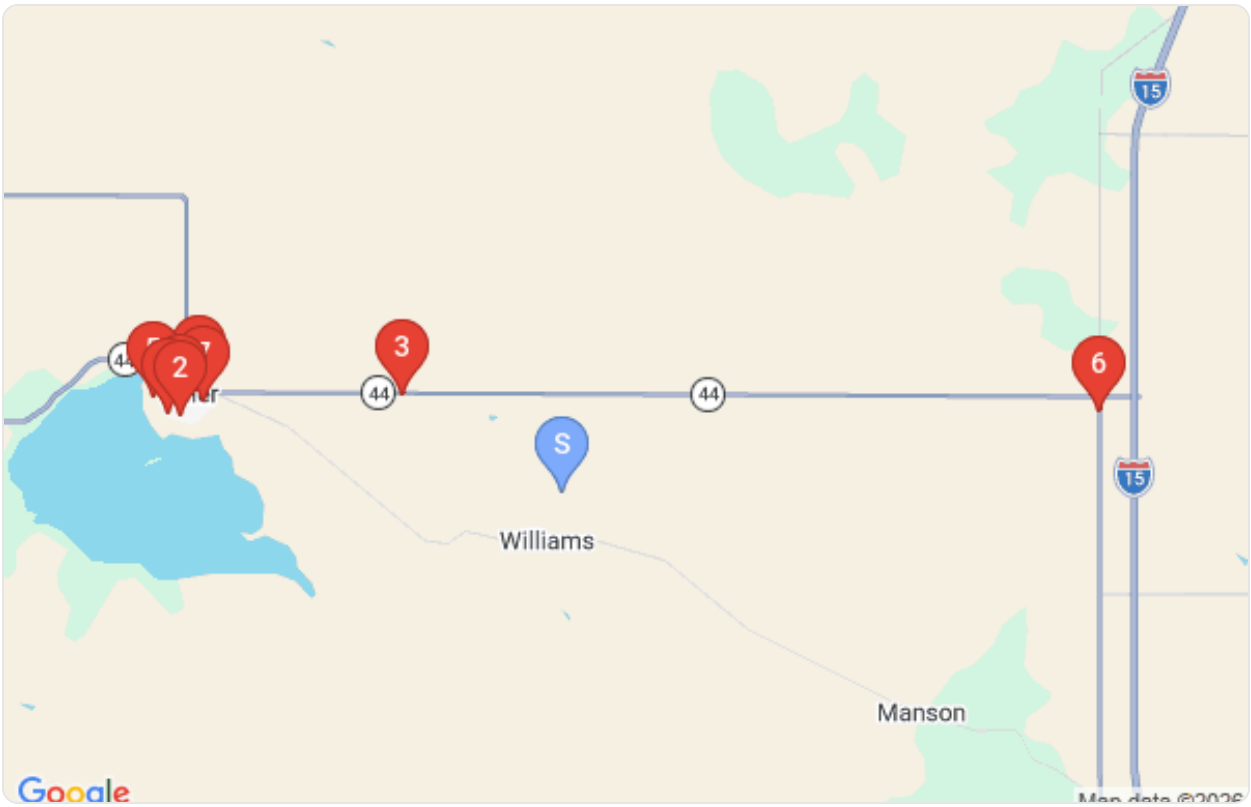

Subject property (blue pin) and comparable property locations (red pins)

Comparable Property Details

1

EST. MARKET VALUE

$364,600

Near VALIER, MT

2,134 sqft · Sold 6/4/2025 · $171/sqft

2

EST. MARKET VALUE

$320,000

502 ILLINOIS AVE

2,016 sqft · Sold 10/15/2025 · $159/sqft

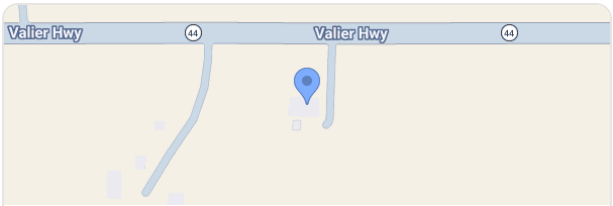

3

EST. MARKET VALUE

$286,000

10679 VALIER HWY

2,530 sqft · Sold 9/10/2024 · $113/sqft

4

EST. MARKET VALUE

$269,000

301 ILLINOIS AVE

2,216 sqft · Sold 7/30/2025 · $121/sqft

5

EST. MARKET VALUE

$439,900

10 DUPUYER AVE

1,756 sqft · Sold 4/6/2025 · $251/sqft

6

EST. MARKET VALUE

$450,000

8745 US HIGHWAY 91 HWY N

1,727 sqft · Sold 11/6/2025 · $261/sqft

7

EST. MARKET VALUE

$669,000

813 MARIAS AVE

2,400 sqft · Sold 12/10/2024 · $279/sqft

8

EST. MARKET VALUE

$255,000

805 TETON AVE

1,604 sqft · Sold 11/24/2025 · $159/sqft

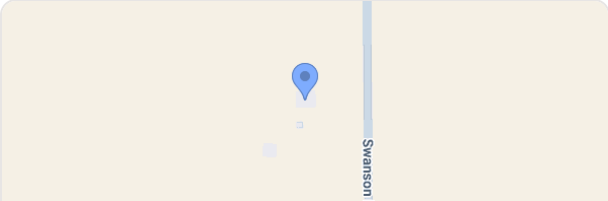

9

EST. MARKET VALUE

$395,000

3811 SWANSON RD

2,534 sqft · Sold 2/2/2026 · $156/sqft

10

EST. MARKET VALUE

$165,000

614 ILLINOIS AVE

1,519 sqft · Sold 11/16/2025 · $109/sqft

11

EST. MARKET VALUE

$230,000

729 CHOTEAU AVE

1,100 sqft · Sold 10/9/2025 · $209/sqft

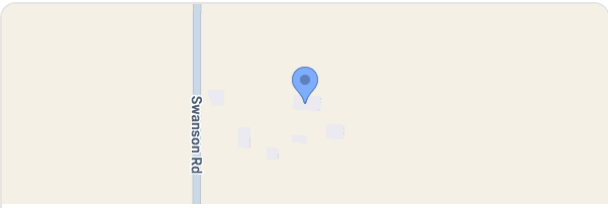

12

EST. MARKET VALUE

$200,000

504 SWANSON RD

1,266 sqft · Sold 5/21/2025 · $158/sqft

13

EST. MARKET VALUE

$395,000

515 MARIAS AVE

2,336 sqft · Sold 6/27/2024 · $169/sqft

14

EST. MARKET VALUE

$295,000

203 CHOTEAU AVE

2,964 sqft · Sold 6/25/2025 · $100/sqft

15

EST. MARKET VALUE

$180,000

Near VALIER, MT

1,152 sqft · Sold 6/26/2025 · $156/sqft