Property Tax Assessment Analysis

42635 Everglades Park Drive
Alameda County · March 5, 2026

42635 Everglades Park Drive

Fremont, CA 94538 · Parcel: 525-1313-19

Living Area	1,551 sqft	Lot Size	6,100 sqft
Bedrooms	4	Bathrooms	2
Year Built	1962	Property Type	Residential

Assessment Analysis

County Appraised Value	$81,274
Market Value (Comps)	$1,412,285
Underassessment	-$1,331,011

Factors Considered in Our Analysis

The following factors were considered in our analysis of your property's value:

🛣️ **Major Highway**
2 major highway(s) within 1 mile: Nimitz Fwy, I-880

🏭 **Commercial/Industrial Zone**
3 commercial, 2 industrial, 13 retail zone(s) within 1 mile (incl. Northpole Business Park, Pacific Commons Shopping Center, Sundale Center, Lincoln Executive Center, Auto Mall Business Center)

Source: Census TIGERweb, FEMA National Flood Hazard Layer, OpenStreetMap

Valuation Analysis

The subject property at 42635 Everglades Park Drive, Fremont, CA 94538 is a 1,551 sq ft Residential constructed in 1962, situated on a 6,100 sq ft lot.

A search of recent residential sales within 1.5 miles identified 11 comparable properties sold within the past 18 months. These properties range from 1,107 to 1,916 sq ft. The median estimated value per square foot among these comparables is $1,039. Note: An expanded search radius was used due to limited comparable sales in the immediate area.

Applying the 25th percentile price of $911 per square foot to the subject property's 1,551 sq ft yields a market value estimate of approximately $1,412,285.

The comparable properties used in this analysis are detailed in the table below. All properties are residential, sold within 18 months, and located within 1.5 miles of the subject property.

Note: CA does not publicly disclose sale prices. Comparable values shown are estimated market values derived from property and market data.

Additionally, environmental or locational factors affecting this property may further impact its market value.

Comparable Property Analysis

#	ADDRESS	DISTANCE	SQFT	YEAR	SALE DATE	SALE PRICE*	$/SQFT
S	**42635 Everglades Park Drive (Subject)**	**—**	**1,551**	**1962**	**—**	**—**	**—**
1	3871 Scamman Ct	1.0 mi	1,692	1954	1/15/2026	$1,399,999	$827
2	4421 Cahill St	1.0 mi	1,484	1955	1/5/2026	$1,350,000	$910
3	39580 Eric St	1.5 mi	1,558	1963	12/30/2025	$1,420,000	$911
4	40451 Gibson St	1.1 mi	1,450	1955	1/5/2026	$1,400,000	$966
5	3633 Independence Rd	1.2 mi	1,552	1954	1/1/2026	$1,613,000	$1039
6	5673 Turban Ct	0.3 mi	1,131	1963	12/29/2025	$1,380,000	$1220
7	42795 Deauville Park Ct	0.3 mi	1,916	1965	12/30/2025	$2,150,000	$1122
8	4422 Stevenson Blvd	1.2 mi	1,107	1958	1/19/2026	$1,230,000	$1111

#	ADDRESS	DISTANCE	SQFT	YEAR	SALE DATE	SALE PRICE*	$/SQFT
9	5665 Dewey Pl	1.2 mi	1,256	1966	1/12/2026	$1,537,000	$1224
10	4728 Boles Ct	1.2 mi	1,152	1959	1/11/2026	$1,320,000	$1146
11	3629 Franklin Ave	1.1 mi	1,151	1958	1/25/2026	$1,005,000	$873

MEDIAN PRICE	25TH PCTL $/SQFT	SUBJECT SQFT	MARKET VALUE
$1,399,999	**$911**	**1,551**	**$1,412,285**

*Comparable sales within 1.5 miles, sold within the past 18 months. All transactions are arm's-length sales from public county records. *Estimated market value — actual sale price not publicly disclosed in this state.*

Comparable Properties Map

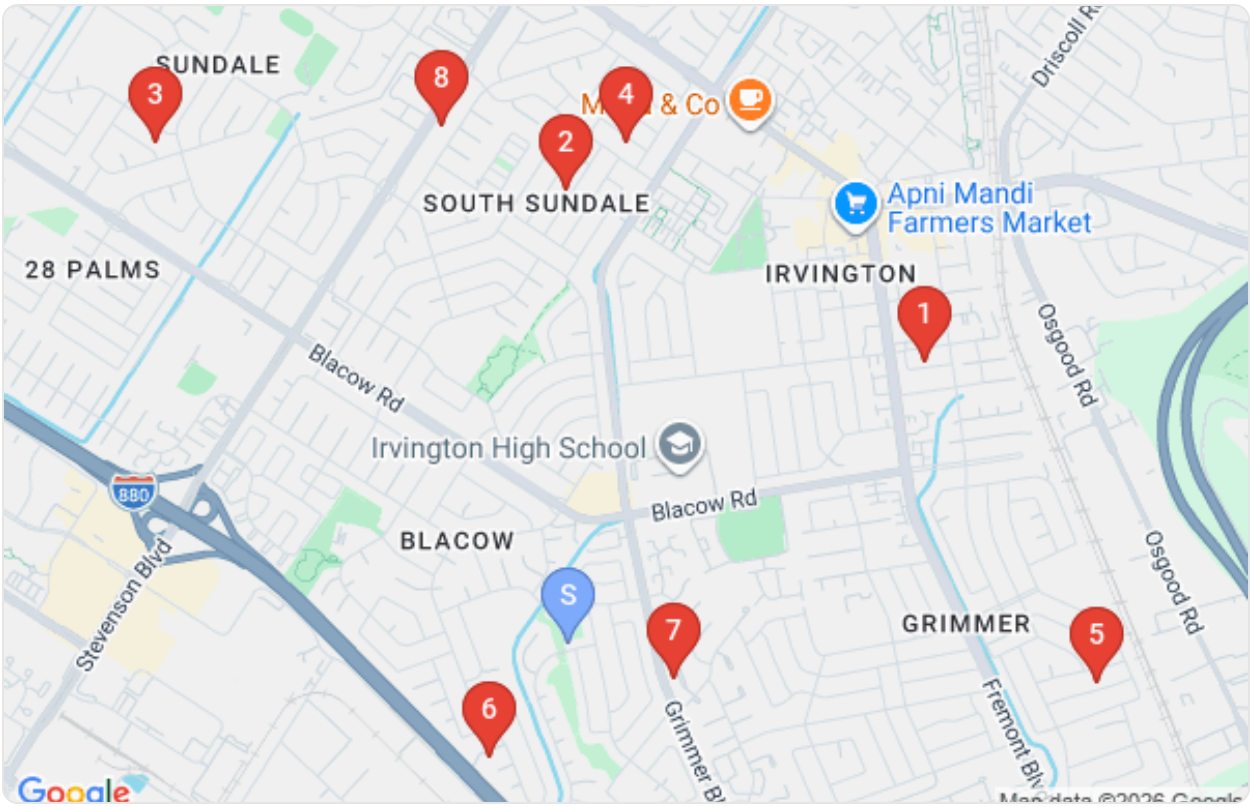

Subject property (blue pin) and comparable property locations (red pins)

Comparable Property Details

1

EST. MARKET VALUE

$1,399,999

3871 Scamman Ct

1,692 sqft · Built 1954 · 1.0 mi · Sold 1/15/2026 · $827/sqft



2

SALE PRICE

$1,350,000

4421 Cahill St

1,484 sqft · Built 1955 · 1.0 mi · Sold 1/5/2026 · $910/sqft



3

SALE PRICE

$1,420,000

39580 Eric St

1,558 sqft · Built 1963 · 1.5 mi · Sold 12/30/2025 · $911/sqft

4

SALE PRICE

$1,400,000

40451 Gibson St

1,450 sqft · Built 1955 · 1.1 mi · Sold 1/5/2026 · $966/sqft

5

SALE PRICE

$1,613,000

3633 Independence Rd

1,552 sqft · Built 1954 · 1.2 mi · Sold 1/1/2026 · $1039/sqft



6

SALE PRICE

$1,380,000

5673 Turban Ct

1,131 sqft · Built 1963 · 0.3 mi · Sold 12/29/2025 · $1220/sqft

7

SALE PRICE

$2,150,000

42795 Deauville Park Ct

1,916 sqft · Built 1965 · 0.3 mi · Sold 12/30/2025 · $1122/sqft

8

SALE PRICE

$1,230,000

4422 Stevenson Blvd

1,107 sqft · Built 1958 · 1.2 mi · Sold 1/19/2026 · $1111/sqft

9

SALE PRICE

$1,537,000

5665 Dewey Pl

1,256 sqft · Built 1966 · 1.2 mi · Sold 1/12/2026 · $1224/sqft

10

SALE PRICE

$1,320,000

4728 Boles Ct

1,152 sqft · Built 1959 · 1.2 mi · Sold 1/11/2026 · $1146/sqft

11

SALE PRICE

$1,005,000

3629 Franklin Ave

1,151 sqft · Built 1958 · 1.1 mi · Sold 1/25/2026 · $873/sqft