Property Tax Assessment Analysis

321 North 11th Street
Essex County · March 5, 2026

321 North 11th Street

Newark, NJ 07107 · Parcel: 14 01958-0000-00049

Living Area	**1,620 sqft**	Lot Size	**3,899 sqft**
Year Built	**1930**	Property Type	**Single Family**

Assessment Analysis

County Appraised Value	**$169,000**
Market Value (Comps)	**$455,180**
Underassessment	**-$286,180**

Note: The most recent assessment data available for this property is from 2024. Current assessment values may differ. We recommend verifying your assessment with your county assessor before filing.

Valuation Analysis

The subject property at 321 North 11th Street, Newark, NJ 07107 is a 1,620 sq ft Single Family constructed in 1930, situated on a 3,899 sq ft lot.

A search of recent residential sales in the surrounding area identified 15 comparable properties sold within the past 24 months. These properties range from 1,296 to 1,958 sq ft. The median sale price per square foot among these comparables is $300. Note: An expanded search radius was used due to limited comparable sales in the immediate area.

Applying the 25th percentile sale price of $281 per square foot to the subject property's 1,620 sq ft yields a market value estimate of approximately $455,180.

The comparable sales used in this analysis are detailed in the table below. All properties are residential, sold within 24 months, and located in the surrounding area of the subject property.

Comparable Sales Analysis

#	ADDRESS	DISTANCE	SQFT	YEAR	SALE DATE	SALE PRICE	$/SQFT
S	**321 North 11th Street (Subject)**	**—**	**1,620**	**1930**	**—**	**—**	**—**
1	1 CHAUNCEY AVE	—	1,462	—	12/4/2025	$510,000	$349
2	410 3RD AVE W	—	1,778	—	12/17/2025	$400,000	$225
3	221 N 17TH ST	—	1,520	—	11/2/2025	$485,000	$319
4	453 BEARDSLEY AVE	—	1,497	—	8/18/2025	$525,000	$351
5	29 RENSHAW AVE	—	1,828	—	10/1/2025	$475,000	$260
6	469-471 LAKE ST	—	1,886	—	10/13/2025	$566,500	$300
7	32 DAVENPORT AVE	—	1,648	—	6/16/2025	$410,000	$249
8	271 N MAPLE AVE	—	1,584	—	9/4/2025	$460,000	$290
9	141 N 16TH ST	—	1,606	—	1/27/2026	$450,000	$280
10	189 GREENWOOD AVE	—	1,958	—	8/28/2025	$595,000	$304
11	145 AMPERE PKWY	—	1,492	—	12/30/2025	$560,000	$375

#	ADDRESS	DISTANCE	SQFT	YEAR	SALE DATE	SALE PRICE	$/SQFT
12	296-298 N 11TH ST	—	1,296	—	7/10/2025	$480,000	$370
13	Near BLOOMFIELD, NJ	—	1,298	—	9/2/2025	$385,000	$297
14	38 HOFFMAN BLVD	—	1,370	—	12/22/2025	$386,000	$282
15	65 LESLIE ST	—	1,425	—	1/4/2026	$535,000	$375

MEDIAN SALE PRICE	25TH PCTL $/SQFT	SUBJECT SQFT	MARKET VALUE
$480,000	**$281**	**1,620**	**$455,180**

Comparable sales in the surrounding area, sold within the past 24 months. All transactions are arm's-length sales from public county records.

Comparable Properties Map

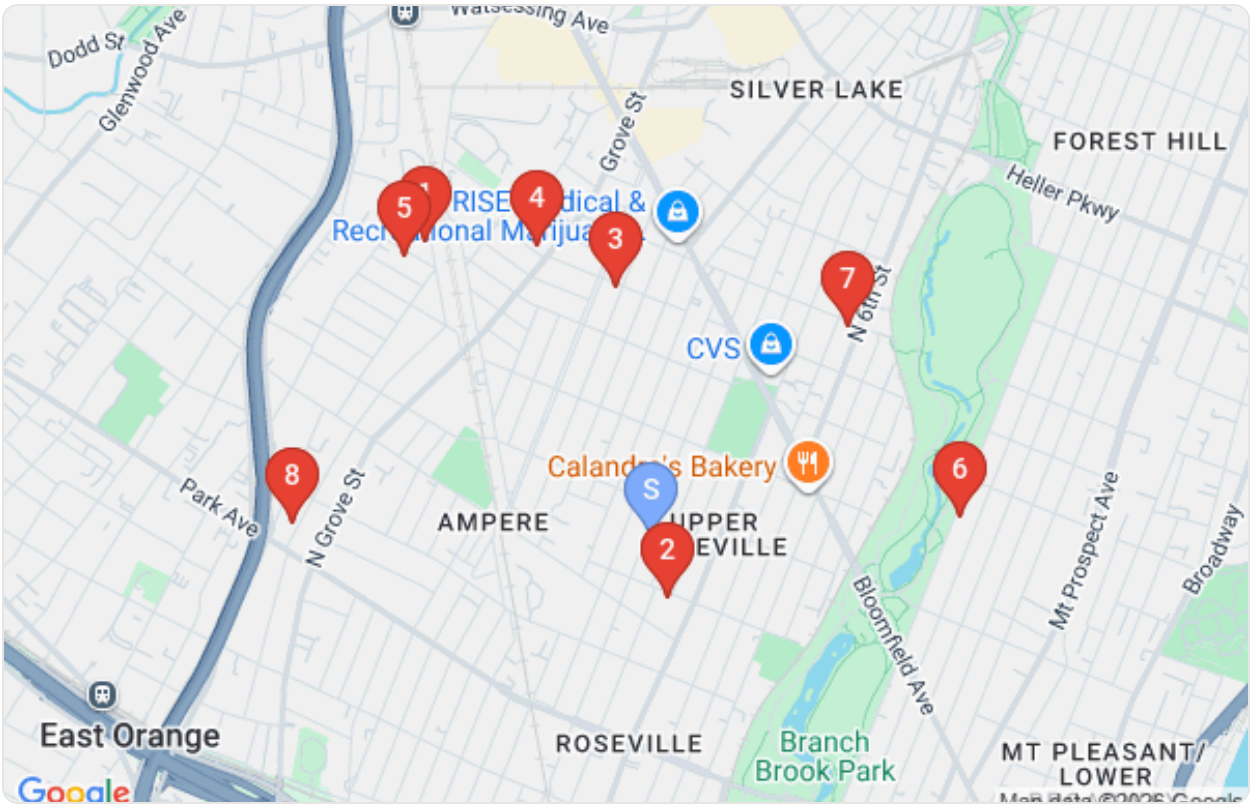

Subject property (blue pin) and comparable sales locations (red pins)

Comparable Property Details

1

SALE PRICE
$510,000

1 CHAUNCEY AVE

1,462 sqft · Sold 12/4/2025 · $349/sqft

2

SALE PRICE
$400,000

410 3RD AVE W

1,778 sqft · Sold 12/17/2025 · $225/sqft

3

SALE PRICE
$485,000

221 N 17TH ST

1,520 sqft · Sold 11/2/2025 · $319/sqft

4

SALE PRICE
$525,000

453 BEARDSLEY AVE

1,497 sqft · Sold 8/18/2025 · $351/sqft

5

SALE PRICE
$475,000

29 RENSHAW AVE

1,828 sqft · Sold 10/1/2025 · $260/sqft

6

SALE PRICE
$566,500

469-471 LAKE ST

1,886 sqft · Sold 10/13/2025 · $300/sqft



7

SALE PRICE
$410,000

32 DAVENPORT AVE

1,648 sqft · Sold 6/16/2025 · $249/sqft

8

SALE PRICE
$460,000

271 N MAPLE AVE

1,584 sqft · Sold 9/4/2025 · $290/sqft



9

SALE PRICE

$450,000

141 N 16TH ST

1,606 sqft · Sold 1/27/2026 · $280/sqft



10

SALE PRICE

$595,000

189 GREENWOOD AVE

1,958 sqft · Sold 8/28/2025 · $304/sqft

11

SALE PRICE

$560,000

145 AMPERE PKWY

1,492 sqft · Sold 12/30/2025 · $375/sqft

12

SALE PRICE

$480,000

296-298 N 11TH ST

1,296 sqft · Sold 7/10/2025 · $370/sqft



13

SALE PRICE

$385,000

Near BLOOMFIELD, NJ

1,298 sqft · Sold 9/2/2025 · $297/sqft

14

SALE PRICE

$386,000

38 HOFFMAN BLVD

1,370 sqft · Sold 12/22/2025 · $282/sqft

15

SALE PRICE

$535,000

65 LESLIE ST

1,425 sqft · Sold 1/4/2026 · $375/sqft