Property Tax Assessment Analysis

35 Eastwood Lane
Somerset County · March 5, 2026

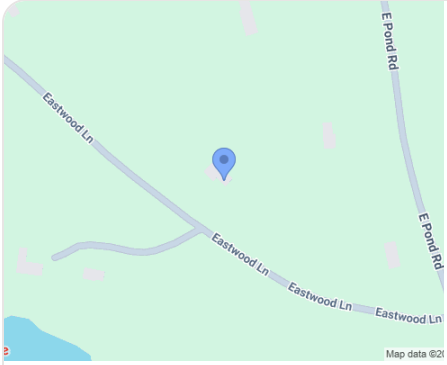

35 Eastwood Lane

Smithfield, ME 04978 · Parcel: SMID M:004 L:005-B-7

Living Area	2,156 sqft	Lot Size	1.88 acres
Bedrooms	3	Bathrooms	2
Year Built	1994	Property Type	Residential

Assessment Analysis

County Assessed Value (capped)	$346,500
County Market Value	$516,000
Market Value (Comps)	$342,692
Overassessment	**$173,308**

Valuation Analysis

The subject property at 35 Eastwood Lane, Smithfield, ME 04978 is a 2,156 sq ft Residential constructed in 1994, situated on a 1.88-acre lot.

A search of recent residential sales within 0.7 miles identified 3 comparable properties sold within the past 24 months. These properties range from 1,444 to 3,112 sq ft. The median sale price per square foot among these comparables is $242. Note: An expanded search radius was used due to limited comparable sales in the immediate area.

Applying the 25th percentile sale price of $159 per square foot to the subject property's 2,156 sq ft yields a market value estimate of approximately $342,692. The county's current market value of $516,000 exceeds this estimate by $173,308 (33.6%). At an effective tax rate of 0.98%, this overassessment represents approximately $1,699 in excess annual property taxes.

The comparable sales used in this analysis are detailed in the table below. All properties are residential, sold within 24 months, and located within 0.7 miles of the subject property.

Comparable Sales Analysis

#	ADDRESS	DISTANCE	SQFT	YEAR	SALE DATE	SALE PRICE	$/SQFT
S	**35 Eastwood Lane (Subject)**	**—**	**2,156**	**1994**	**—**	**—**	**—**
1	614 E Pond Rd	0.2 mi	3,112	2003	11/20/2024	$235,000	$76
2	5 Blueberry Ln	0.6 mi	2,224	1986	12/18/2025	$655,000	$295
3	12 Windwood Ln	0.7 mi	1,444	1950	7/6/2025	$350,000	$242

MEDIAN SALE PRICE	25TH PCTL $/SQFT	SUBJECT SQFT	MARKET VALUE
$350,000	$159	2,156	$342,692

Comparable sales within 0.7 miles, sold within the past 24 months. All transactions are arm's-length sales from public county records.

Comparable Properties Map

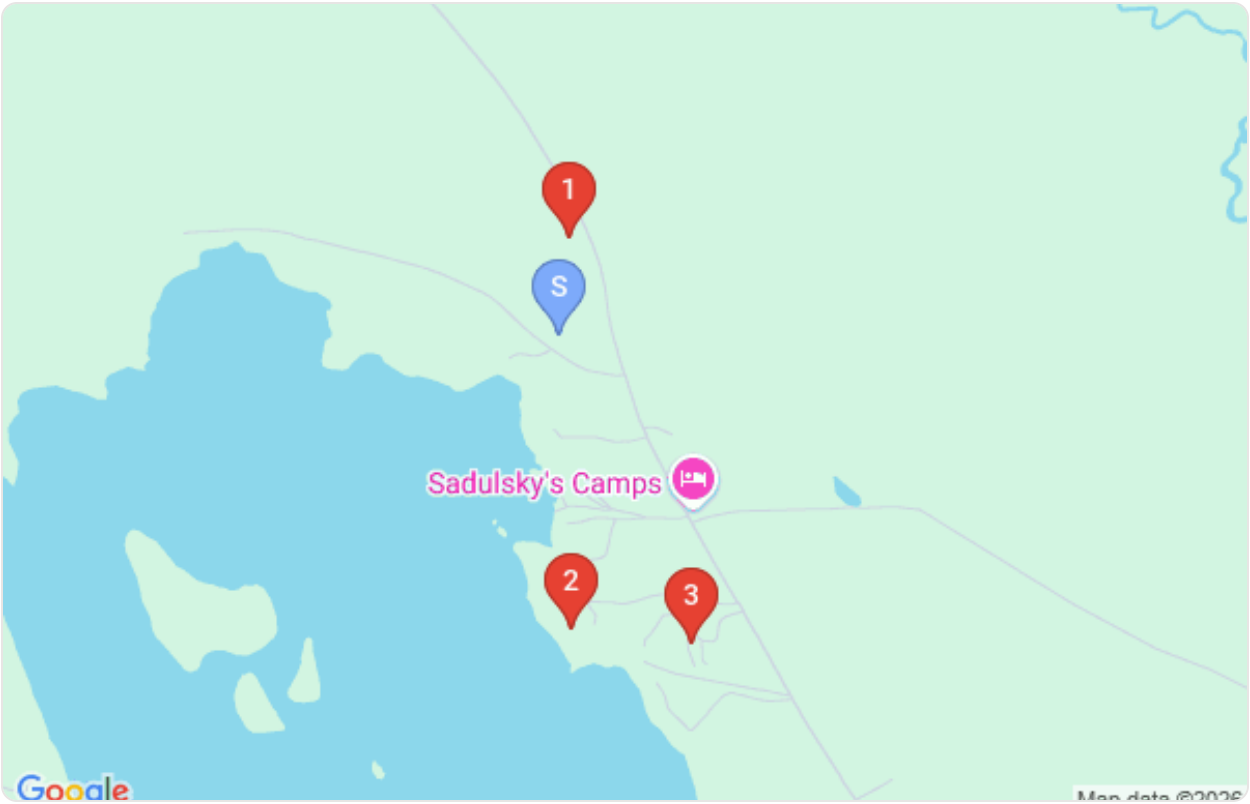

Subject property (blue pin) and comparable sales locations (red pins)

Comparable Property Details

1

SALE PRICE

$235,000

614 E Pond Rd

3,112 sqft · Built 2003 · 0.2 mi · Sold 11/20/2024 · $76/sqft

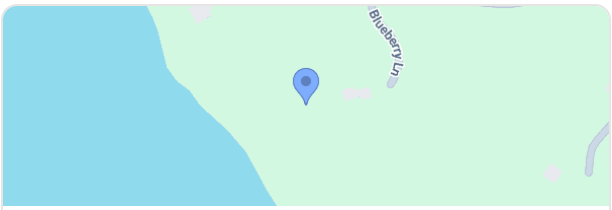

2

SALE PRICE

$655,000

5 Blueberry Ln

2,224 sqft · Built 1986 · 0.6 mi · Sold 12/18/2025 · $295/sqft

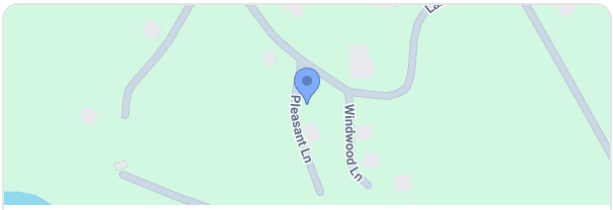

3

SALE PRICE

$350,000

12 Windwood Ln

1,444 sqft · Built 1950 · 0.7 mi · Sold 7/6/2025 · $242/sqft