Property Tax Assessment Analysis

96 East Cape Rock Drive
Cape Girardeau County · March 5, 2026



96 East Cape Rock Drive

Cape Girardeau, MO 63701 · Parcel: 168090010003000000

Living Area	**1,713 sqft**	Lot Size	**25,003 sqft**
Bedrooms	**4**	Bathrooms	**2**
Year Built	**1940**	Property Type	**Residential**

Assessment Analysis

County Appraised Value	**$99,469**
Assessment Ratio (MO)	**19%**
Taxable Assessed Value	**$18,899**
Market Value (Comps)	**$147,843**
Underassessment	**-$48,374**

Factors Considered in Our Analysis

The following factors were considered in our analysis of your property's value:

🚂 **Railroad**
1 railroad(s) within 1 mile: St Louis-San Francisco Rlwy

Source: Census TIGERweb, FEMA National Flood Hazard Layer, OpenStreetMap

Valuation Analysis

The subject property at 96 East Cape Rock Drive, Cape Girardeau, MO 63701 is a 1,713 sq ft Residential constructed in 1940, situated on a 25,003 sq ft lot.

A search of recent residential sales within 1 mile identified 11 comparable properties sold within the past 24 months. These properties range from 1,037 to 1,893 sq ft. The median estimated value per square foot among these comparables is $149. Note: An expanded search radius was used due to limited comparable sales in the immediate area.

Applying the 25th percentile price of $86 per square foot to the subject property's 1,713 sq ft yields a market value estimate of approximately $147,843.

The comparable properties used in this analysis are detailed in the table below. All properties are residential, sold within 24 months, and located within 1 mile of the subject property.

Note: MO does not publicly disclose sale prices. Comparable values shown are estimated market values derived from property and market data.

Additionally, environmental or locational factors affecting this property may further impact its market value.

Comparable Property Analysis

#	ADDRESS	DISTANCE	SQFT	YEAR	SALE DATE	EST. MARKET VALUE	$/SQFT
S	**96 East Cape Rock Drive (Subject)**	**—**	**1,713**	**1940**	**—**	**—**	**—**
1	1519 SYLVAN LN	—	1,645	—	11/18/2025	$390,000	$237
2	516 GREEN ACRES ST	—	1,442	—	6/22/2025	$223,900	$155
3	1441 N MAIN ST	—	1,714	—	1/15/2026	$121,000	$71
4	1470 N WATER ST	—	1,388	—	12/30/2025	$115,000	$83
5	1502 SYLVAN LN	—	1,893	—	2/17/2025	$417,500	$221
6	101 GREEN ACRES ST	—	1,316	—	7/31/2025	$169,900	$129
7	345 HILLCREST DR	—	1,748	—	12/30/2024	$210,800	$121
8	412 GREEN ACRES ST	—	1,265	—	3/18/2025	$189,000	$149

#	ADDRESS	DISTANCE	SQFT	YEAR	SALE DATE	EST. MARKET VALUE	$/SQFT
9	1602 RAND ST	—	1,363	—	4/21/2025	$244,900	$180
10	1430 N SPANISH ST	—	1,037	—	3/30/2025	$89,500	$86
11	389 COUNTRY CLUB DR	—	1,200	—	9/28/2025	$205,000	$171

MEDIAN EST. VALUE	25TH PCTL $/SQFT	SUBJECT SQFT	MARKET VALUE
$205,000	**$86**	**1,713**	**$147,843**

Comparable properties within 1 mile, sold within the past 24 months. Values shown are estimated market values — MO does not publicly disclose sale prices.

Comparable Properties Map

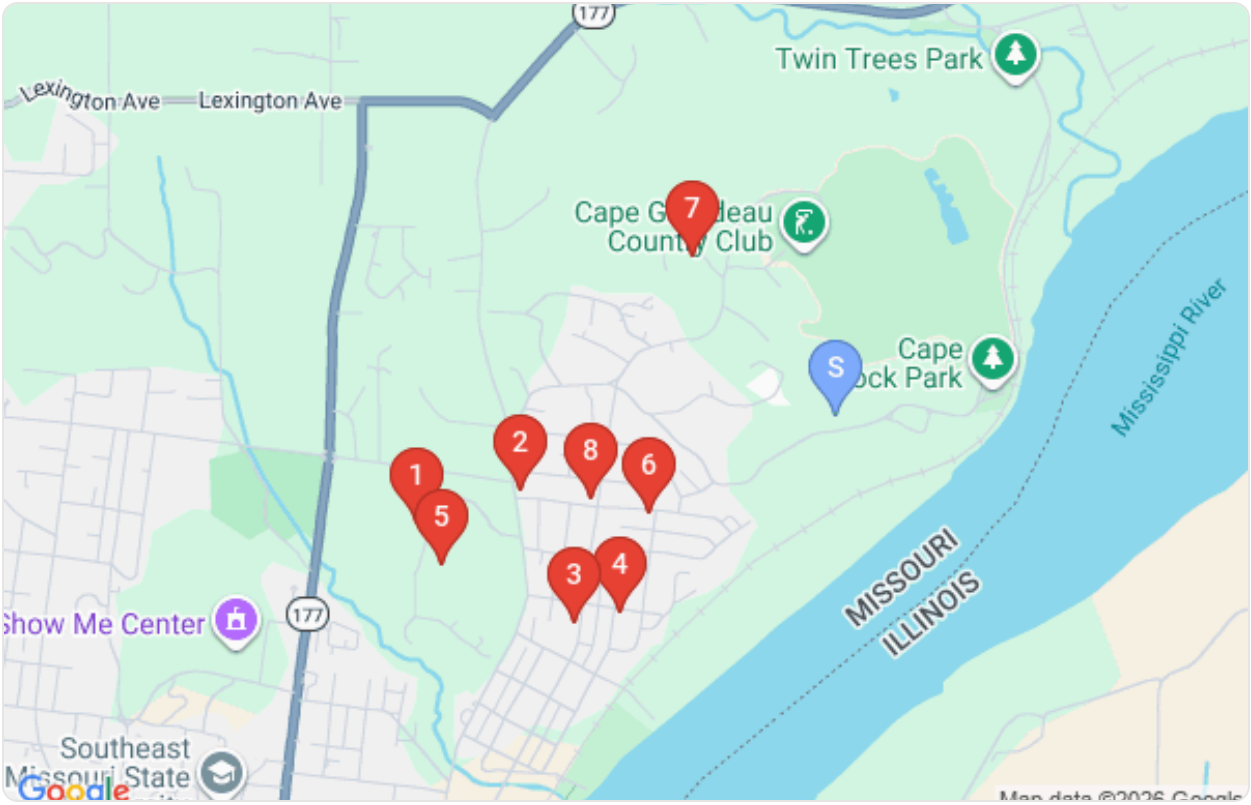

Subject property (blue pin) and comparable property locations (red pins)

Comparable Property Details



1

EST. MARKET VALUE
$390,000

1519 SYLVAN LN

1,645 sqft · Sold 11/18/2025 · $237/sqft

2

EST. MARKET VALUE
$223,900

516 GREEN ACRES ST

1,442 sqft · Sold 6/22/2025 · $155/sqft

3

EST. MARKET VALUE
$121,000

1441 N MAIN ST

1,714 sqft · Sold 1/15/2026 · $71/sqft

4

EST. MARKET VALUE
$115,000

1470 N WATER ST

1,388 sqft · Sold 12/30/2025 · $83/sqft

5

EST. MARKET VALUE
$417,500

1502 SYLVAN LN

1,893 sqft · Sold 2/17/2025 · $221/sqft

6

EST. MARKET VALUE
$169,900

101 GREEN ACRES ST

1,316 sqft · Sold 7/31/2025 · $129/sqft



7

EST. MARKET VALUE
$210,800

345 HILLCREST DR

1,748 sqft · Sold 12/30/2024 · $121/sqft

8

EST. MARKET VALUE
$189,000

412 GREEN ACRES ST

1,265 sqft · Sold 3/18/2025 · $149/sqft

9

EST. MARKET VALUE

$244,900

1602 RAND ST

1,363 sqft · Sold 4/21/2025 · $180/sqft

10

EST. MARKET VALUE

$89,500

1430 N SPANISH ST

1,037 sqft · Sold 3/30/2025 · $86/sqft

11

EST. MARKET VALUE

$205,000

389 COUNTRY CLUB DR

1,200 sqft · Sold 9/28/2025 · $171/sqft