Property Tax Assessment Analysis

10465 McGuire Avenue
Klamath County · March 5, 2026

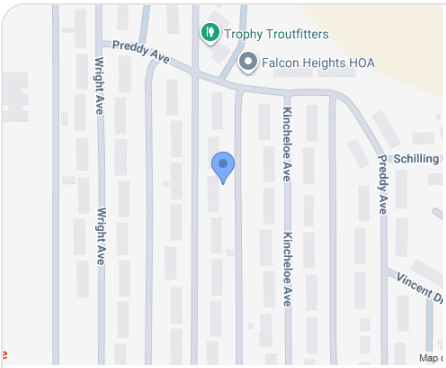

10465 McGuire Avenue

Klamath Falls, OR 97603 · Parcel: R-3909-03400-90023-000

Living Area	**1,104 sqft**	Lot Size	**5,661 sqft**
Bedrooms	**3**	Bathrooms	**1**
Year Built	**1998**	Property Type	**Residential**

Assessment Analysis

County Assessed Value (capped)	**$97,700**
County Market Value	**$248,770**
Market Value (Comps)	**$162,750**
Overassessment	**$86,020**

Valuation Analysis

The subject property at 10465 McGuire Avenue, Klamath Falls, OR 97603 is a 1,104 sq ft Residential constructed in 1998, situated on a 5,661 sq ft lot.

A search of recent residential sales within 0.1 miles identified 3 comparable properties sold within the past 12 months. These properties range from 915 to 1,104 sq ft. The median sale price per square foot among these comparables is $207. Note: An expanded search radius was used due to limited comparable sales in the immediate area.

Applying the 25th percentile sale price of $147 per square foot to the subject property's 1,104 sq ft yields a market value estimate of approximately $162,750. The county's current market value of $248,770 exceeds this estimate by $86,020 (34.6%). At an effective tax rate of 0.58%, this overassessment represents approximately $502 in excess annual property taxes.

The comparable sales used in this analysis are detailed in the table below. All properties are residential, sold within 12 months, and located within 0.1 miles of the subject property.

Comparable Sales Analysis

#	ADDRESS	DISTANCE	SQFT	YEAR	SALE DATE	SALE PRICE	$/SQFT
S	**10465 McGuire Avenue (Subject)**	—	**1,104**	**1998**	—	—	—
1	10683 Mcguire Ave	0.1 mi	1,104	1998	11/30/2025	$228,500	$207
2	10520 Kincheloe Ave	0.0 mi	1,104	2000	1/12/2026	$97,000	$88
3	10361 Mcguire Ave	0.0 mi	915	1998	12/16/2025	$210,000	$230

MEDIAN SALE PRICE	25TH PCTL $/SQFT	SUBJECT SQFT	MARKET VALUE
$210,000	$147	1,104	$162,750

Comparable sales within 0.1 miles, sold within the past 12 months. All transactions are arm's-length sales from public county records.

Comparable Properties Map

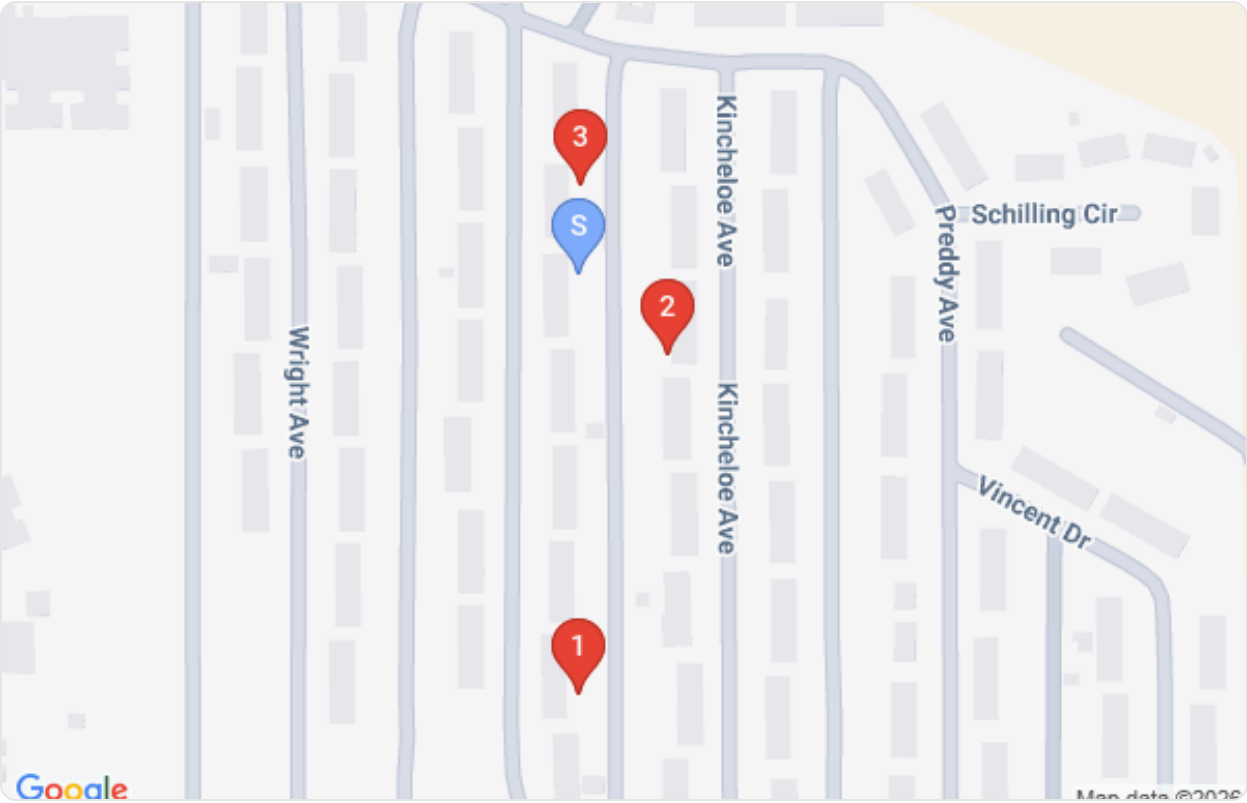

Subject property (blue pin) and comparable sales locations (red pins)

Comparable Property Details

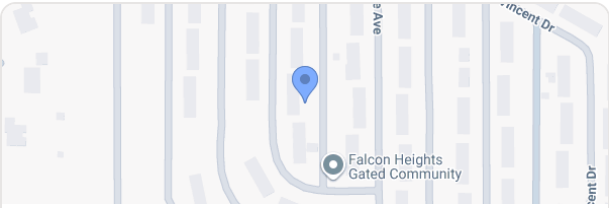

1

SALE PRICE

$228,500

10683 Mcguire Ave

1,104 sqft · Built 1998 · 0.1 mi · Sold 11/30/2025 · $207/sqft

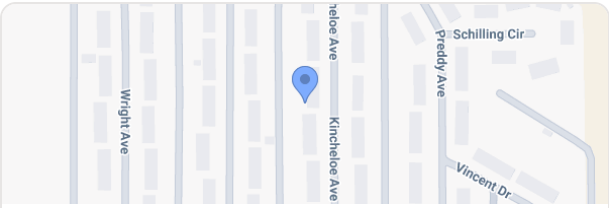

2

SALE PRICE

$97,000

10520 Kincheloe Ave

1,104 sqft · Built 2000 · 0.0 mi · Sold 1/12/2026 · $88/sqft

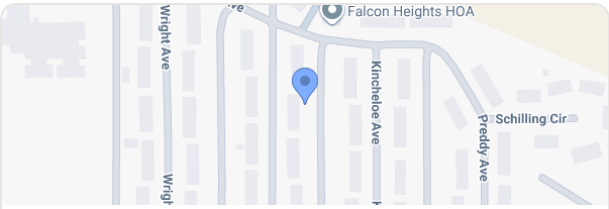

3

SALE PRICE

$210,000

10361 Mcguire Ave

915 sqft · Built 1998 · 0.0 mi · Sold 12/16/2025 · $230/sqft